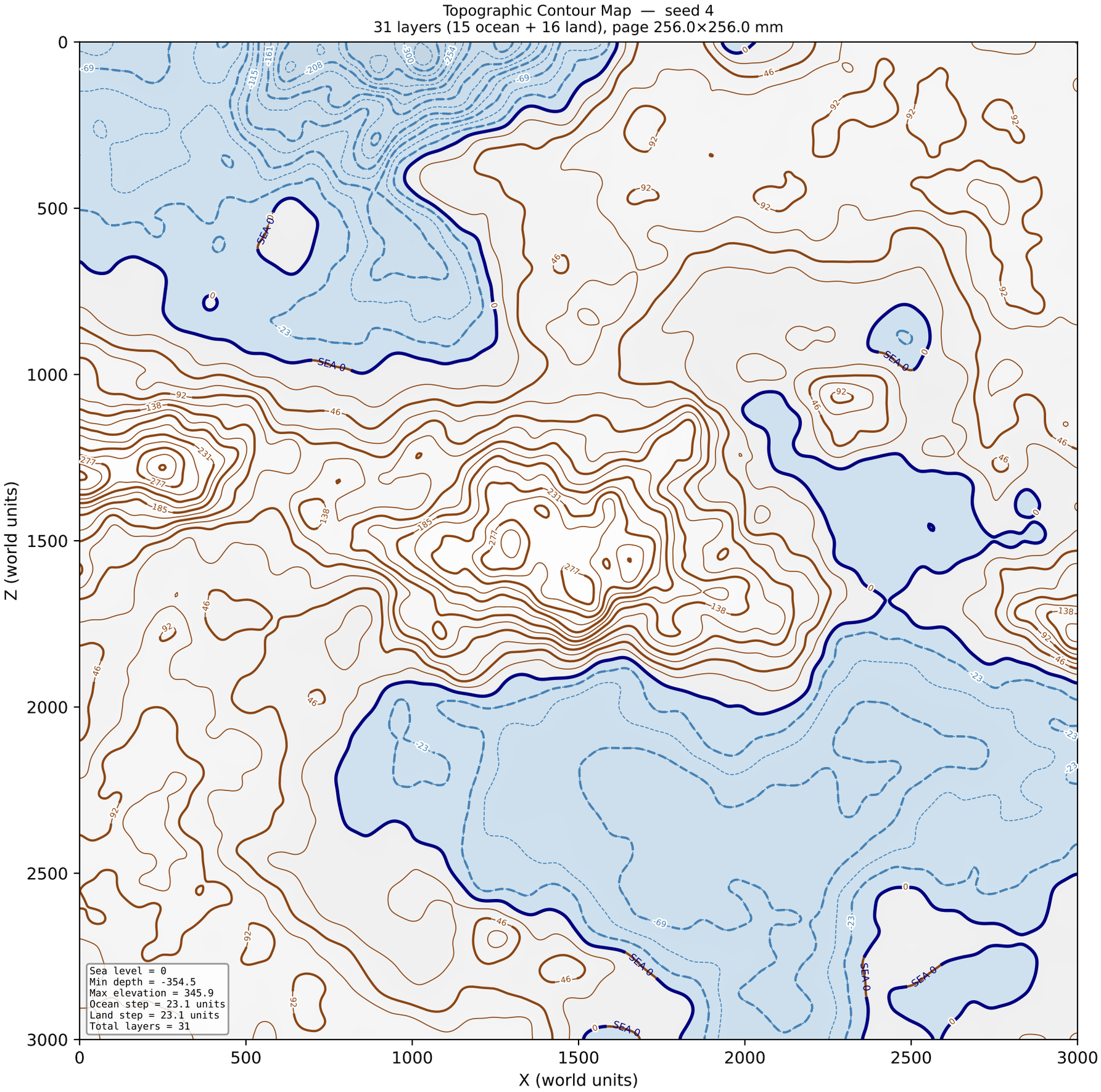
Topographic Contour Map — seed 4
31 layers (15 ocean + 16 land), page 256.0×256.0 mm
Z (world units)
X (world units)
0
500
1000
1500
2000
2500
3000
SEA 0
Sea level = 0
Min depth = -354.5
Max elevation = 345.9
Ocean step = 23.1 units
Land step = 23.1 units
Total layers = 31

Layer 0 (OCEAN) — Elevation: -345.9
Cut this contour from blue cardboard sheet #0

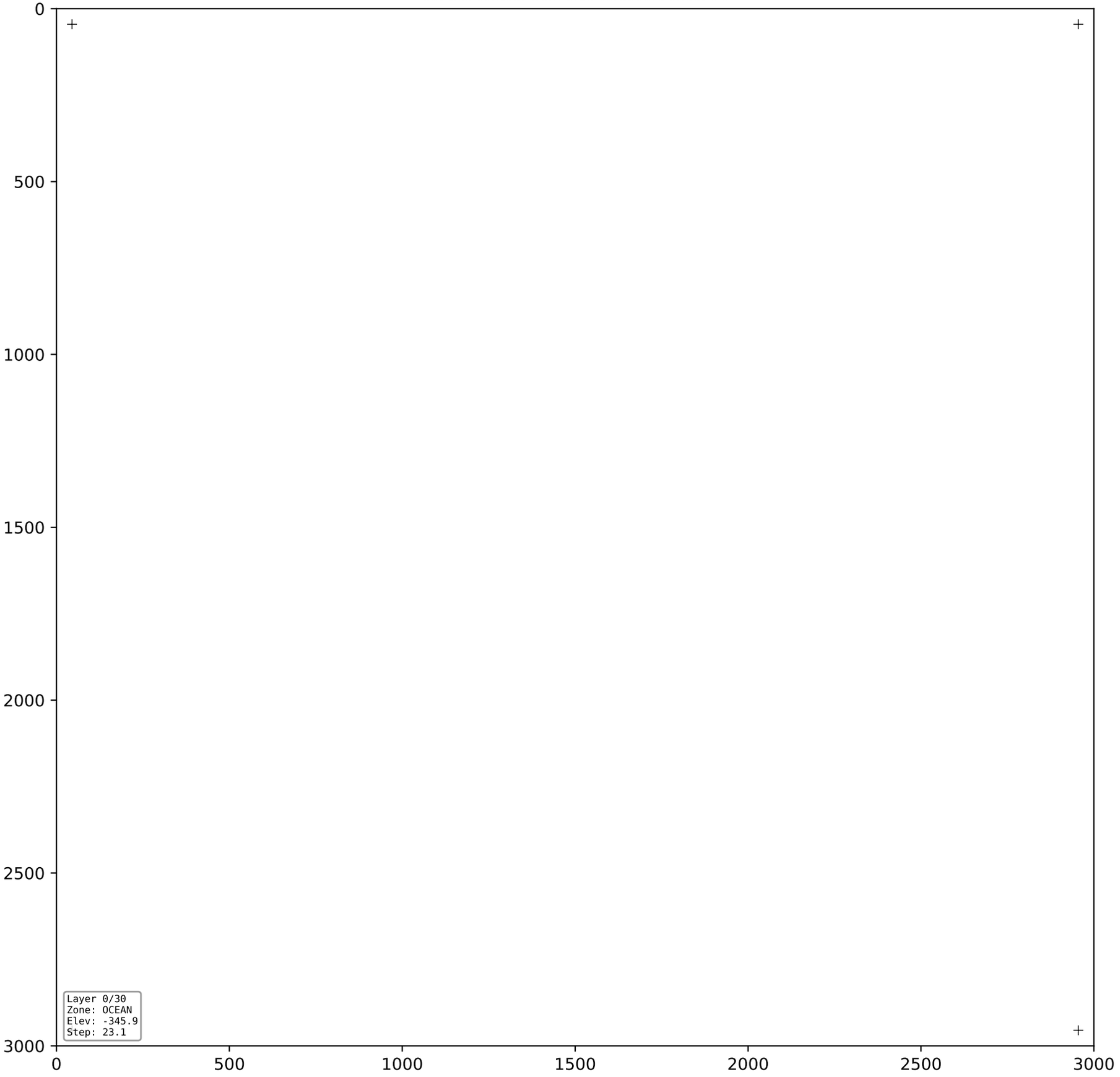

Layer 1 (OCEAN) — Elevation: -322.9
Cut this contour from blue cardboard sheet #1

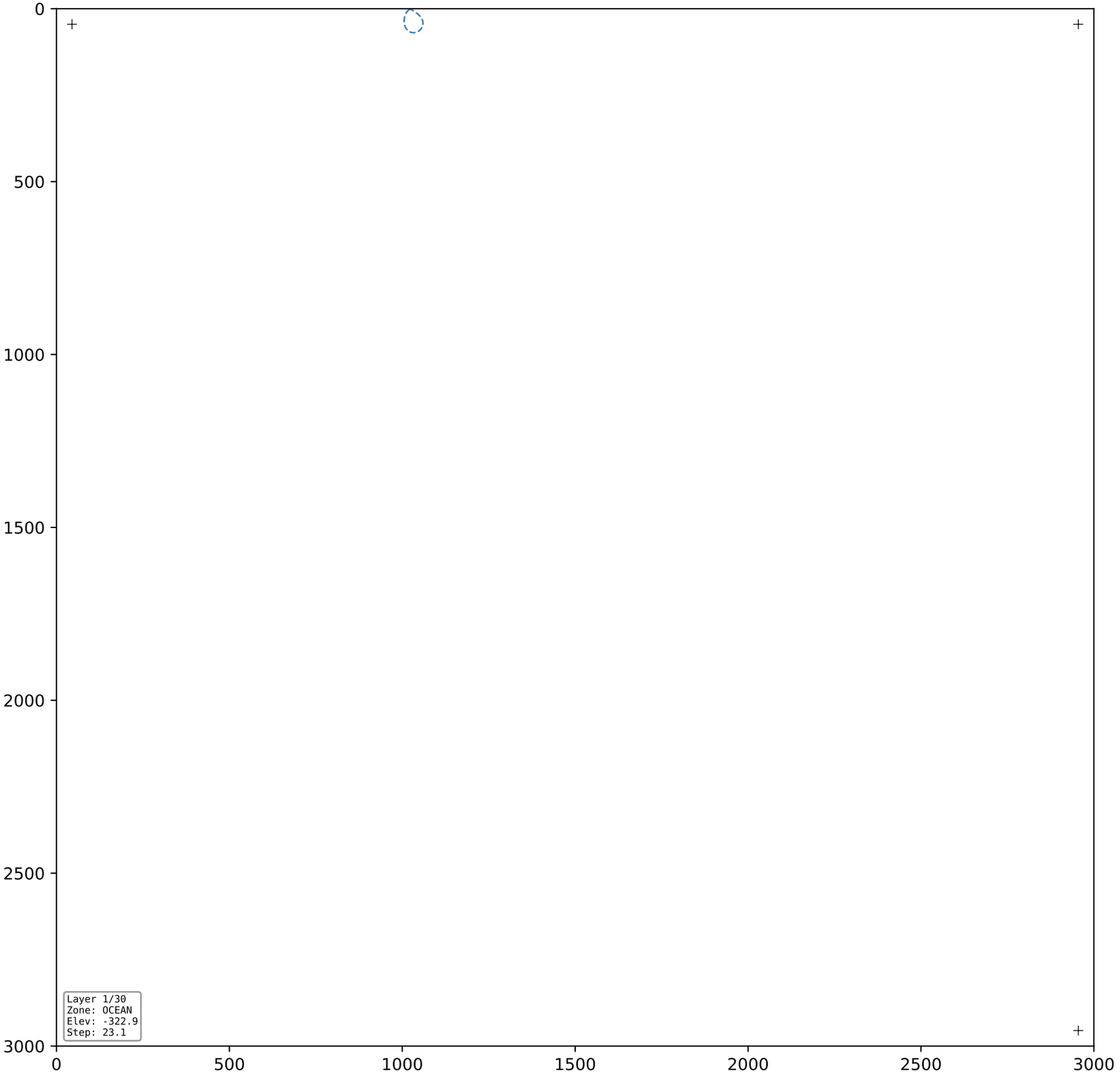

Layer 2 (OCEAN) — Elevation: -299.8
Cut this contour from blue cardboard sheet #2

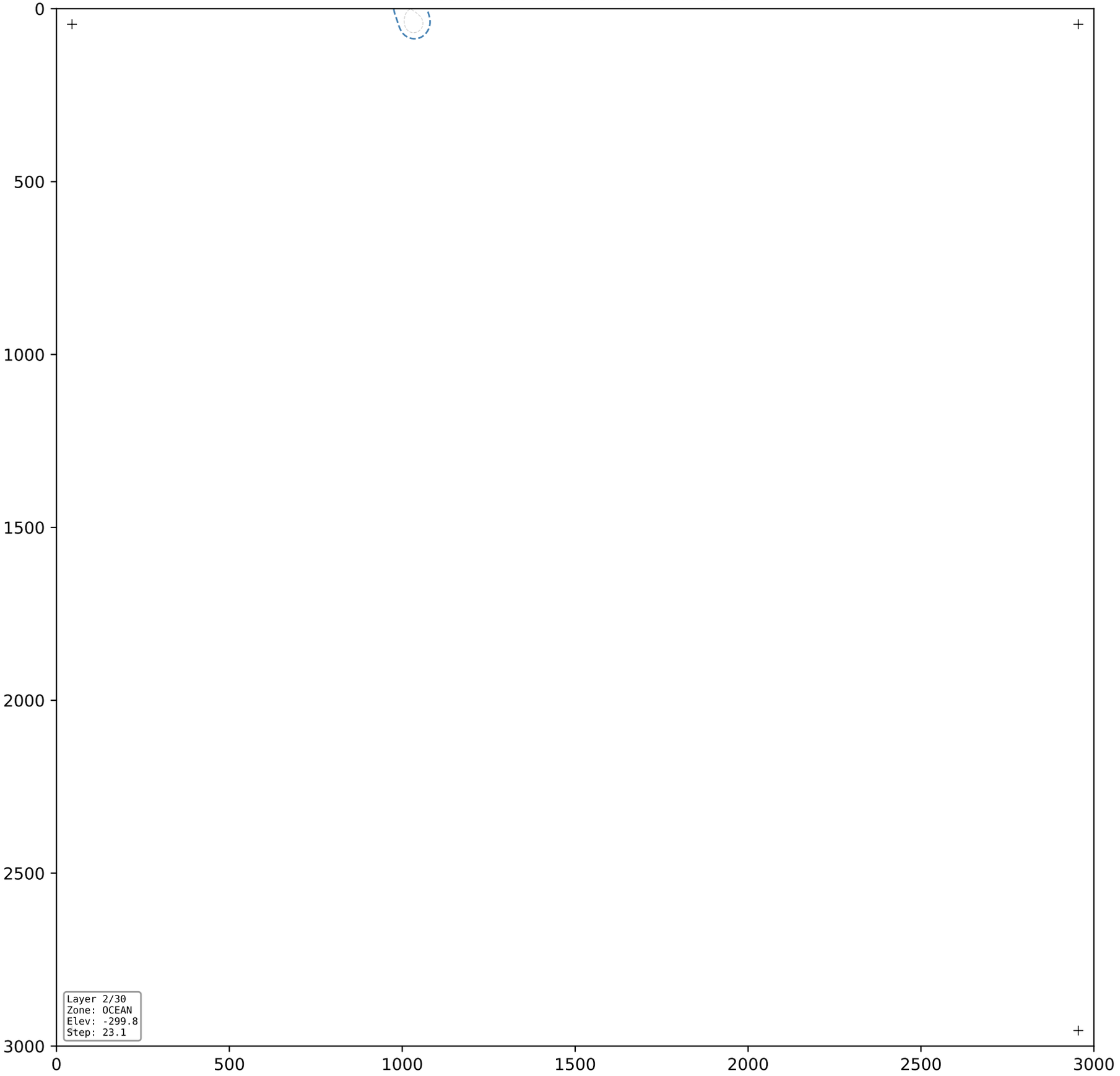

Layer 3 (OCEAN) — Elevation: -276.8
Cut this contour from blue cardboard sheet #3

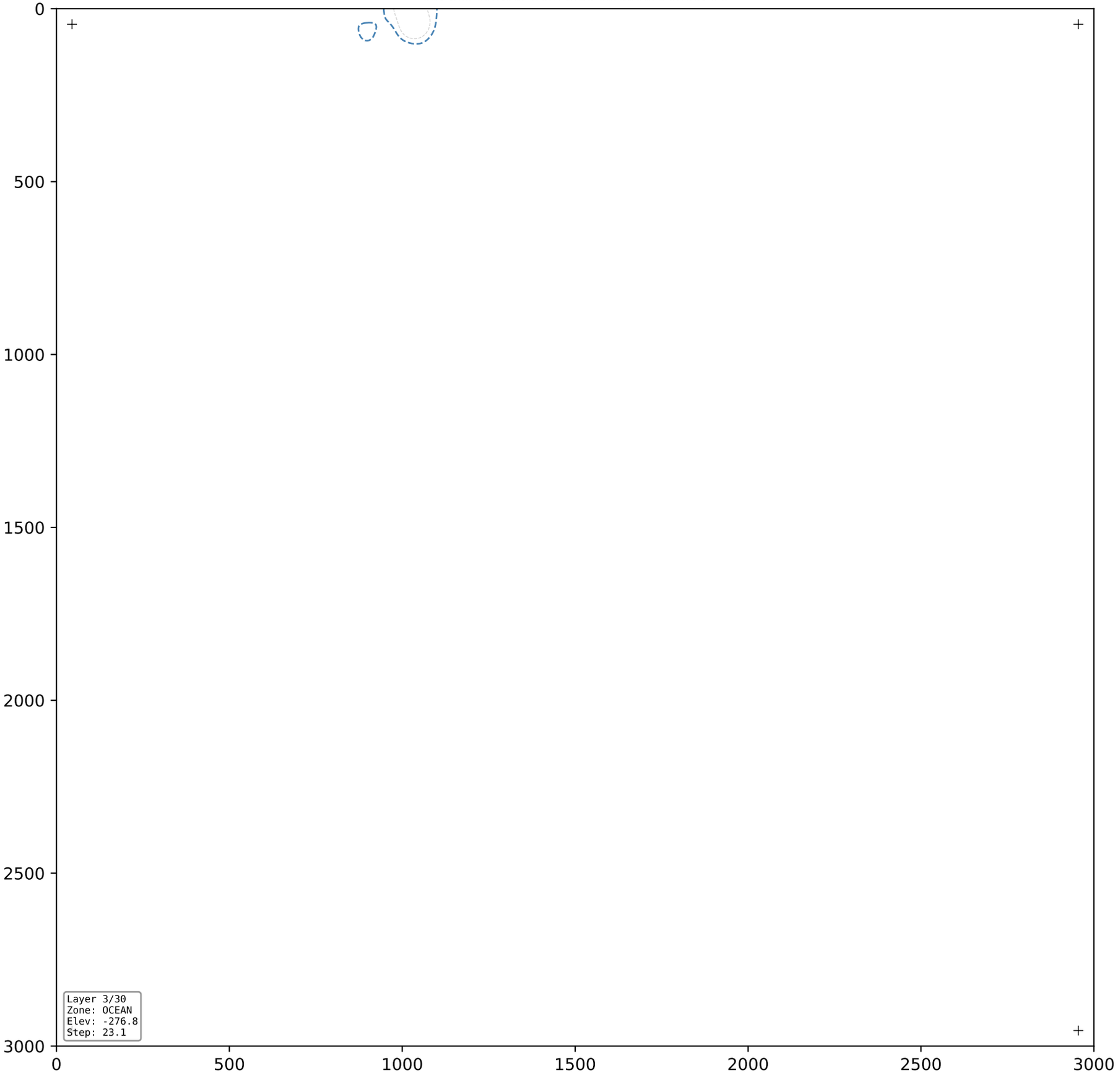

Layer 4 (OCEAN) — Elevation: -253.7
Cut this contour from blue cardboard sheet #4

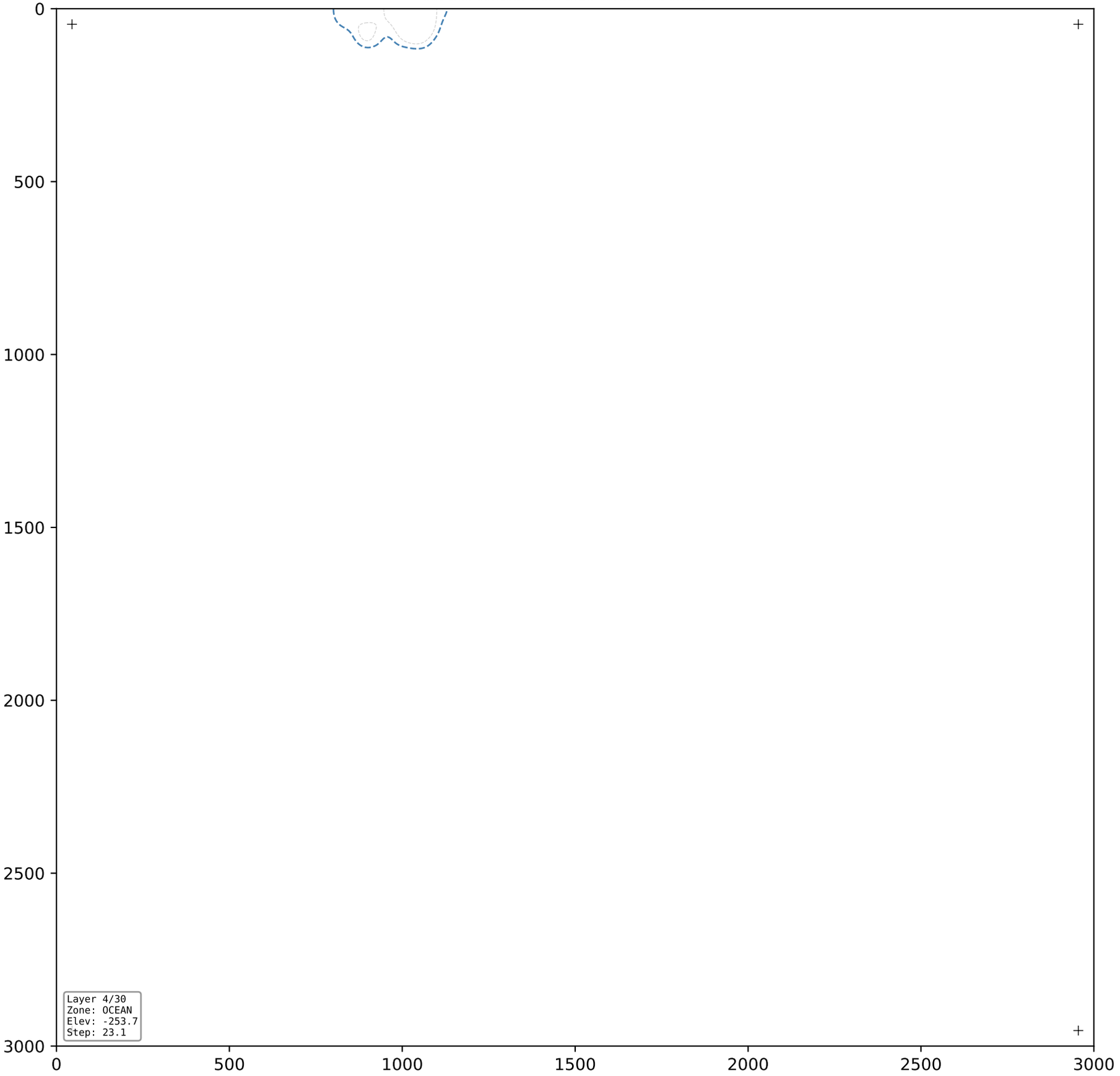

Layer 5 (OCEAN) — Elevation: -230.6
Cut this contour from blue cardboard sheet #5

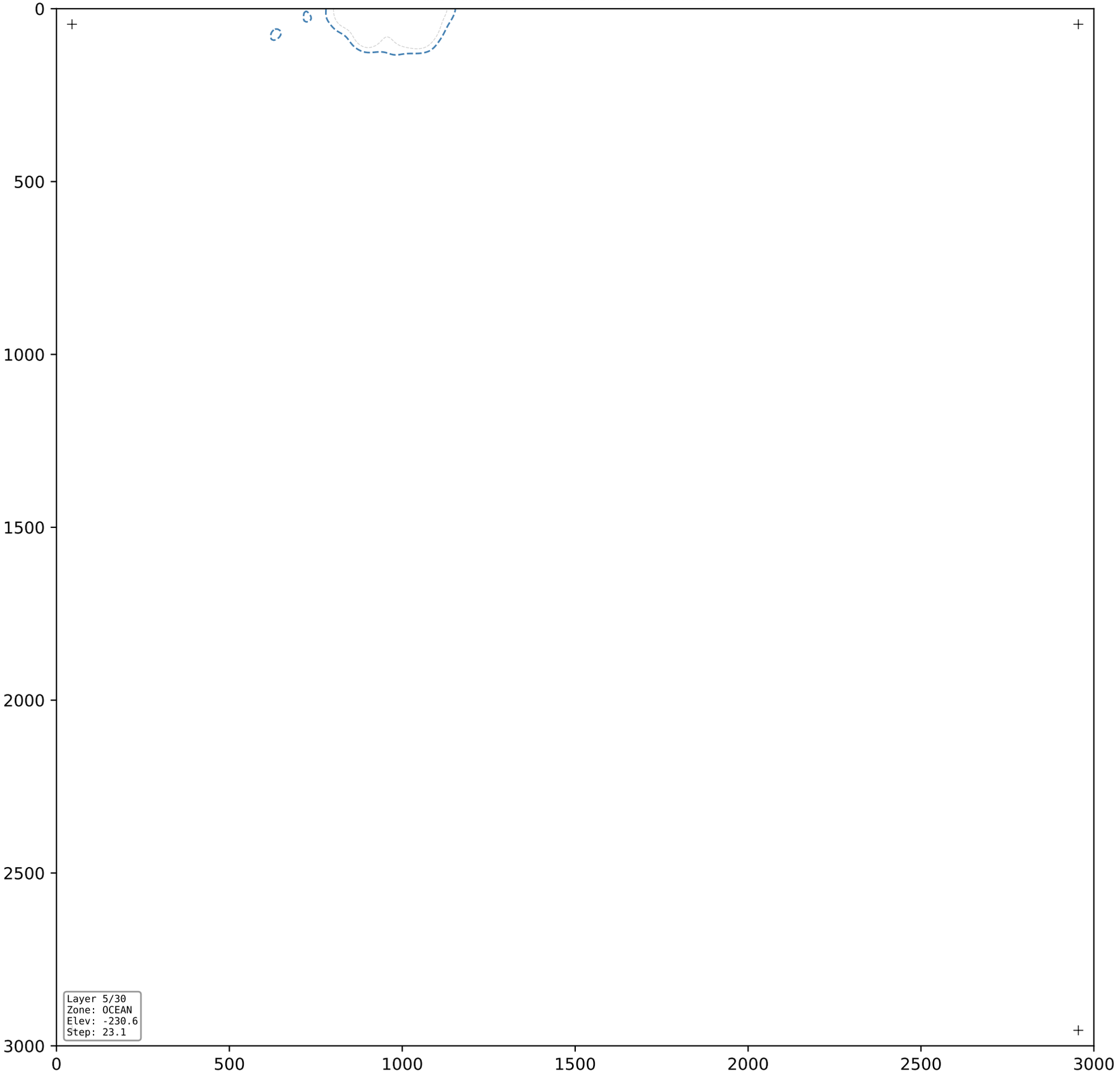

Layer 6 (OCEAN) — Elevation: -207.6
Cut this contour from blue cardboard sheet #6

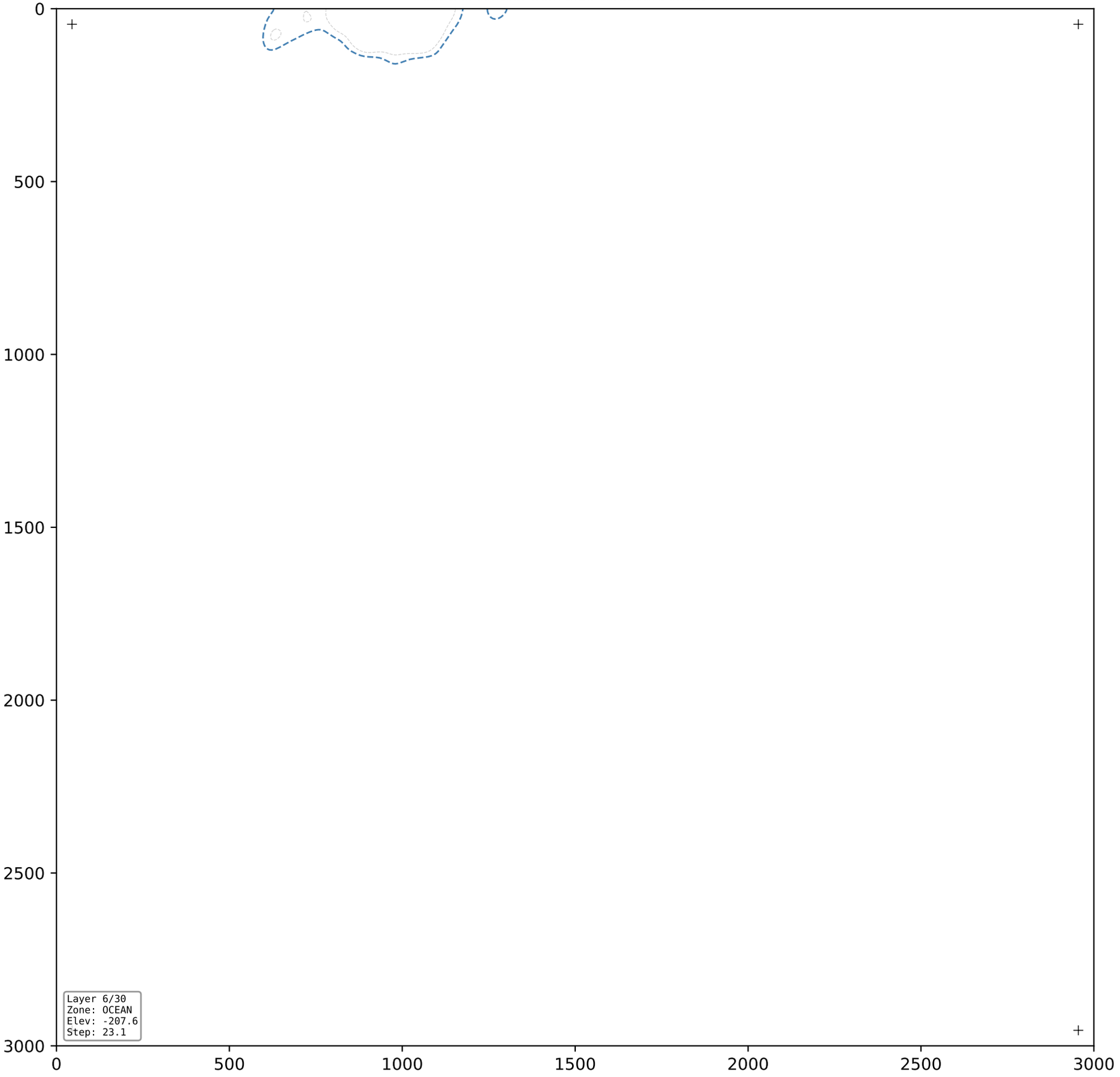

Layer 7 (OCEAN) — Elevation: -184.5
Cut this contour from blue cardboard sheet #7

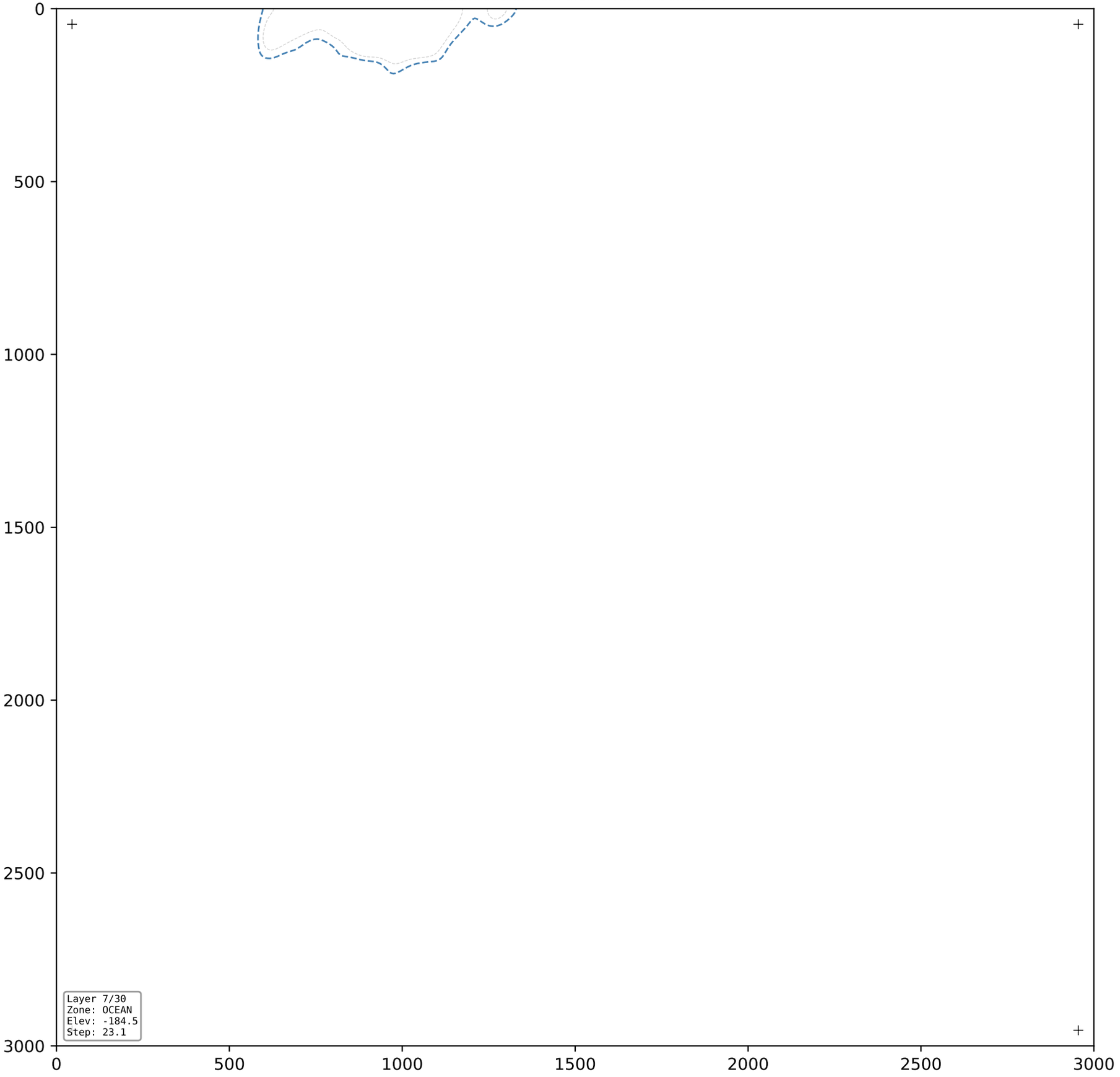

Layer 8 (OCEAN) — Elevation: -161.4
Cut this contour from blue cardboard sheet #8

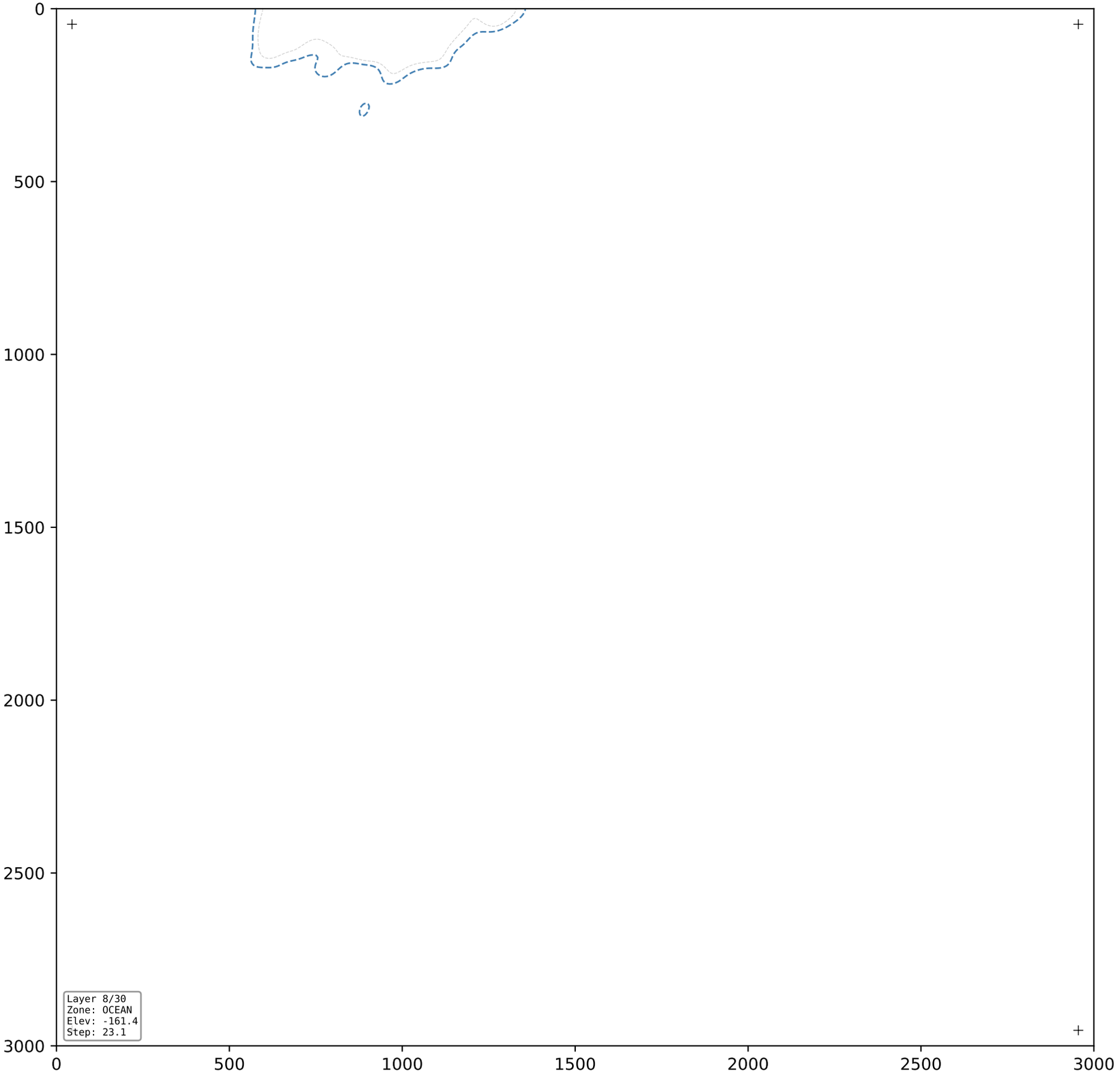

Layer 9 (OCEAN) — Elevation: -138.4
Cut this contour from blue cardboard sheet #9

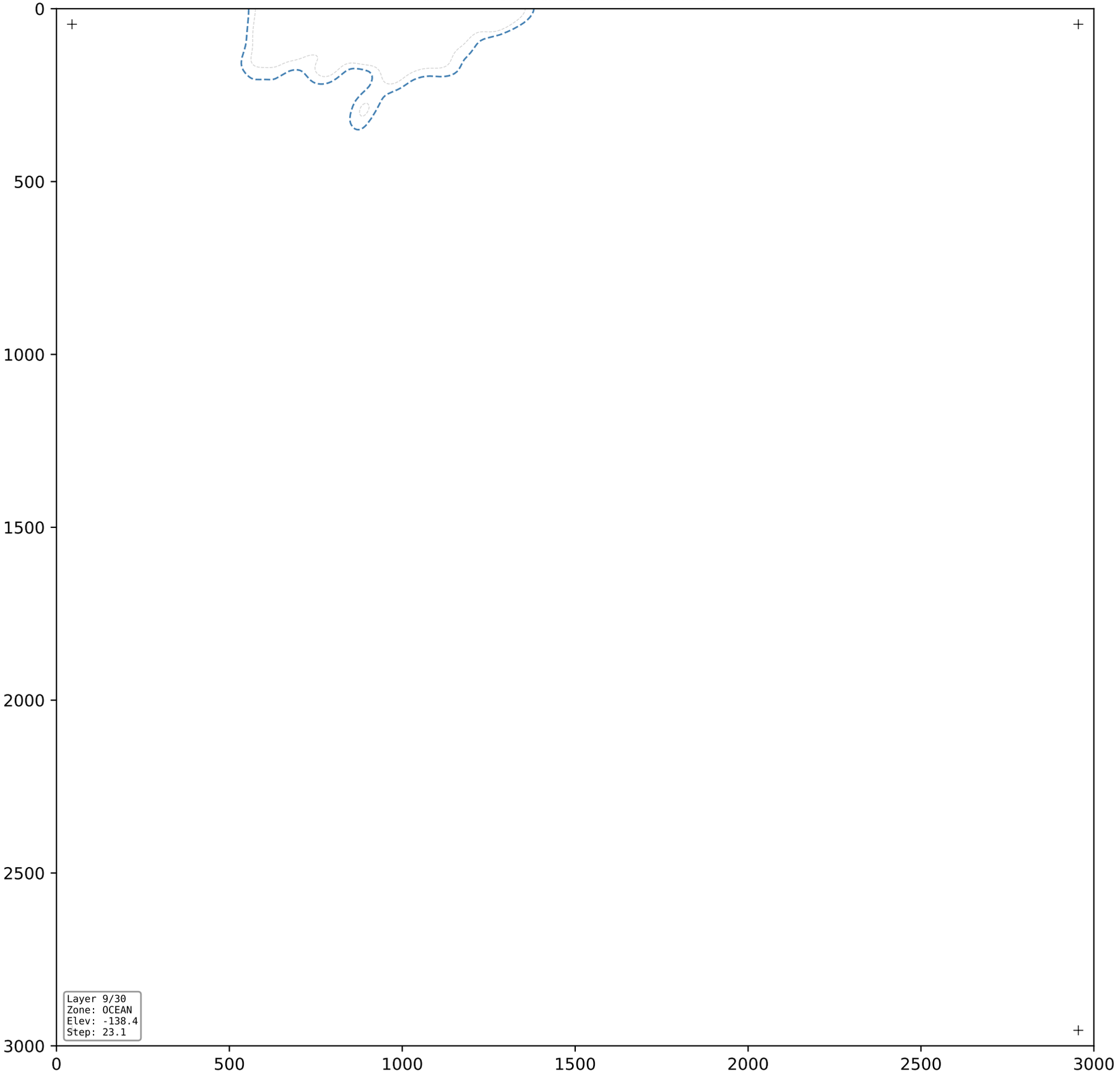

Layer 10 (OCEAN) — Elevation: -115.3
Cut this contour from blue cardboard sheet #10

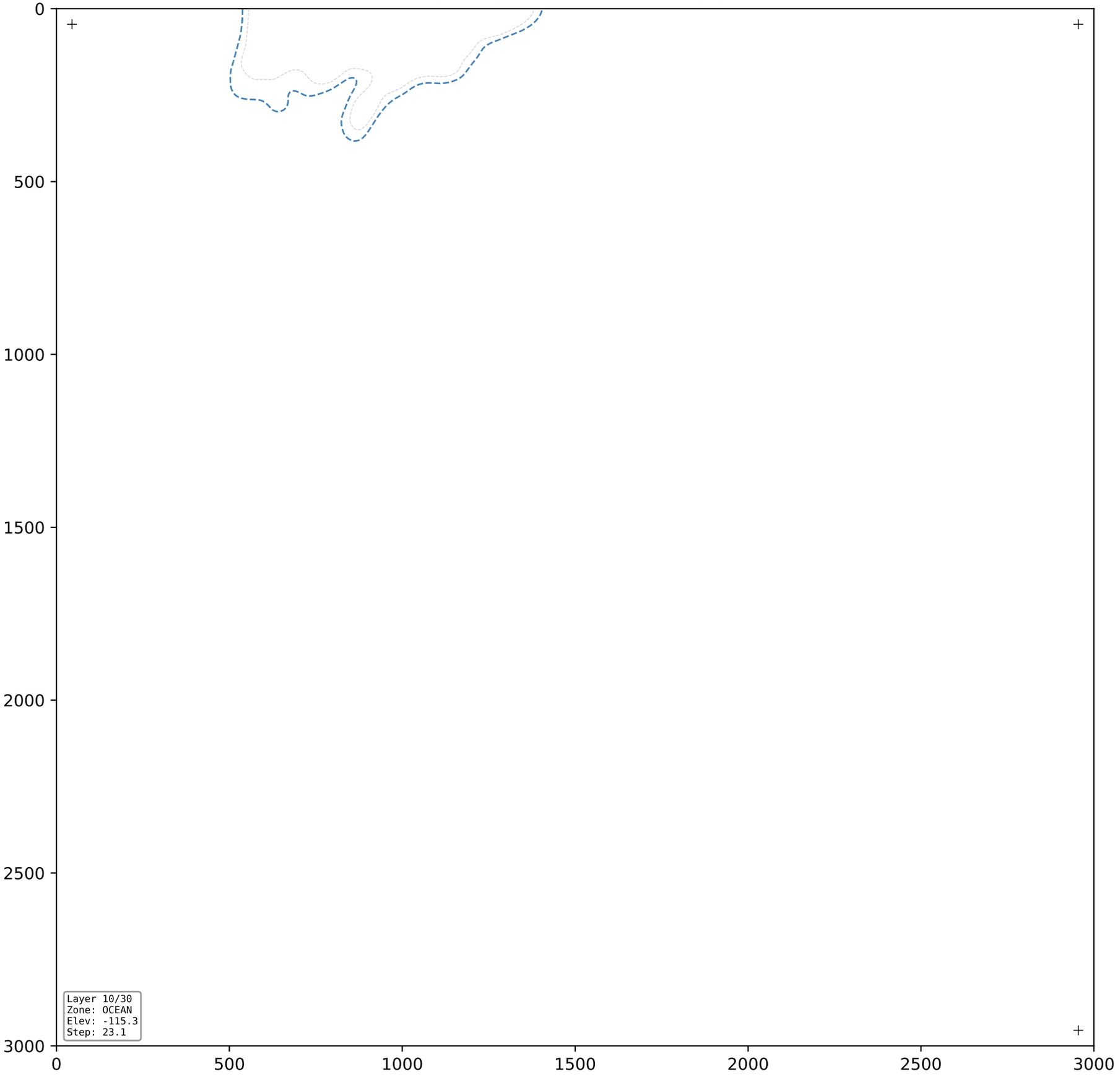

Layer 11 (OCEAN) — Elevation: -92.3
Cut this contour from blue cardboard sheet #11

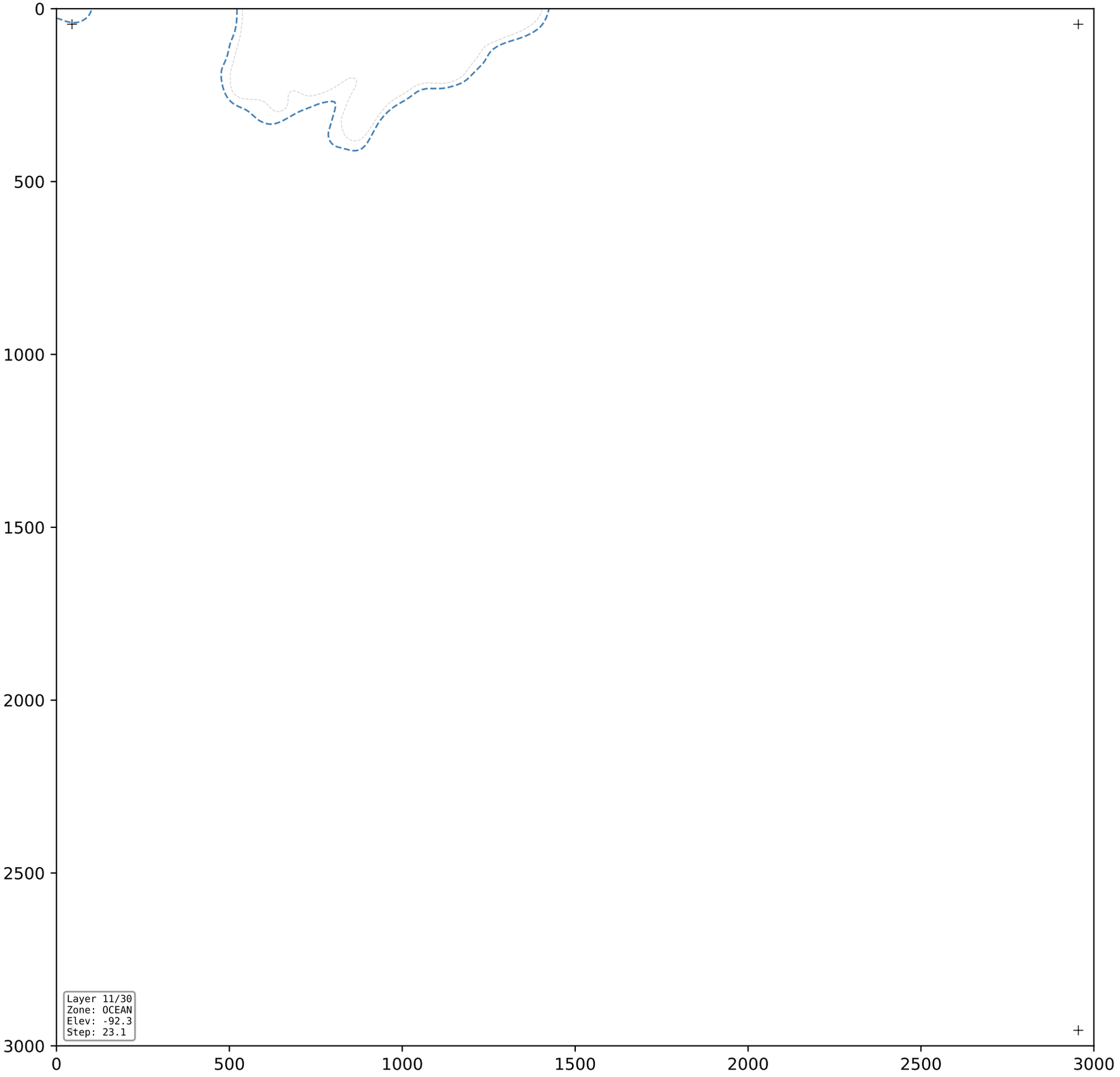

Layer 12 (OCEAN) — Elevation: -69.2
Cut this contour from blue cardboard sheet #12

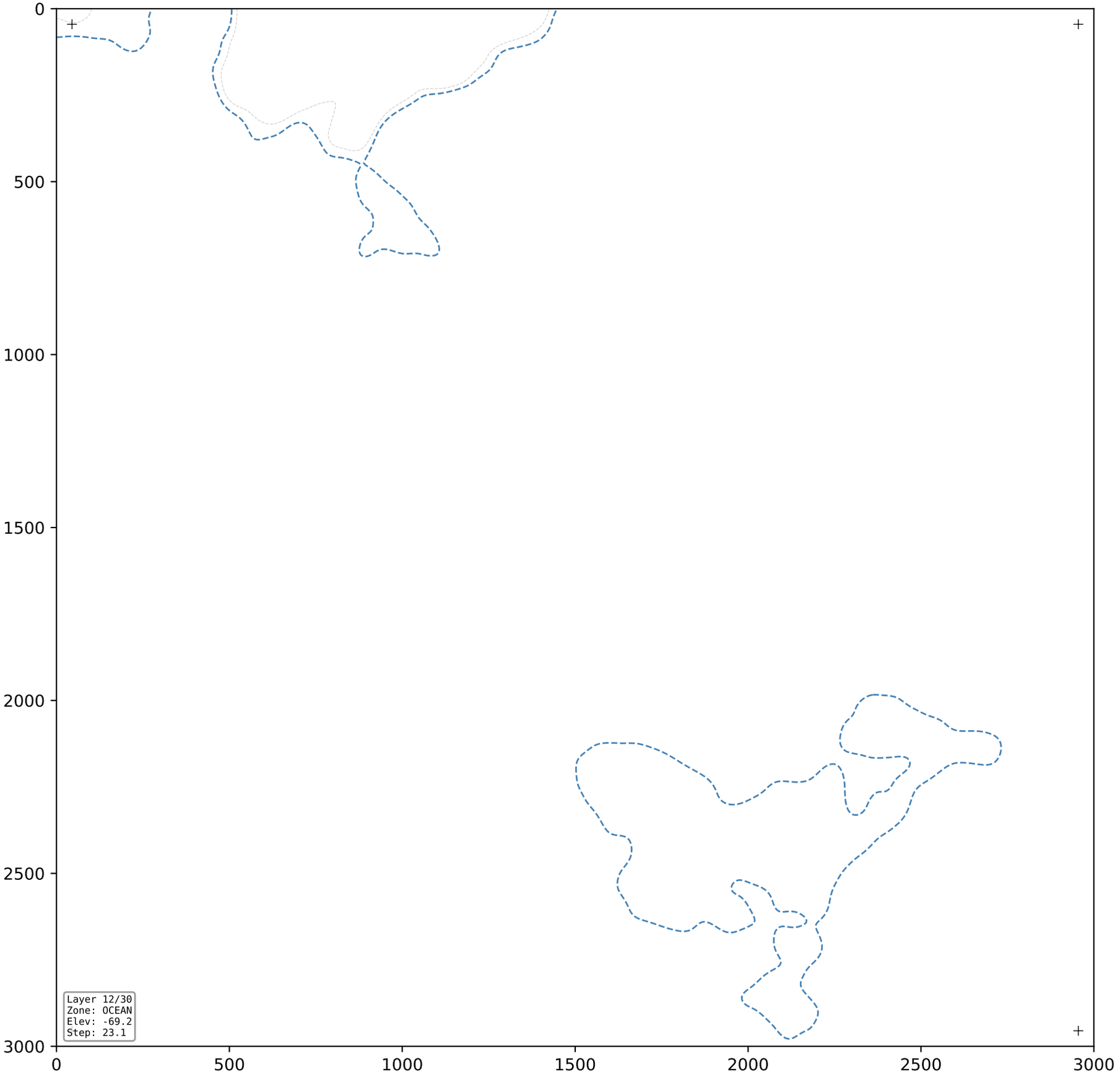

Layer 13 (OCEAN) — Elevation: -46.1
Cut this contour from blue cardboard sheet #13

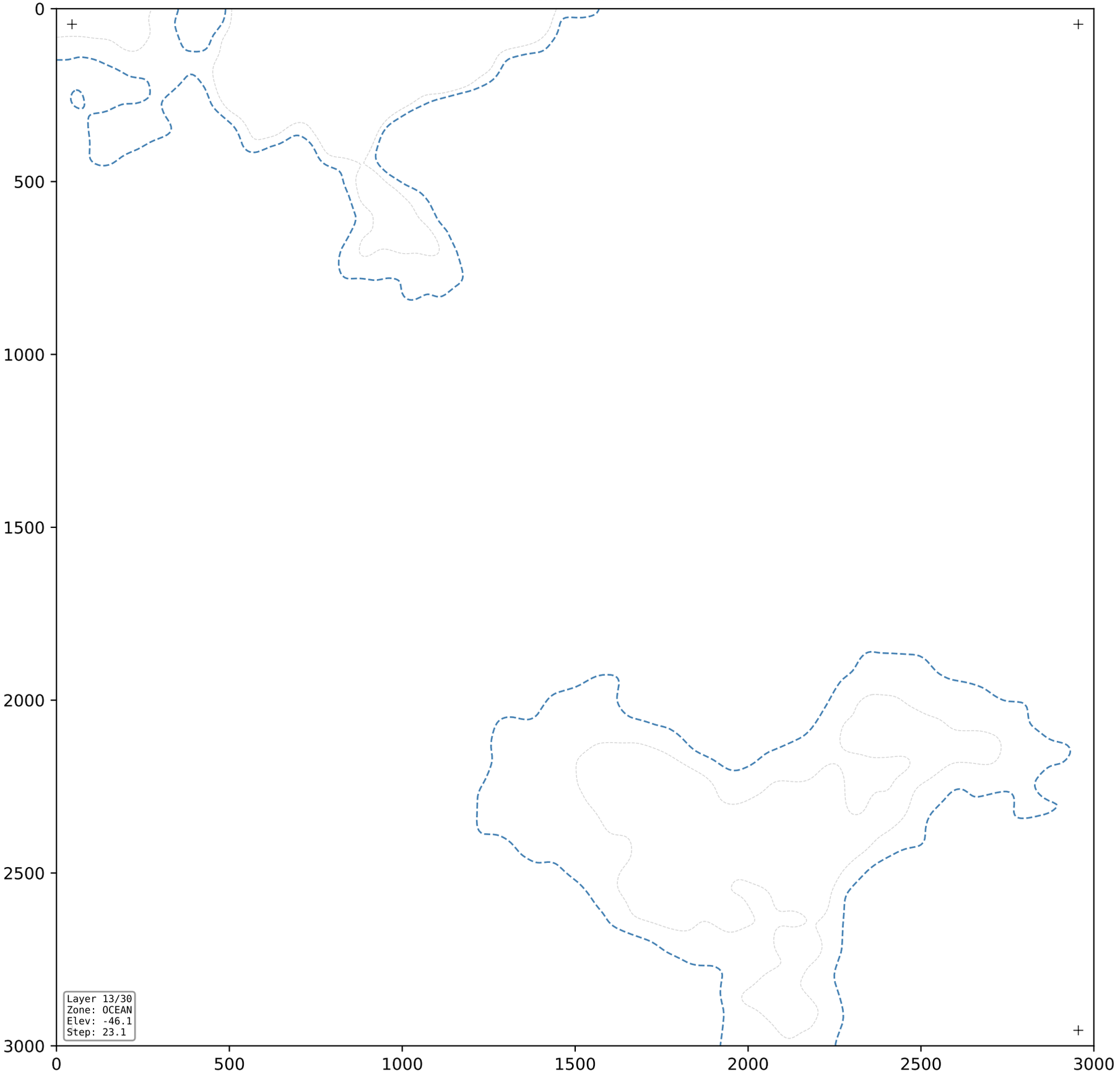

Layer 14 (OCEAN) — Elevation: -23.1
Cut this contour from blue cardboard sheet #14

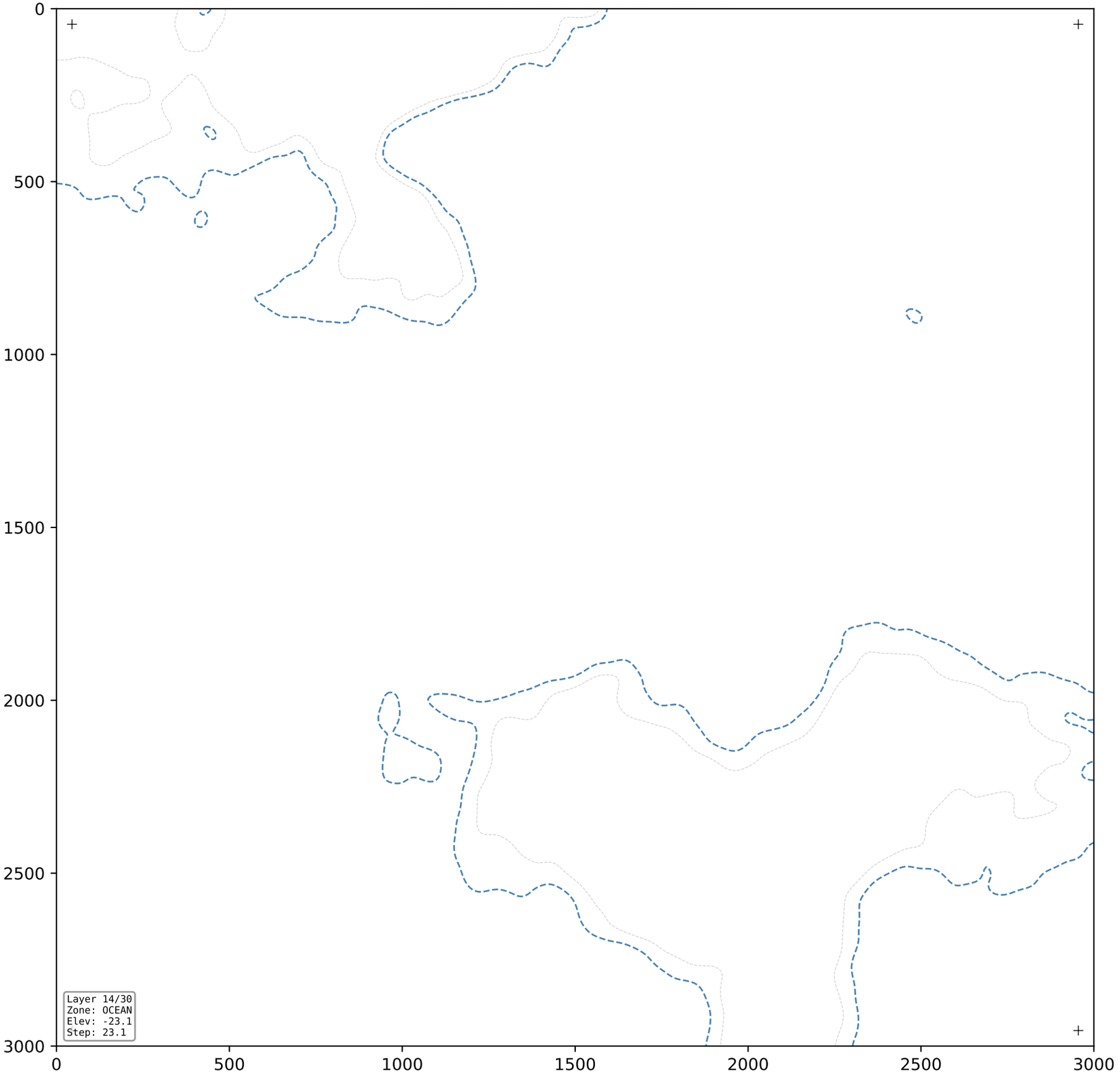

Layer 15 (SEA LEVEL) — Elevation: 0.0
Cut this contour from brown cardboard sheet #15

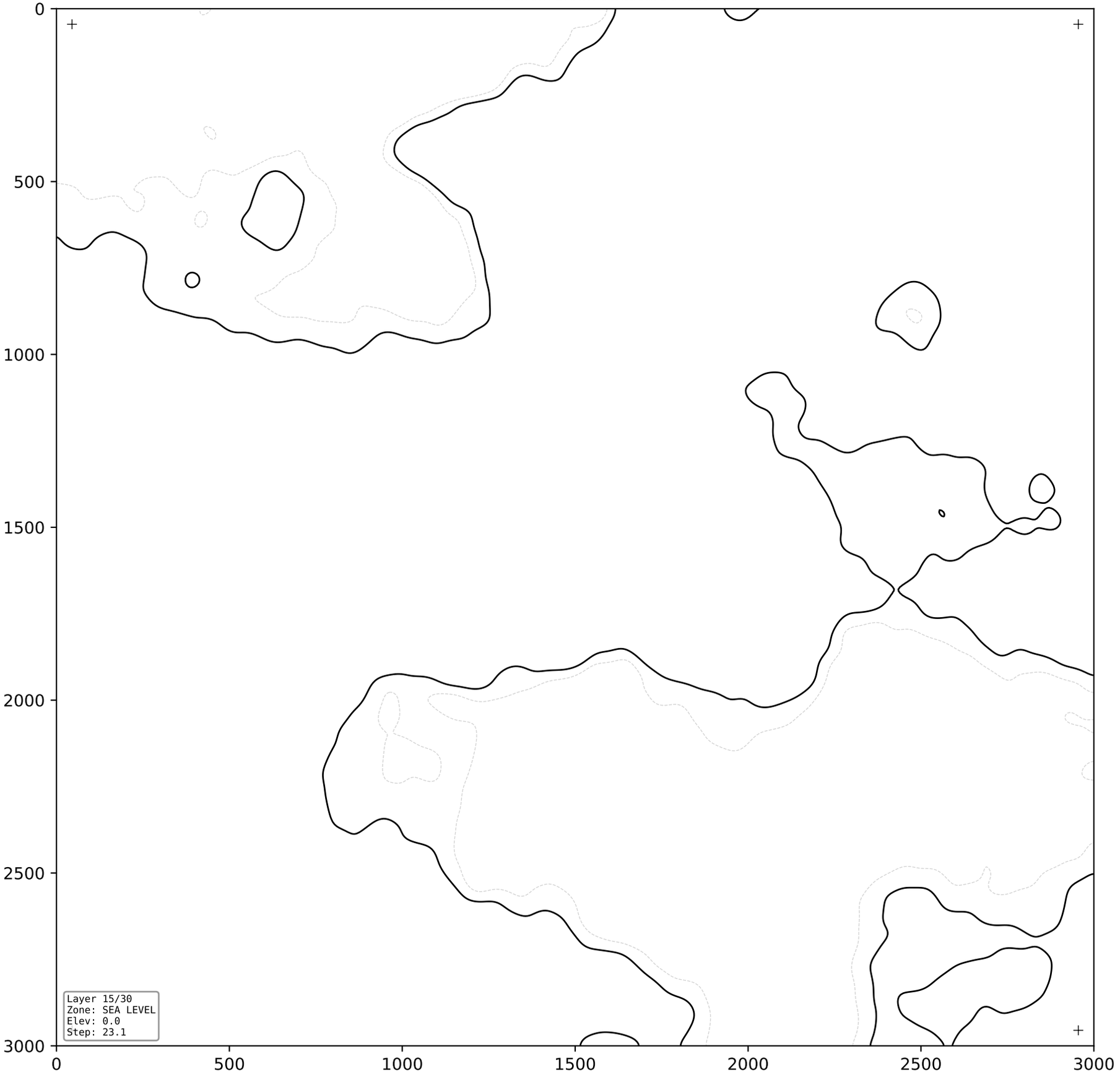

Layer 16 (LAND) — Elevation: 23.1
Cut this contour from brown cardboard sheet #16

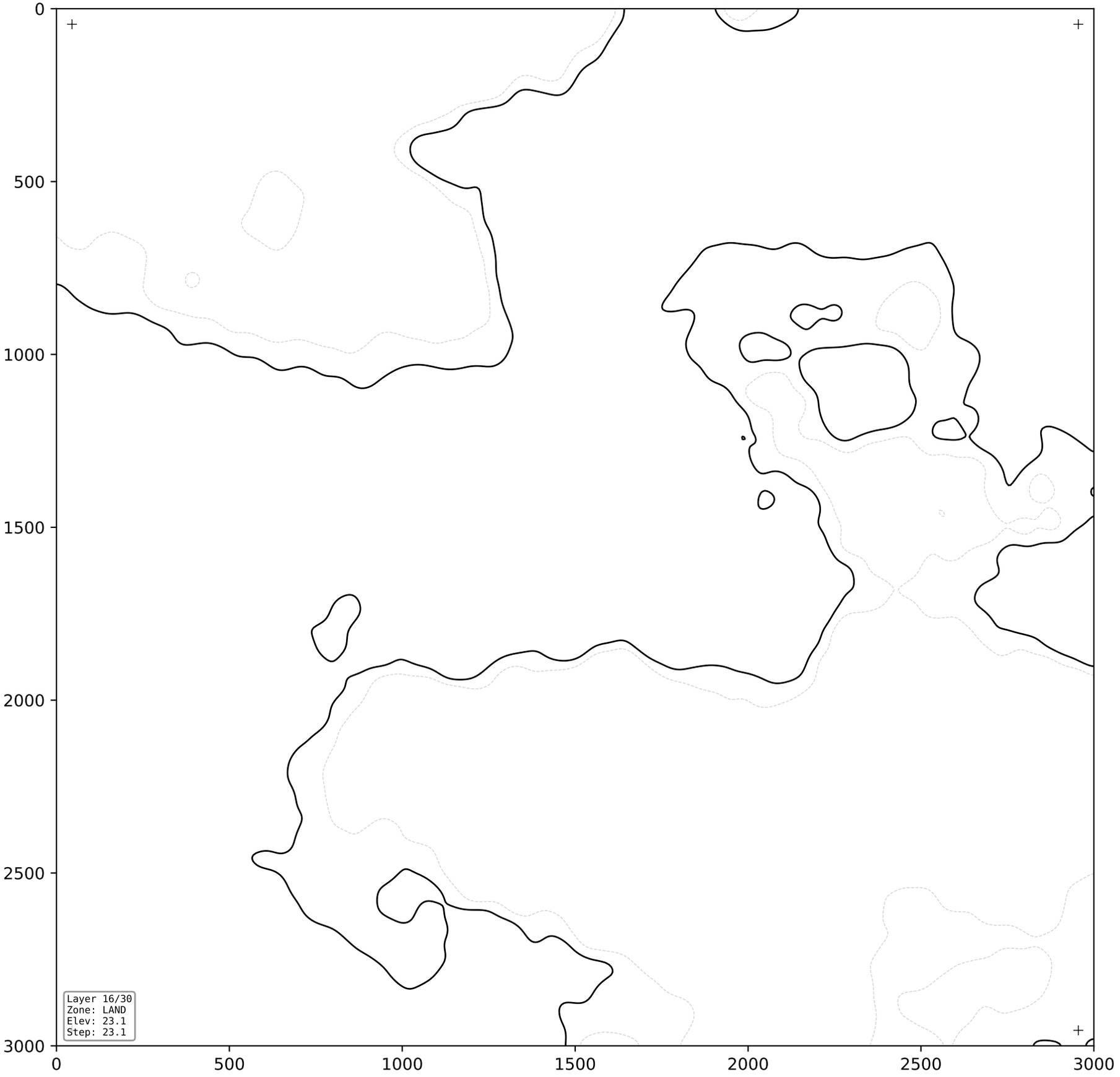

Layer 17 (LAND) — Elevation: 46.1
Cut this contour from brown cardboard sheet #17

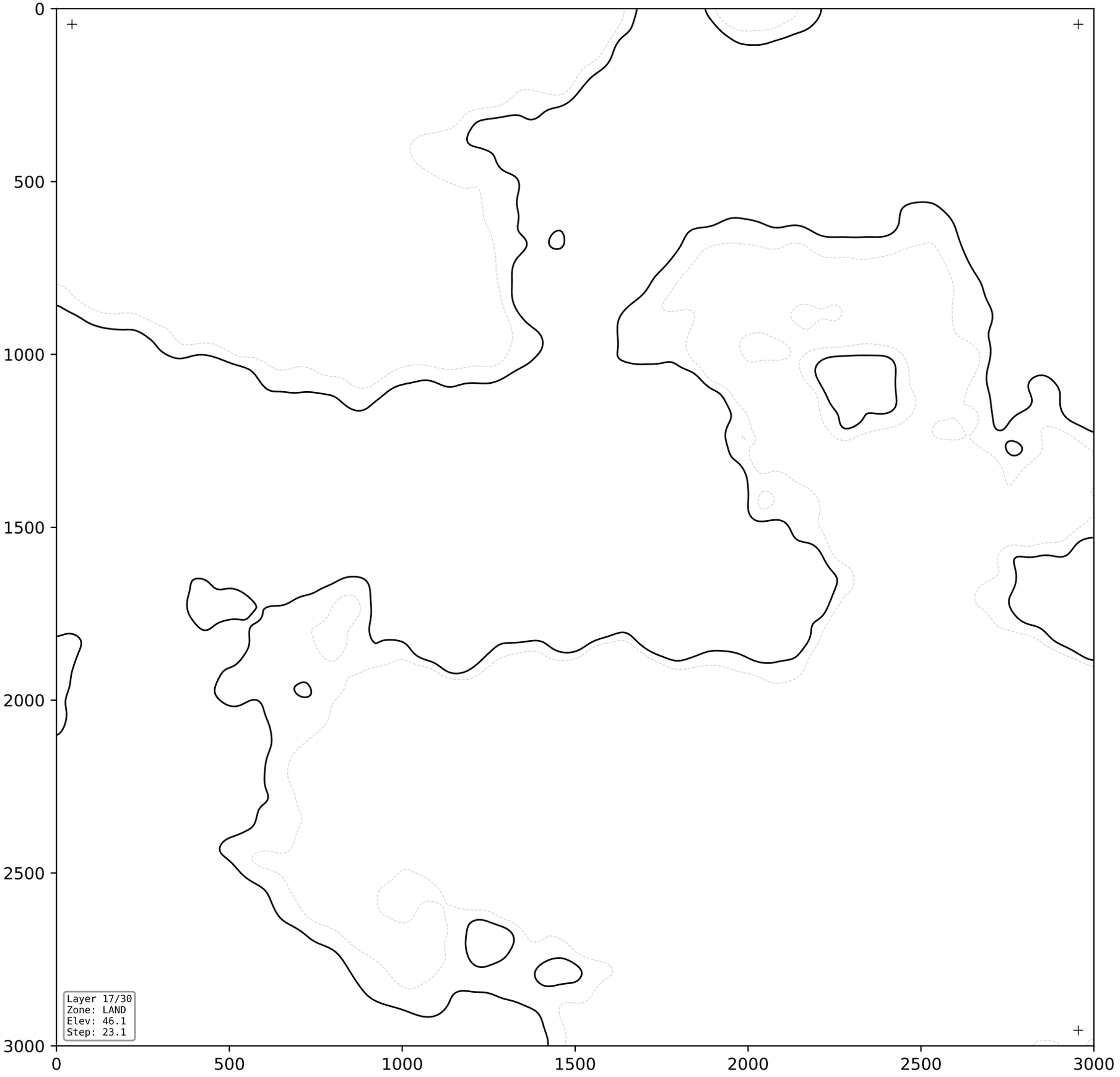

Layer 18 (LAND) — Elevation: 69.2
Cut this contour from brown cardboard sheet #18

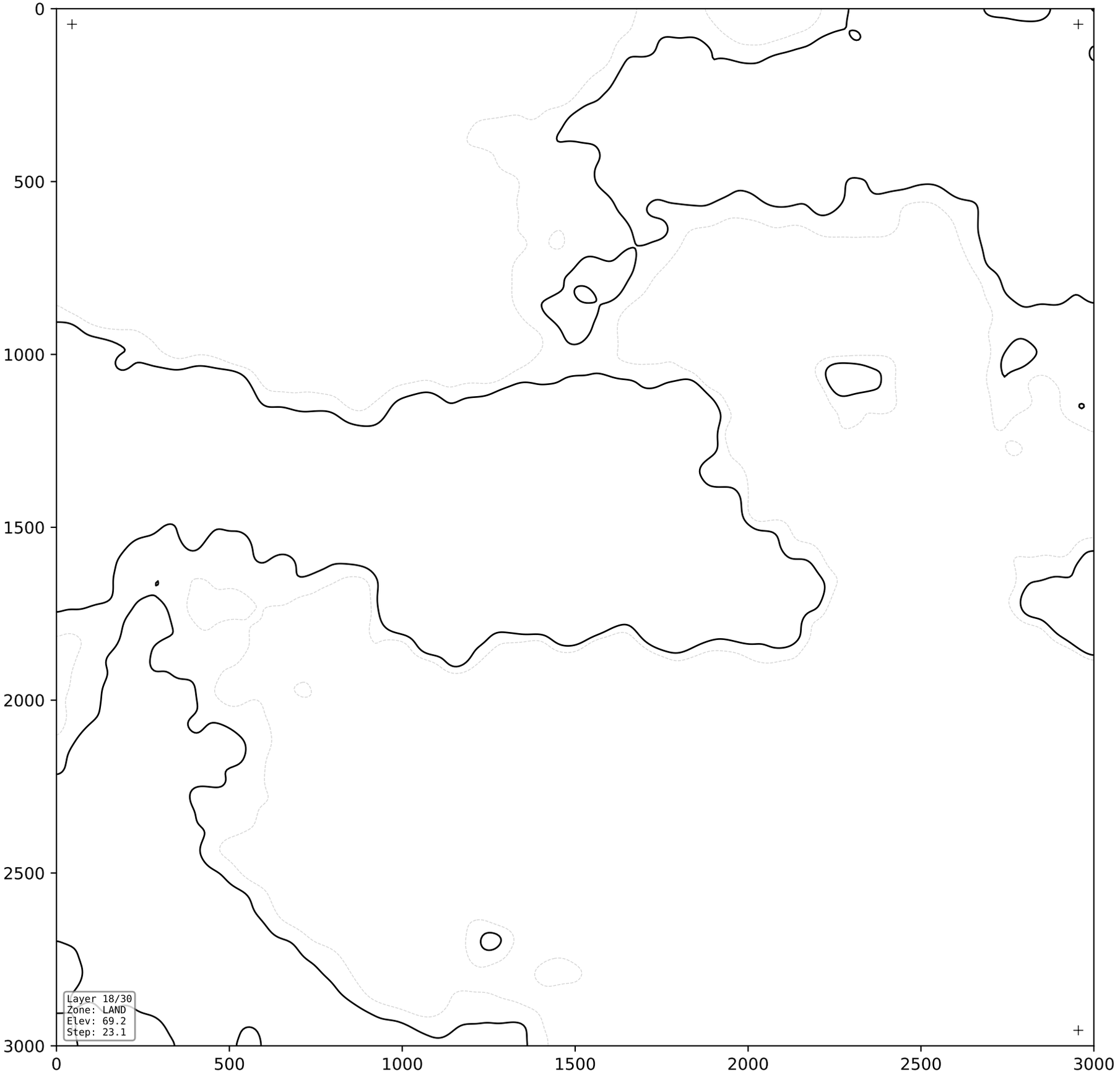

Layer 19 (LAND) — Elevation: 92.3
Cut this contour from brown cardboard sheet #19

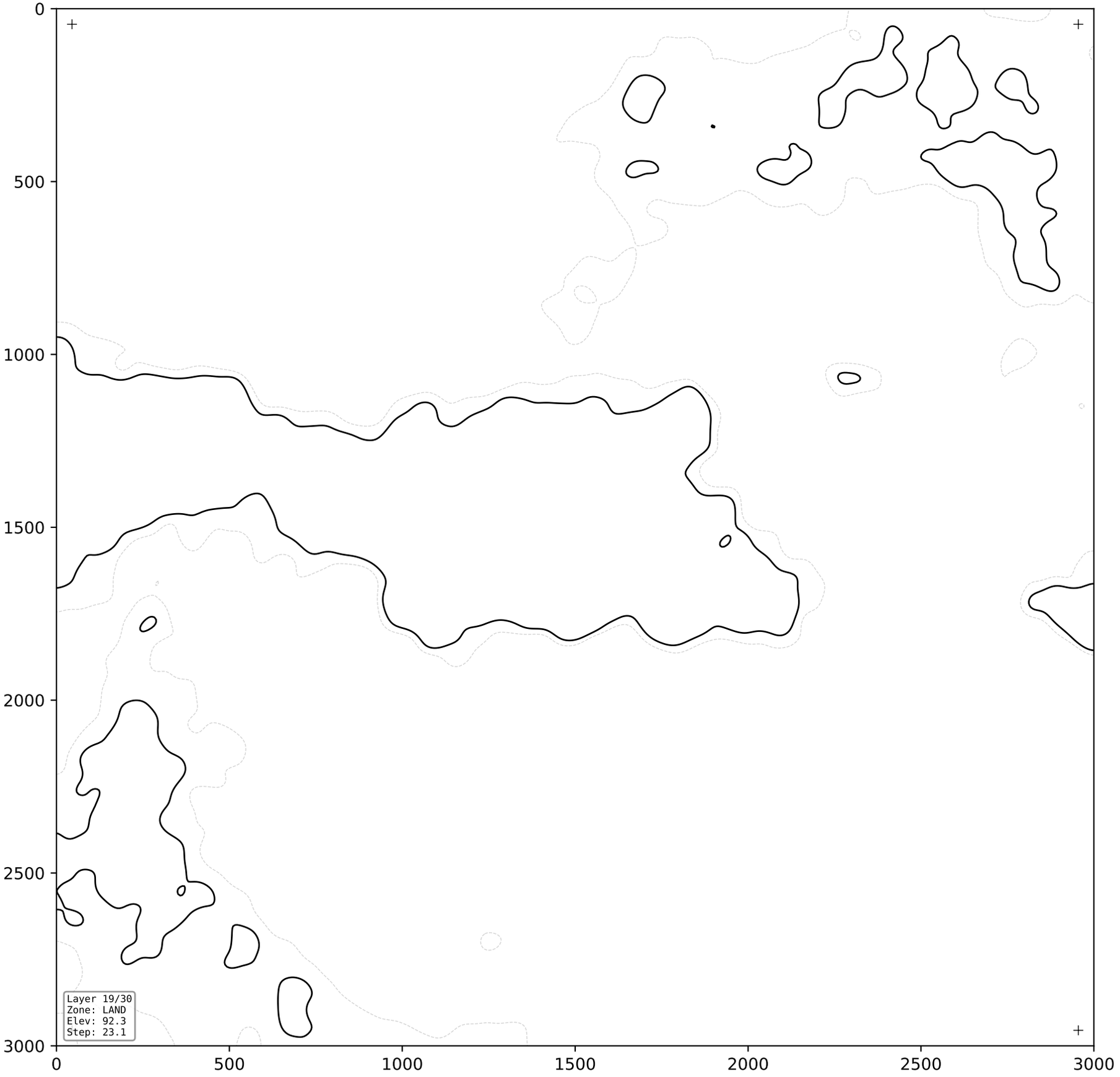

Layer 20 (LAND) — Elevation: 115.3
Cut this contour from brown cardboard sheet #20

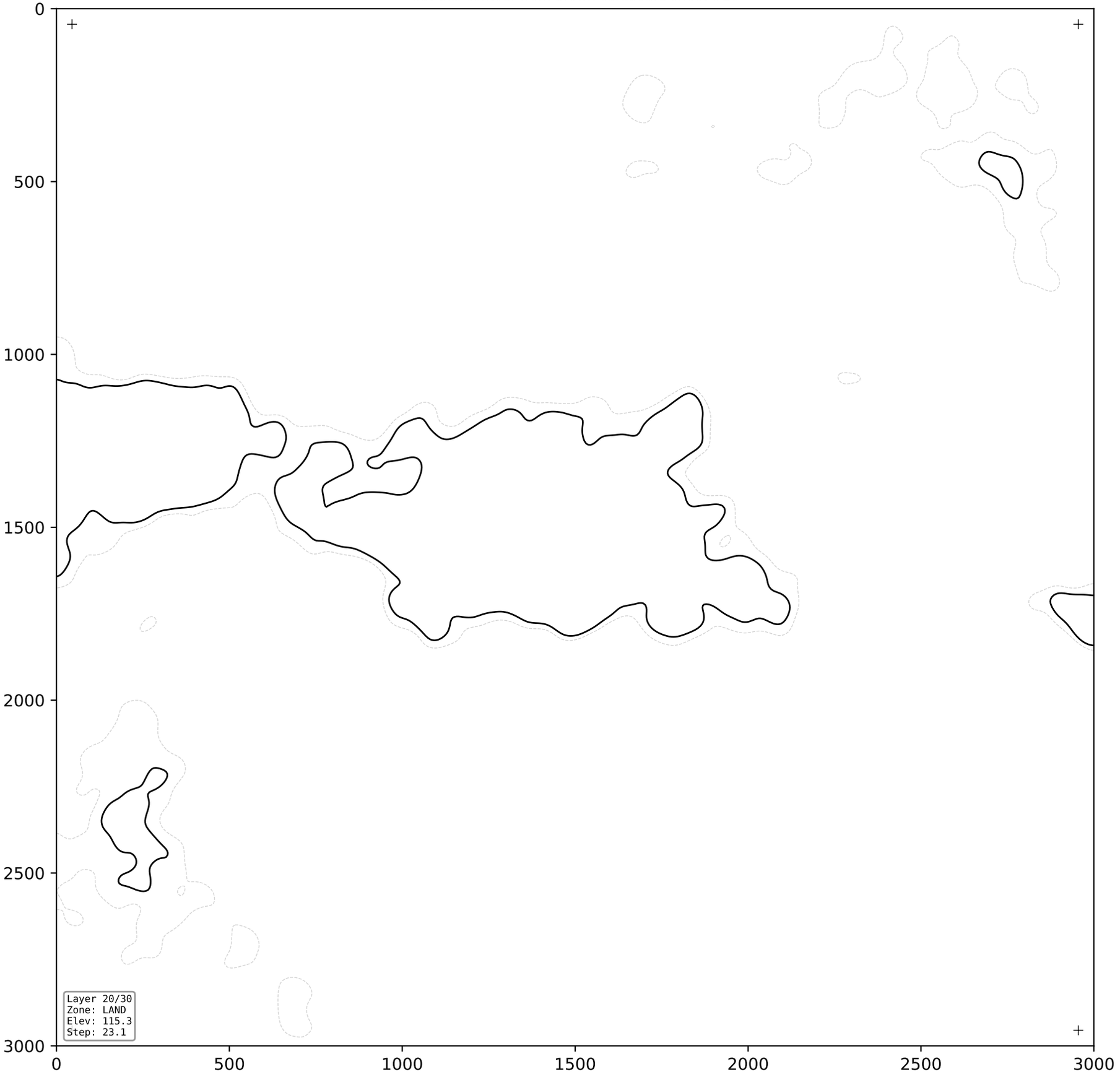

Layer 21 (LAND) — Elevation: 138.4
Cut this contour from brown cardboard sheet #21

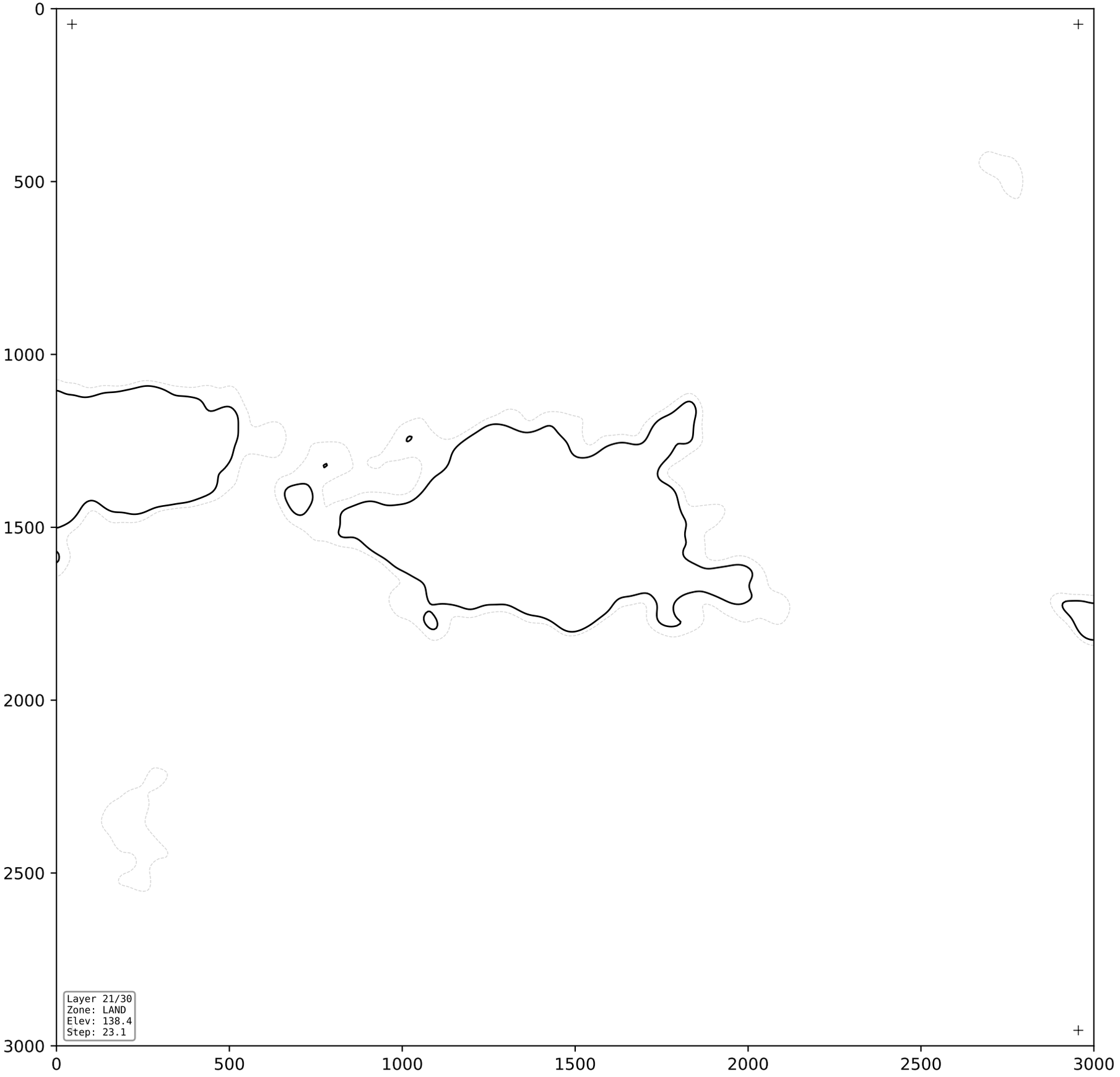

Layer 22 (LAND) — Elevation: 161.4
Cut this contour from brown cardboard sheet #22

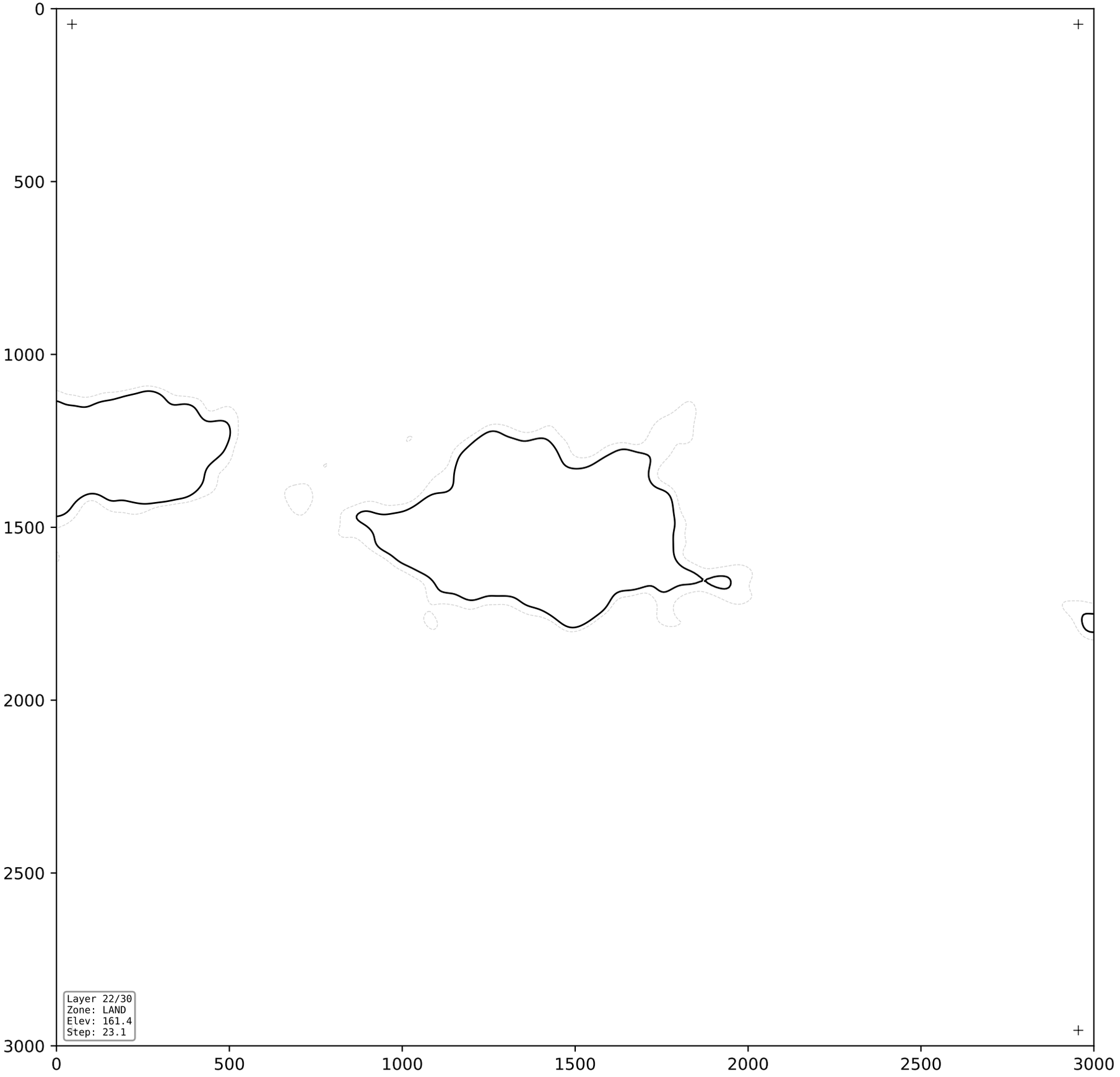

Layer 23 (LAND) — Elevation: 184.5
Cut this contour from brown cardboard sheet #23

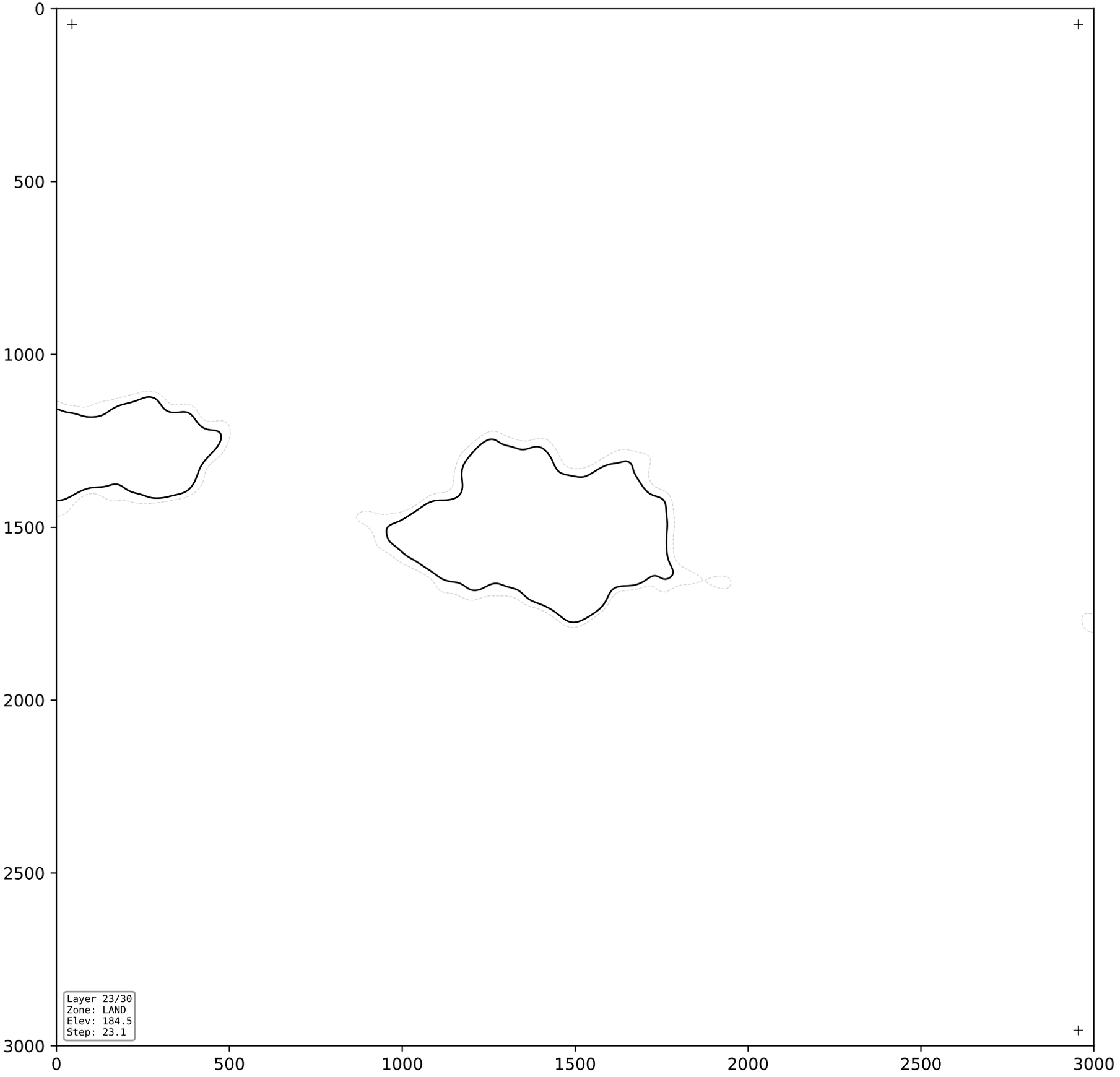

Layer 24 (LAND) — Elevation: 207.6
Cut this contour from brown cardboard sheet #24

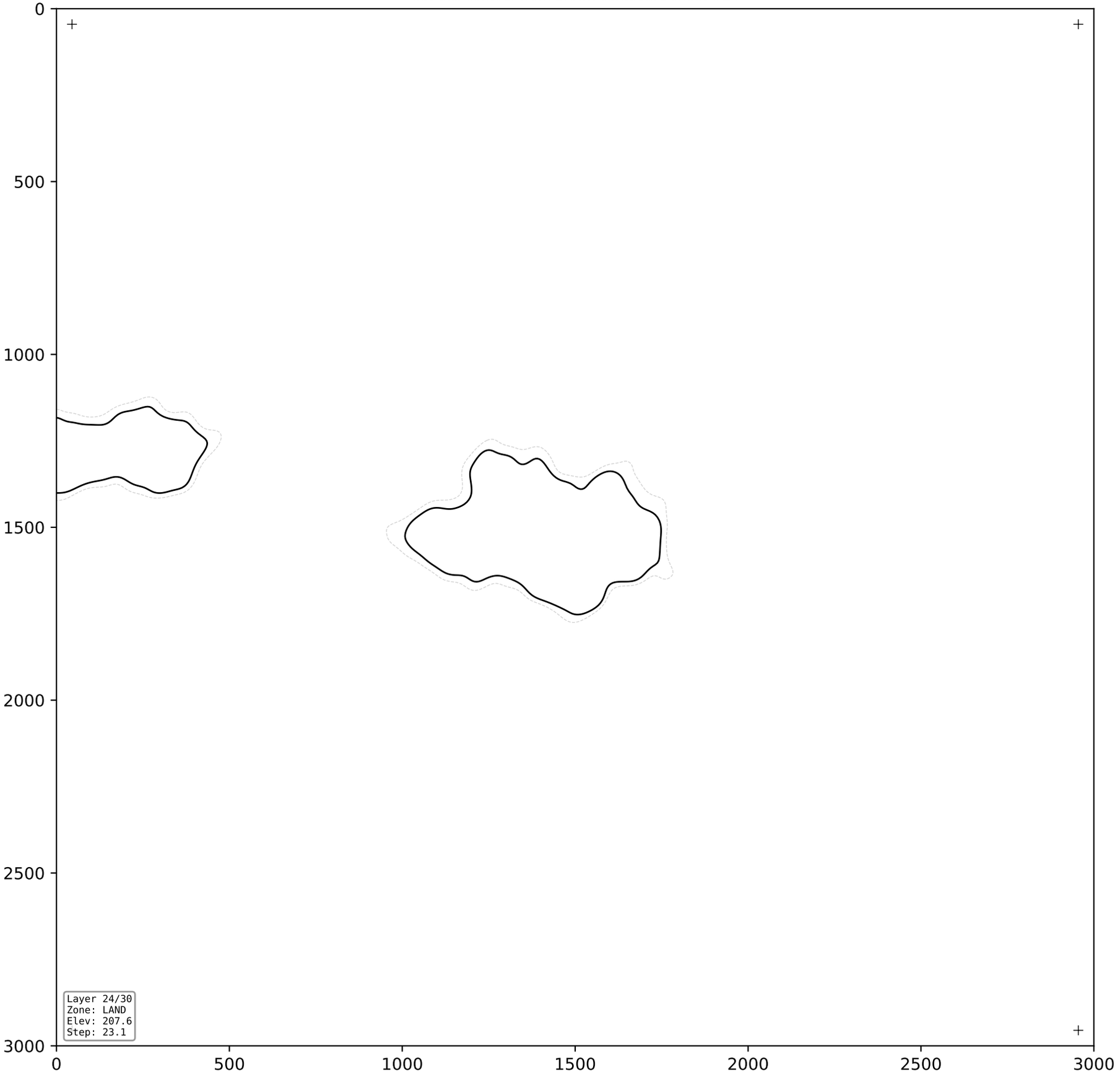

Layer 25 (LAND) — Elevation: 230.6
Cut this contour from brown cardboard sheet #25

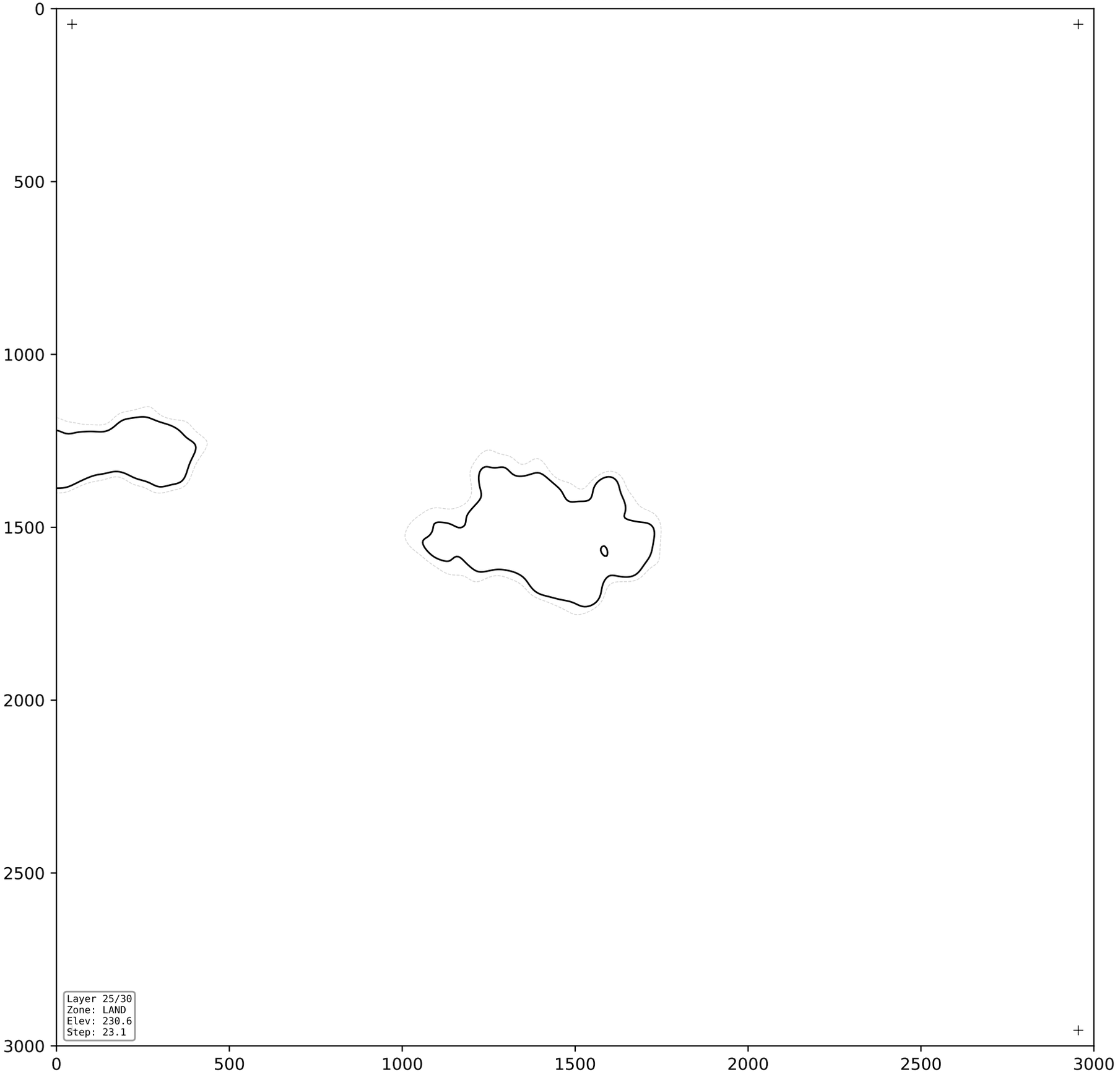

Layer 26 (LAND) — Elevation: 253.7
Cut this contour from brown cardboard sheet #26

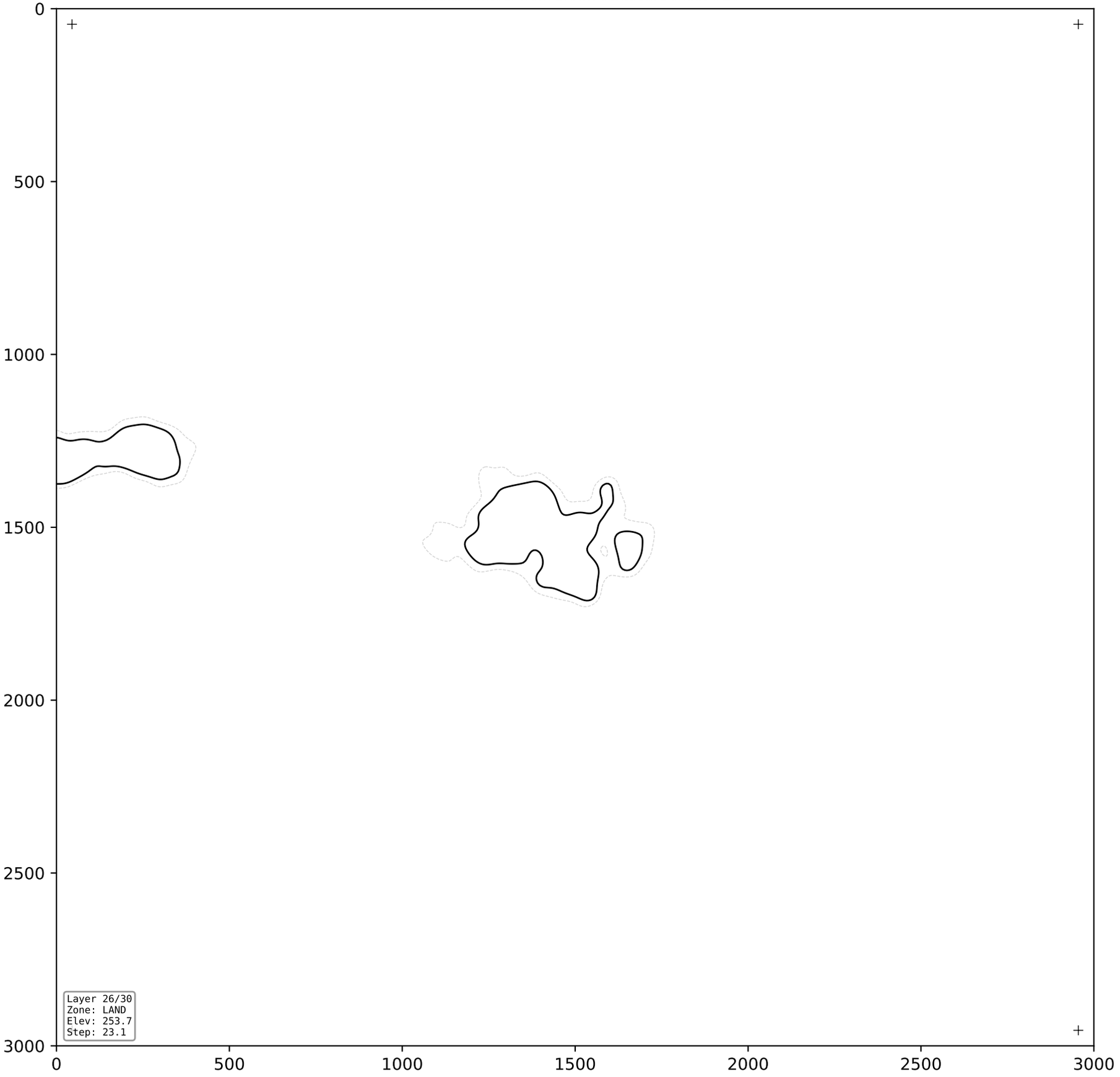

Layer 27 (LAND) — Elevation: 276.8
Cut this contour from brown cardboard sheet #27

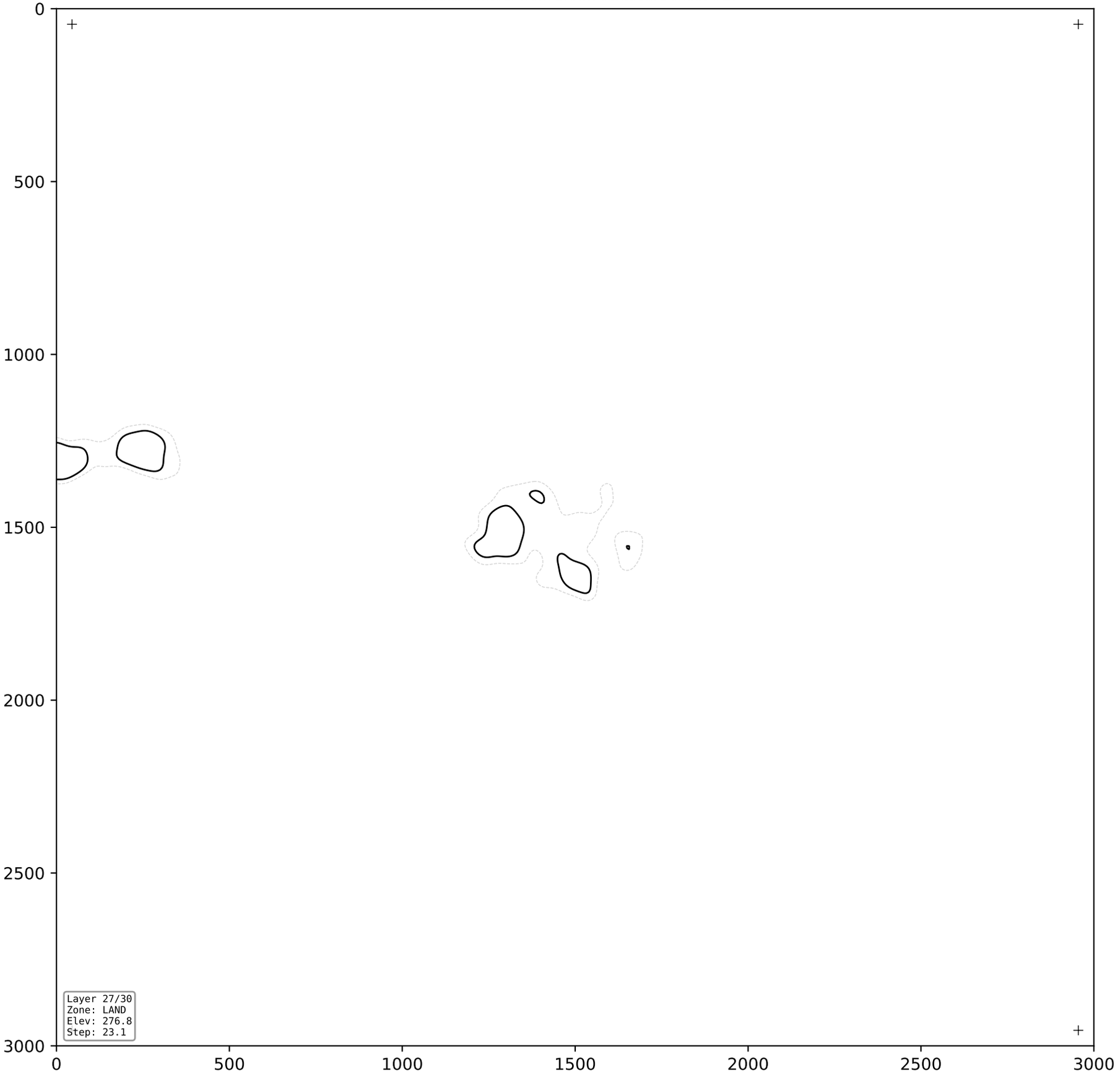

Layer 28 (LAND) — Elevation: 299.8
Cut this contour from brown cardboard sheet #28

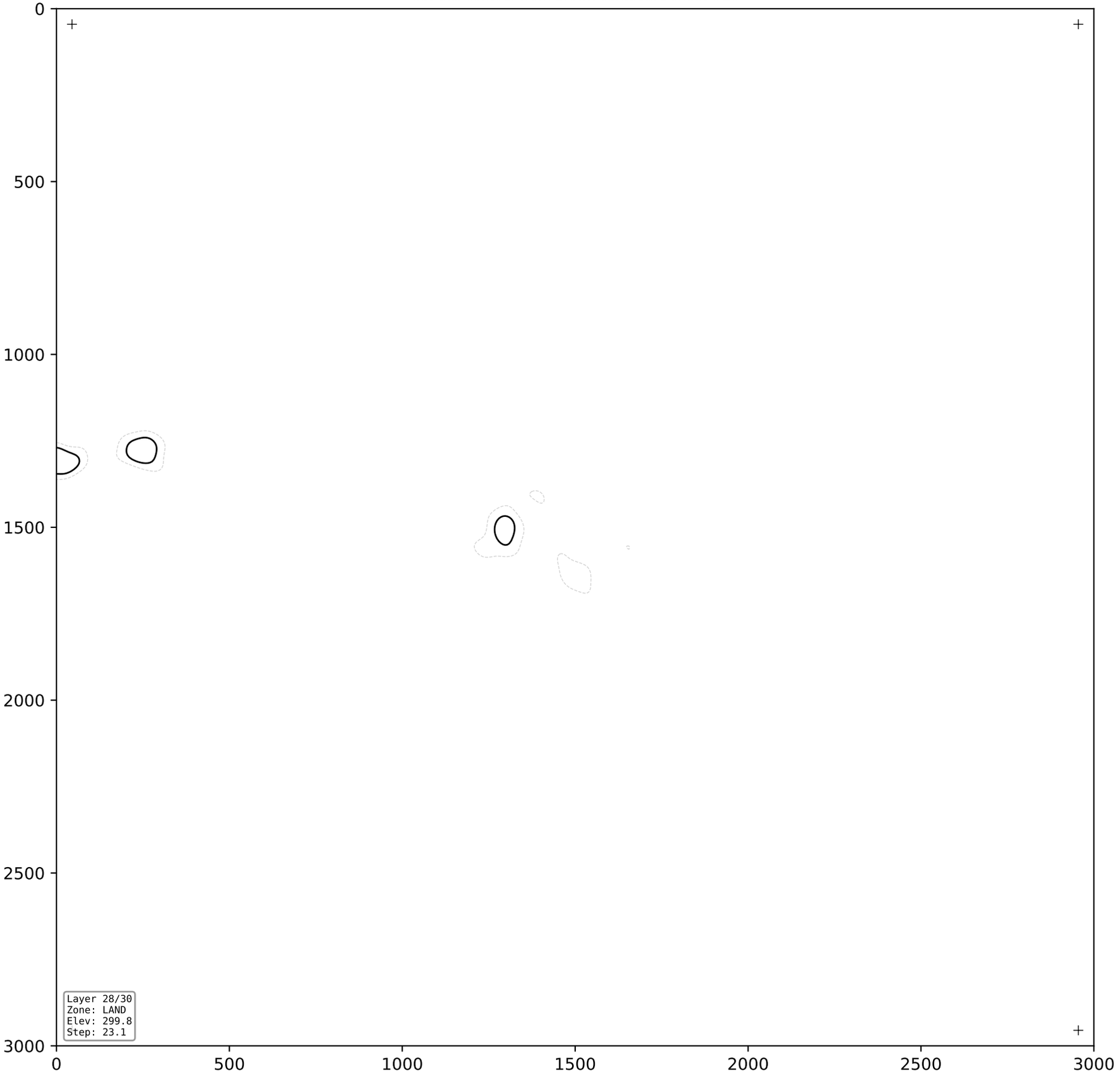

Layer 29 (LAND) — Elevation: 322.9
Cut this contour from brown cardboard sheet #29

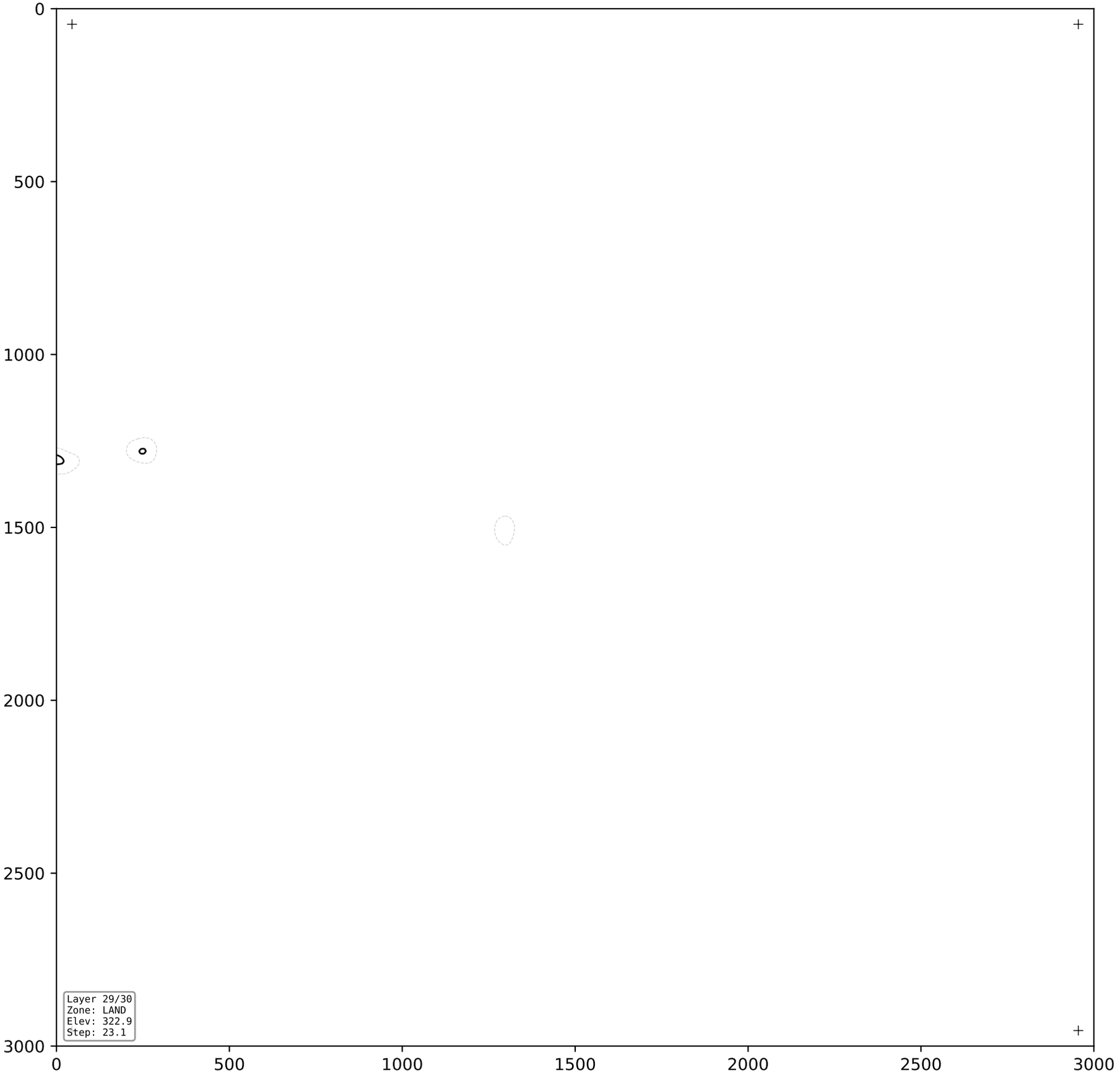
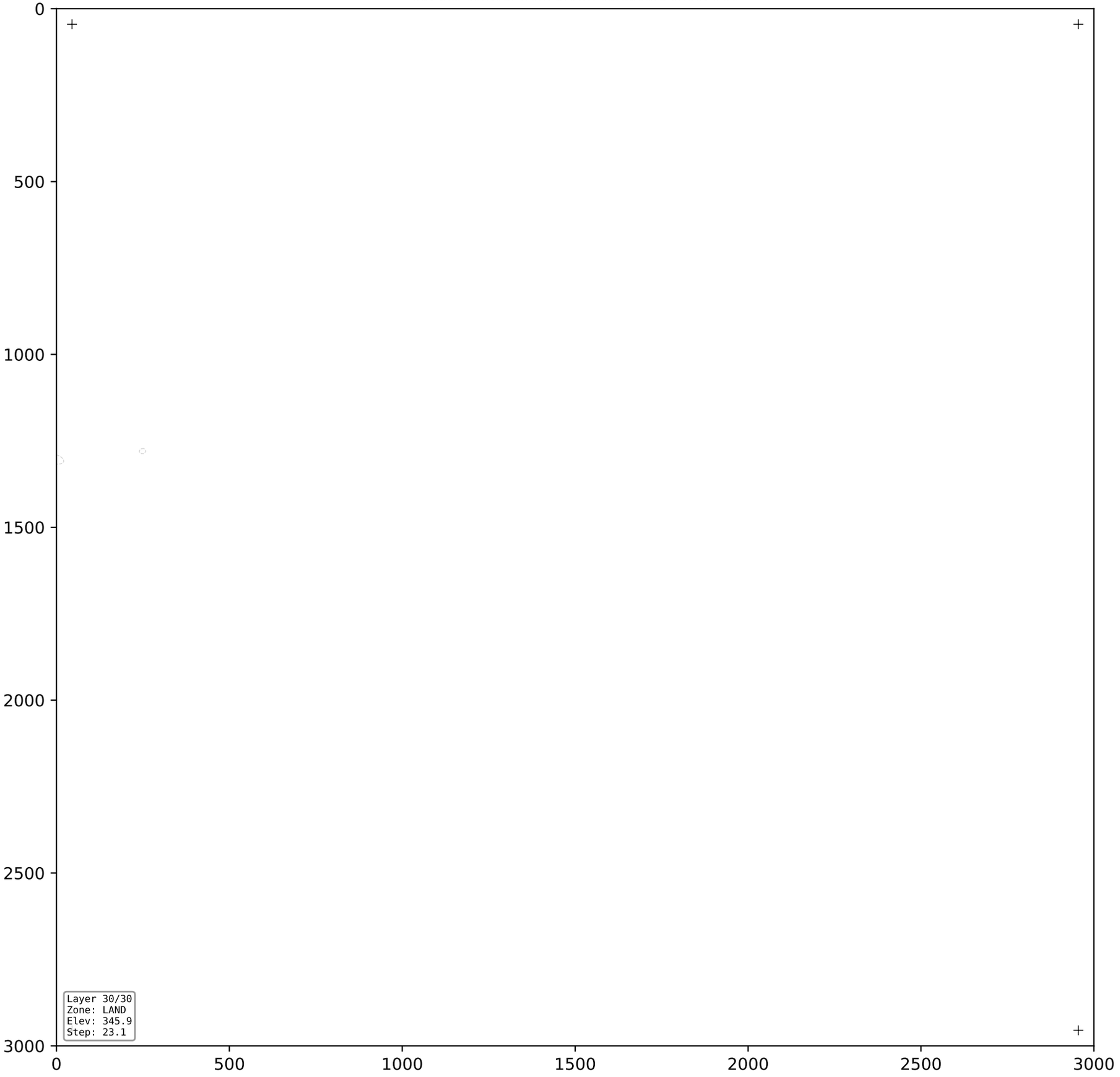
Layer 30 (LAND) — Elevation: 345.9
Cut this contour from brown cardboard sheet #30