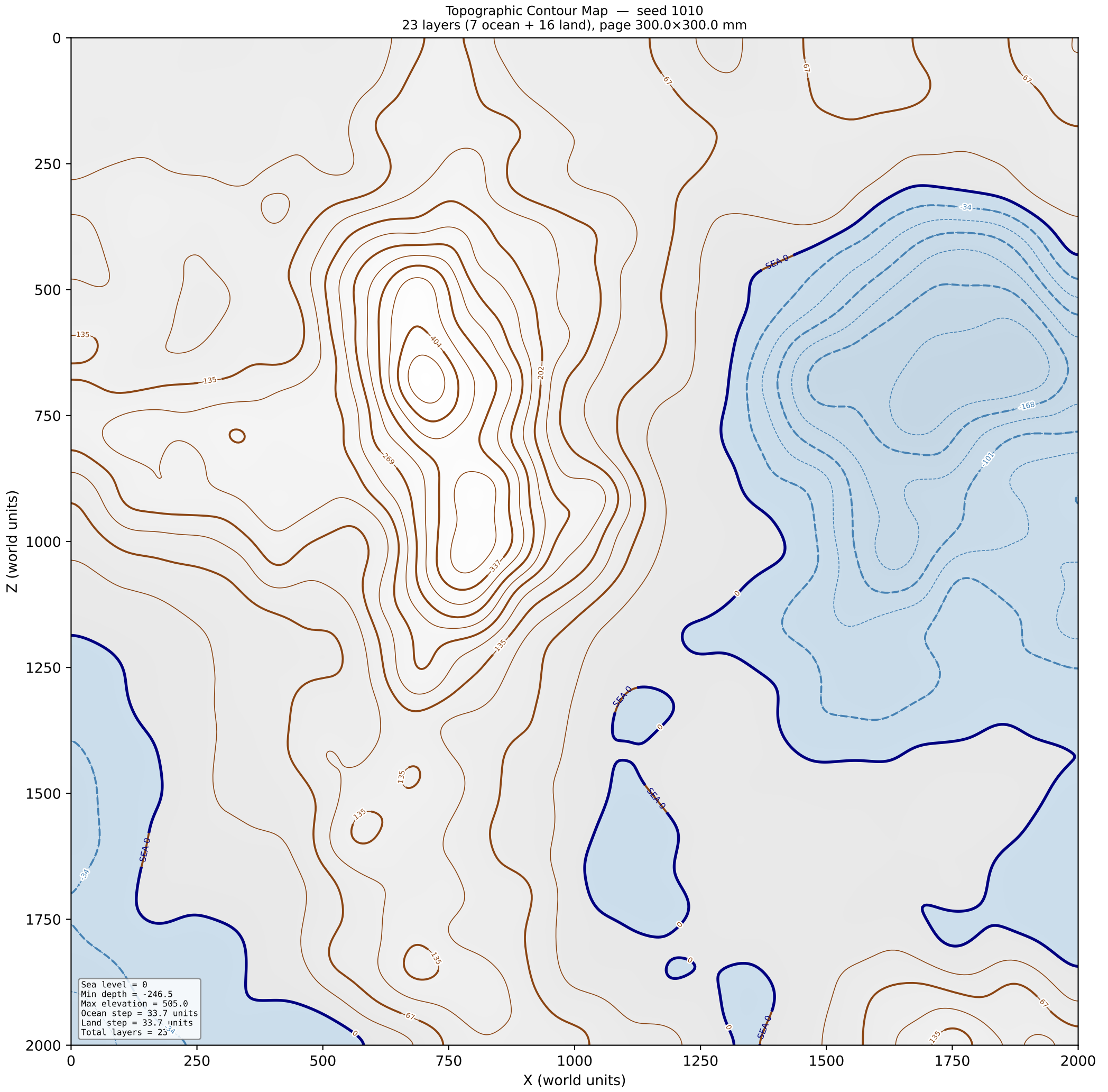
Topographic Contour Map — seed 1010
23 layers (7 ocean + 16 land), page 300.0×300.0 mm
Z (world units)
X (world units)
0
250
500
750
1000
1250
1500
1750
2000
Sea level = 0
Min depth = -246.5
Max elevation = 505.0
Ocean step = 33.7 units
Land step = 33.7 units
Total layers = 23
SEA 0
-34
-67
-101
-135
-168
-202
-269
-337
-404
0
67
135

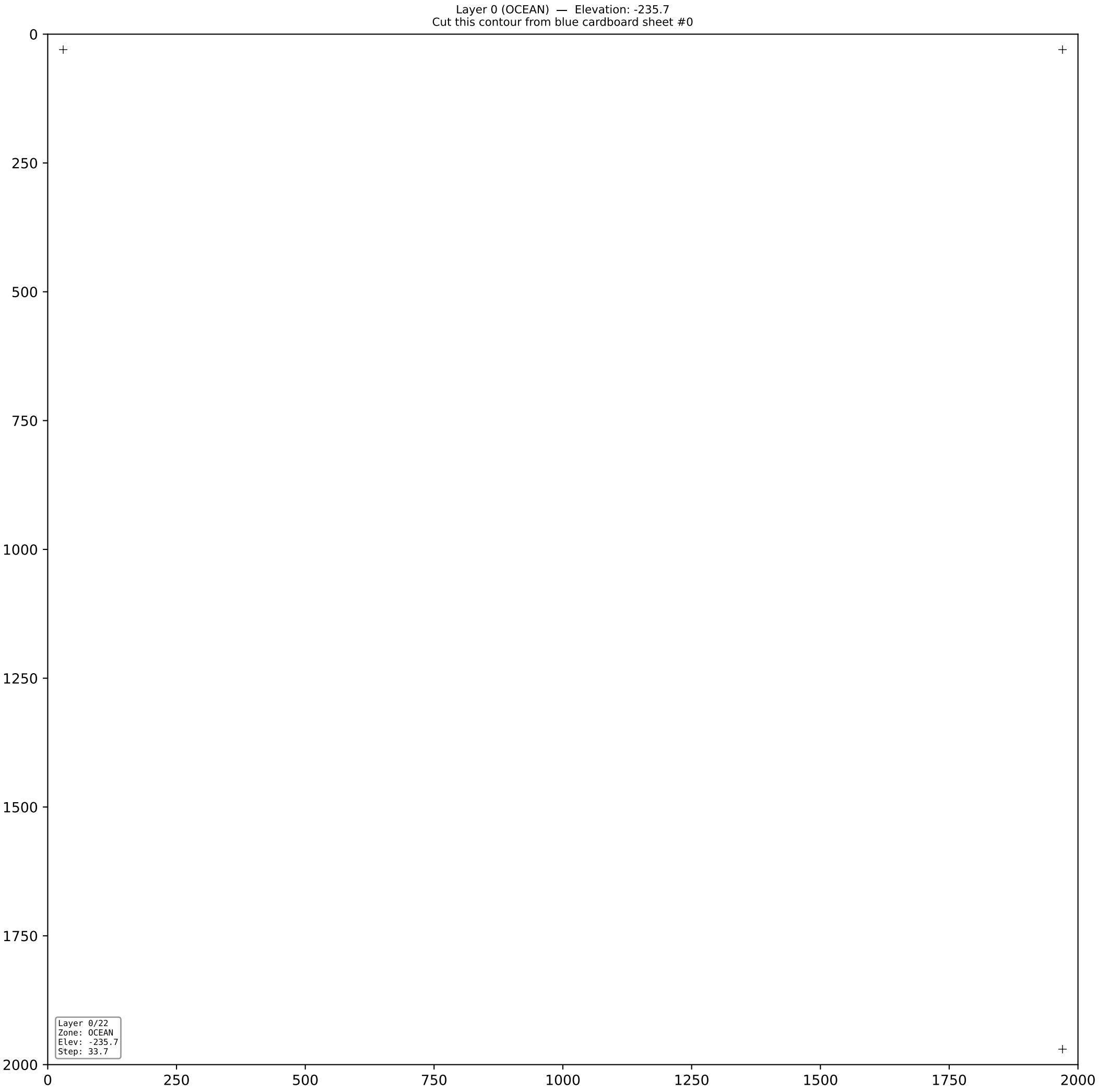
Layer 0 (OCEAN) — Elevation: -235.7
Cut this contour from blue cardboard sheet #0
0
250
500
750
1000
1250
1500
1750
2000
0
250
500
750
1000
1250
1500
1750
2000
Layer 0/22
Zone: OCEAN
Elev: -235.7
Step: 33.7

Layer 1 (OCEAN) — Elevation: -202.0
Cut this contour from blue cardboard sheet #1

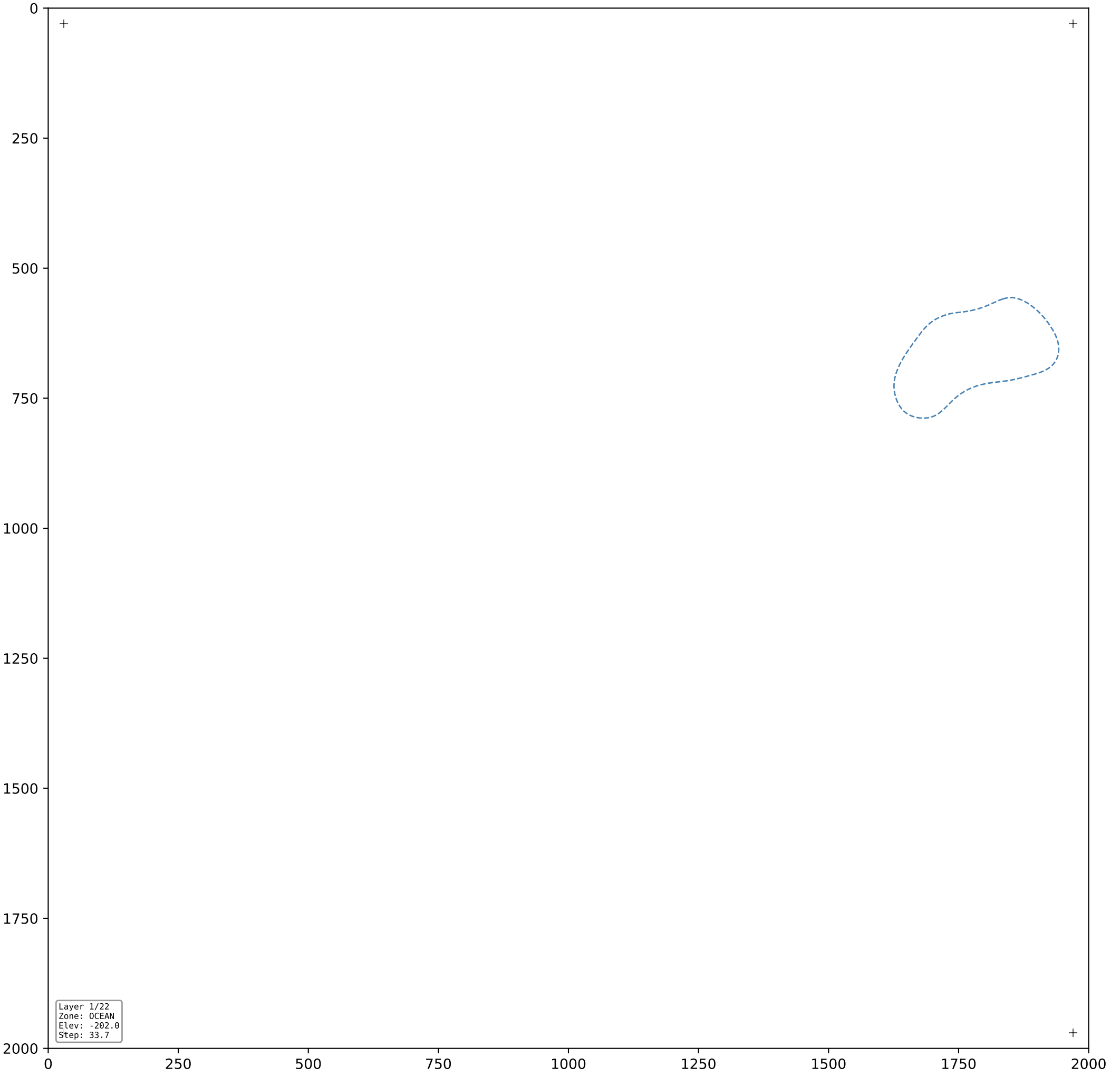

Layer 2 (OCEAN) — Elevation: -168.3
Cut this contour from blue cardboard sheet #2

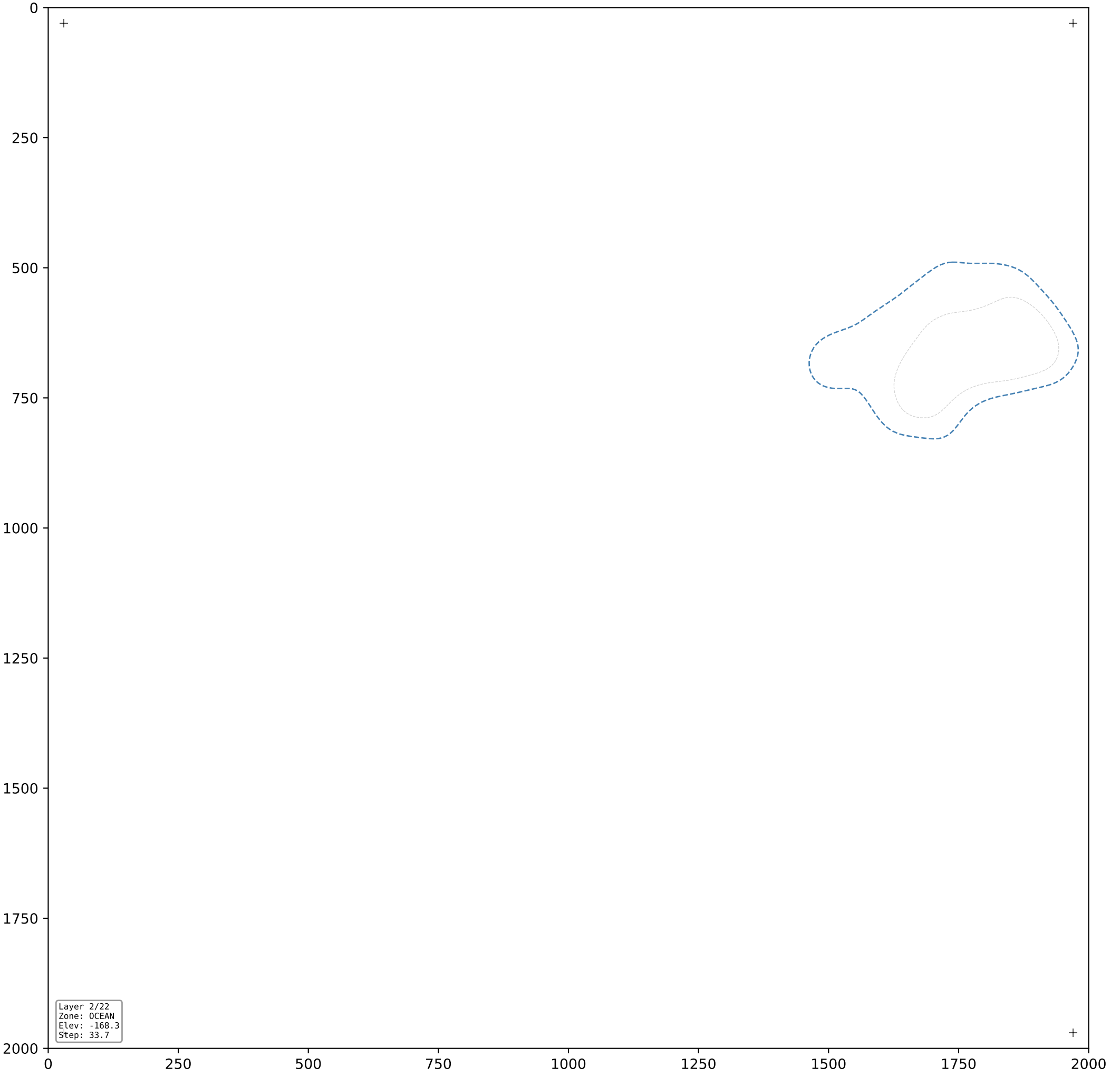

Layer 3 (OCEAN) — Elevation: -134.7
Cut this contour from blue cardboard sheet #3

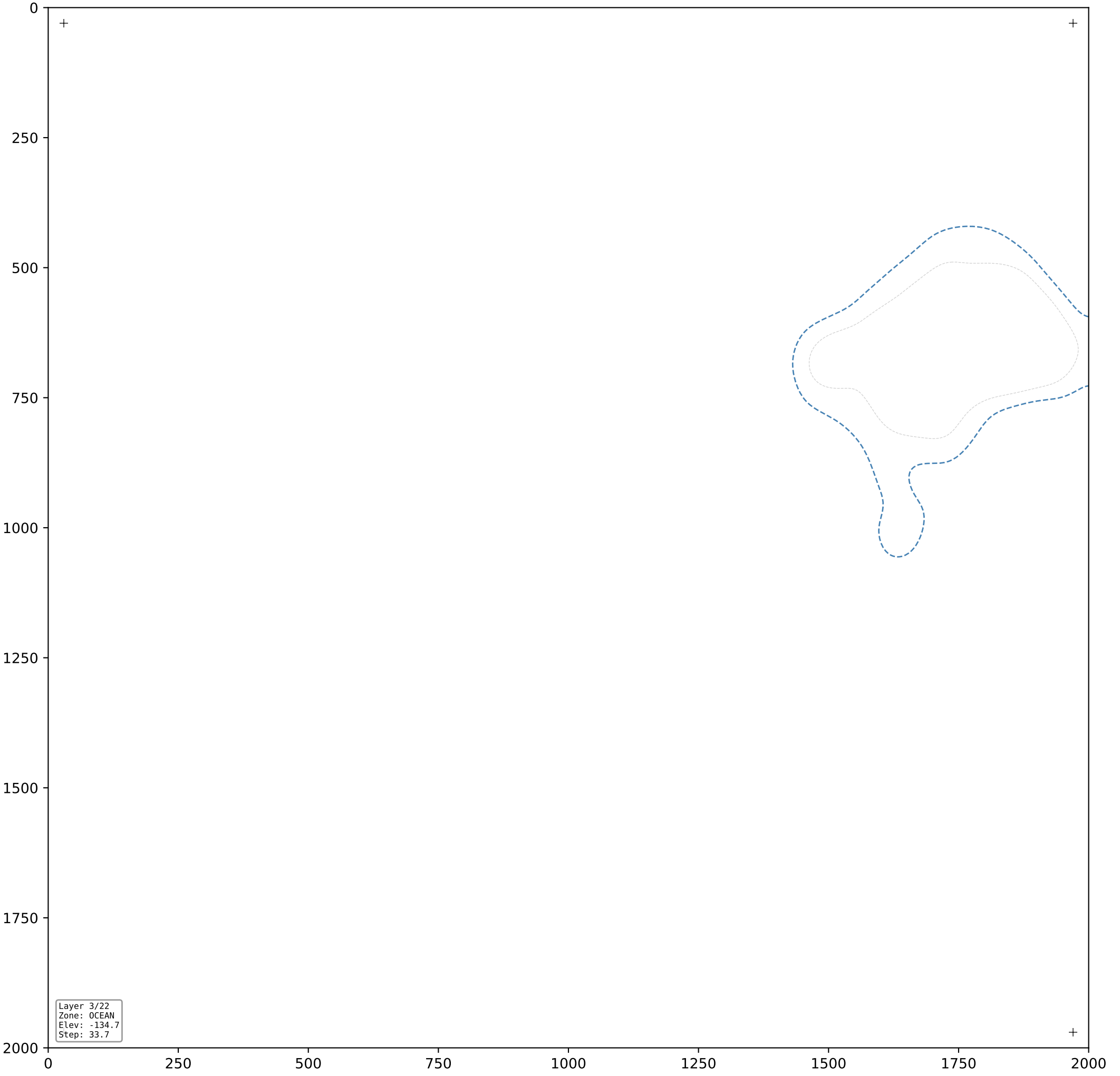

Layer 4 (OCEAN) — Elevation: -101.0
Cut this contour from blue cardboard sheet #4

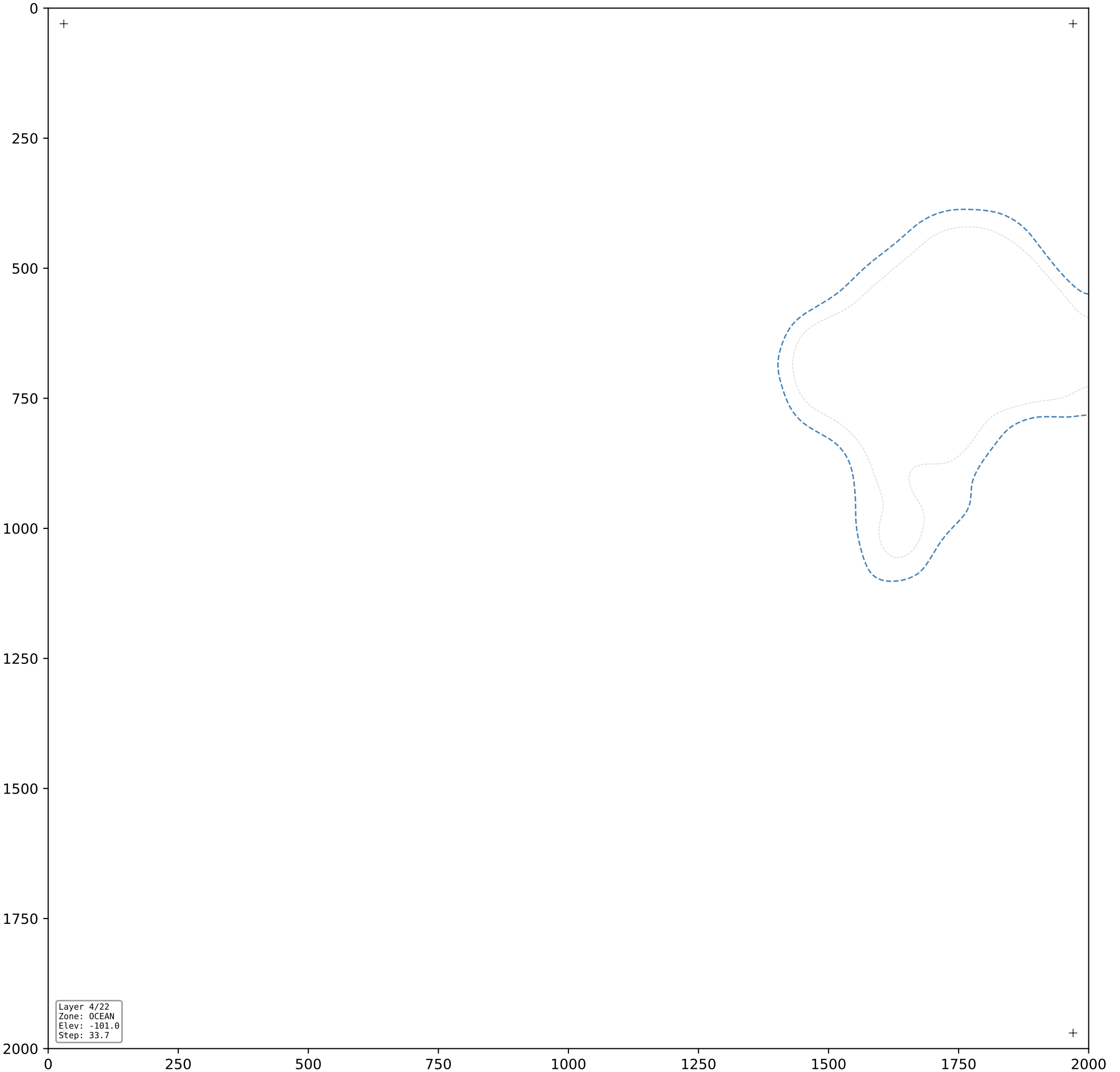

Layer 5 (OCEAN) — Elevation: -67.3
Cut this contour from blue cardboard sheet #5

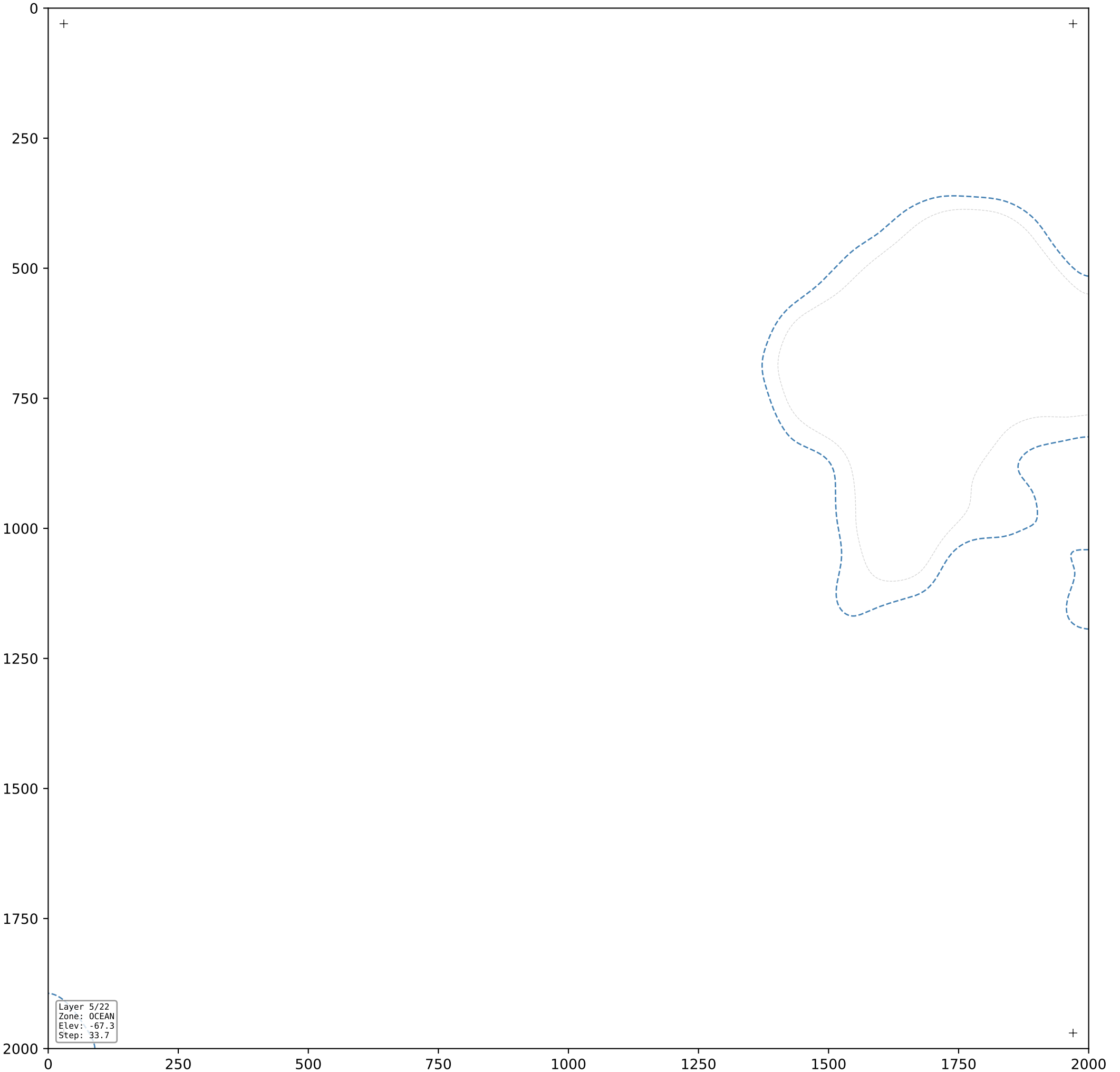

Layer 6 (OCEAN) — Elevation: -33.7
Cut this contour from blue cardboard sheet #6

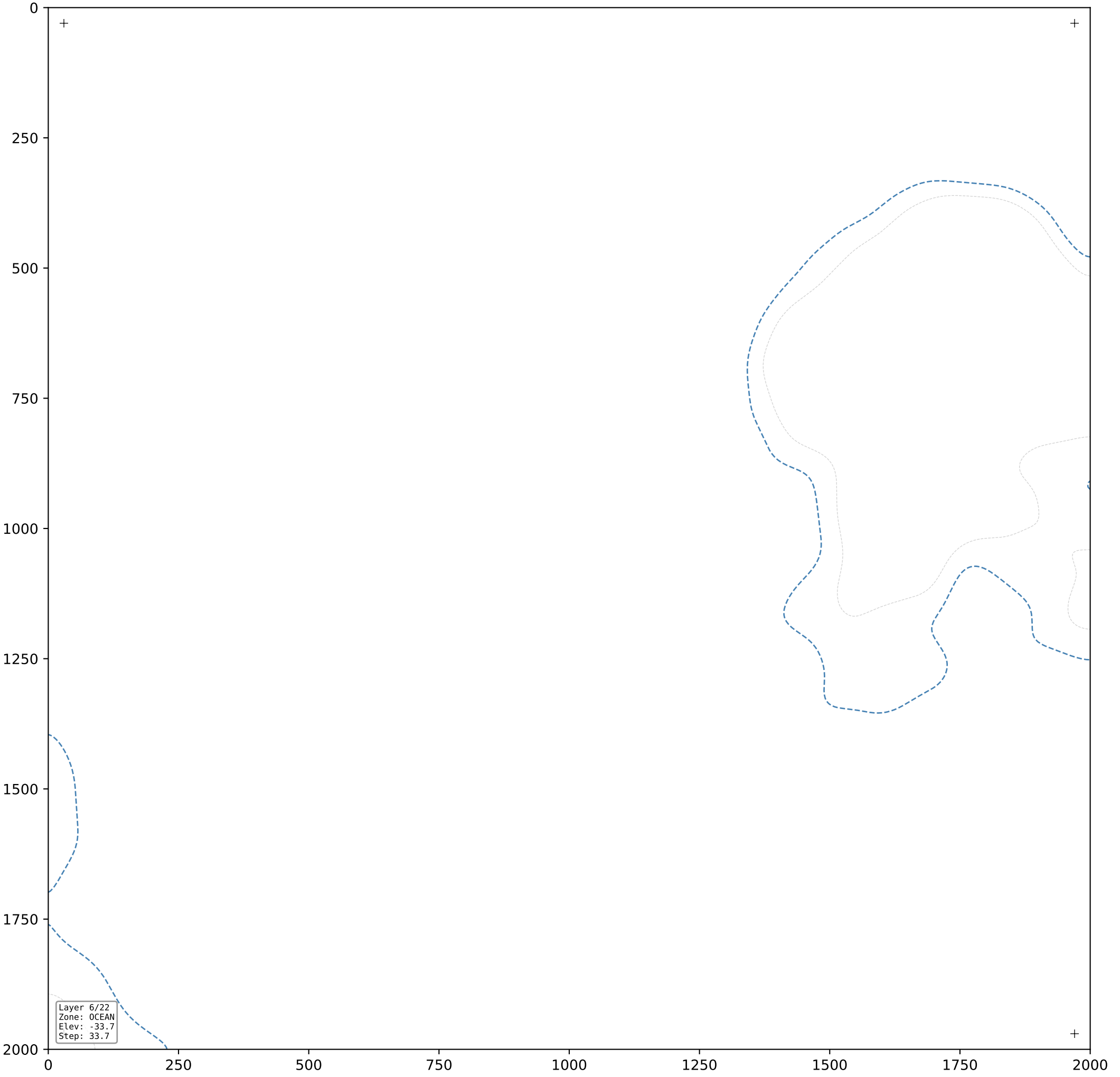

Layer 7 (SEA LEVEL) — Elevation: 0.0
Cut this contour from brown cardboard sheet #7

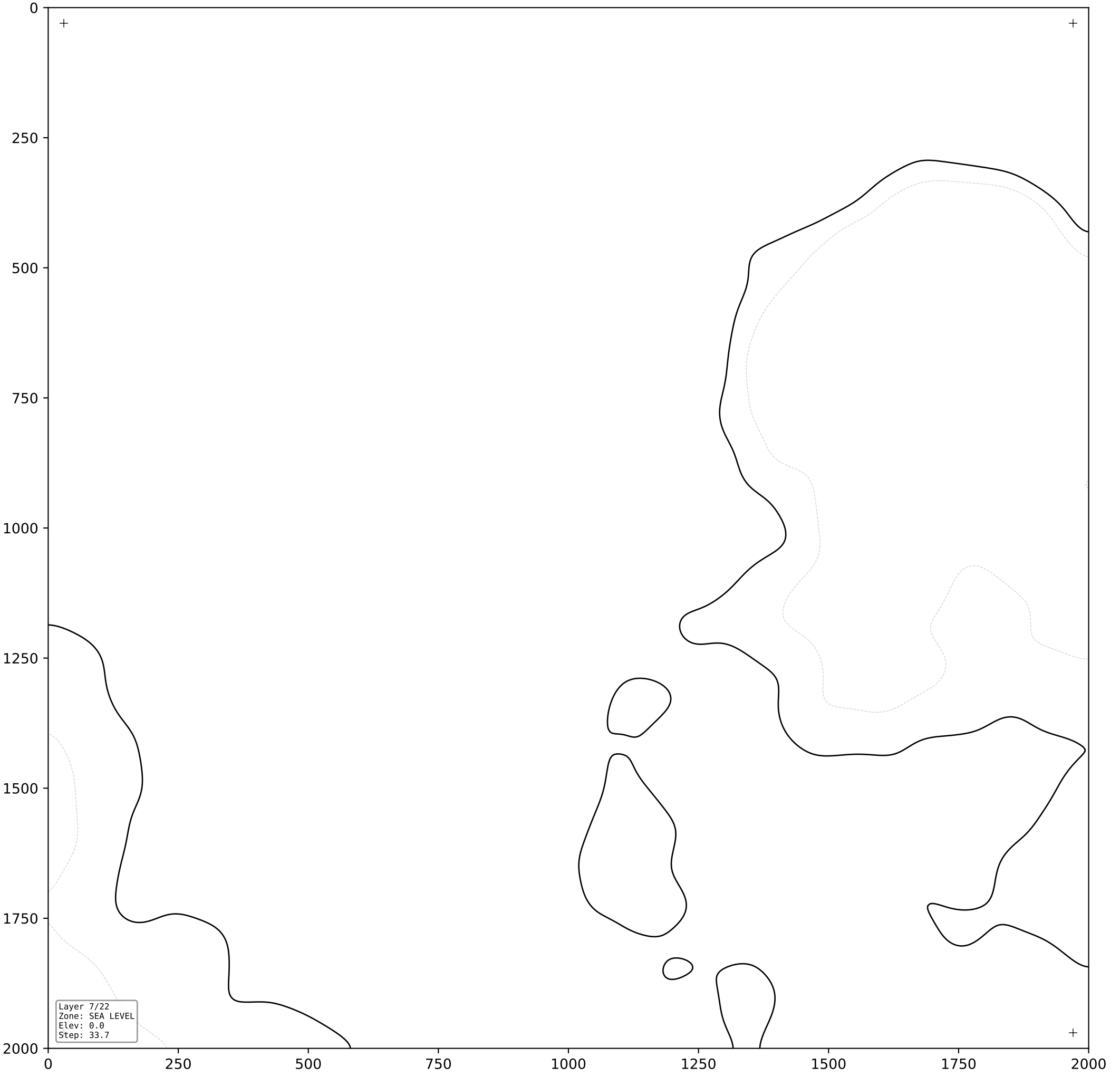

Layer 8 (LAND) — Elevation: 33.7
Cut this contour from brown cardboard sheet #8

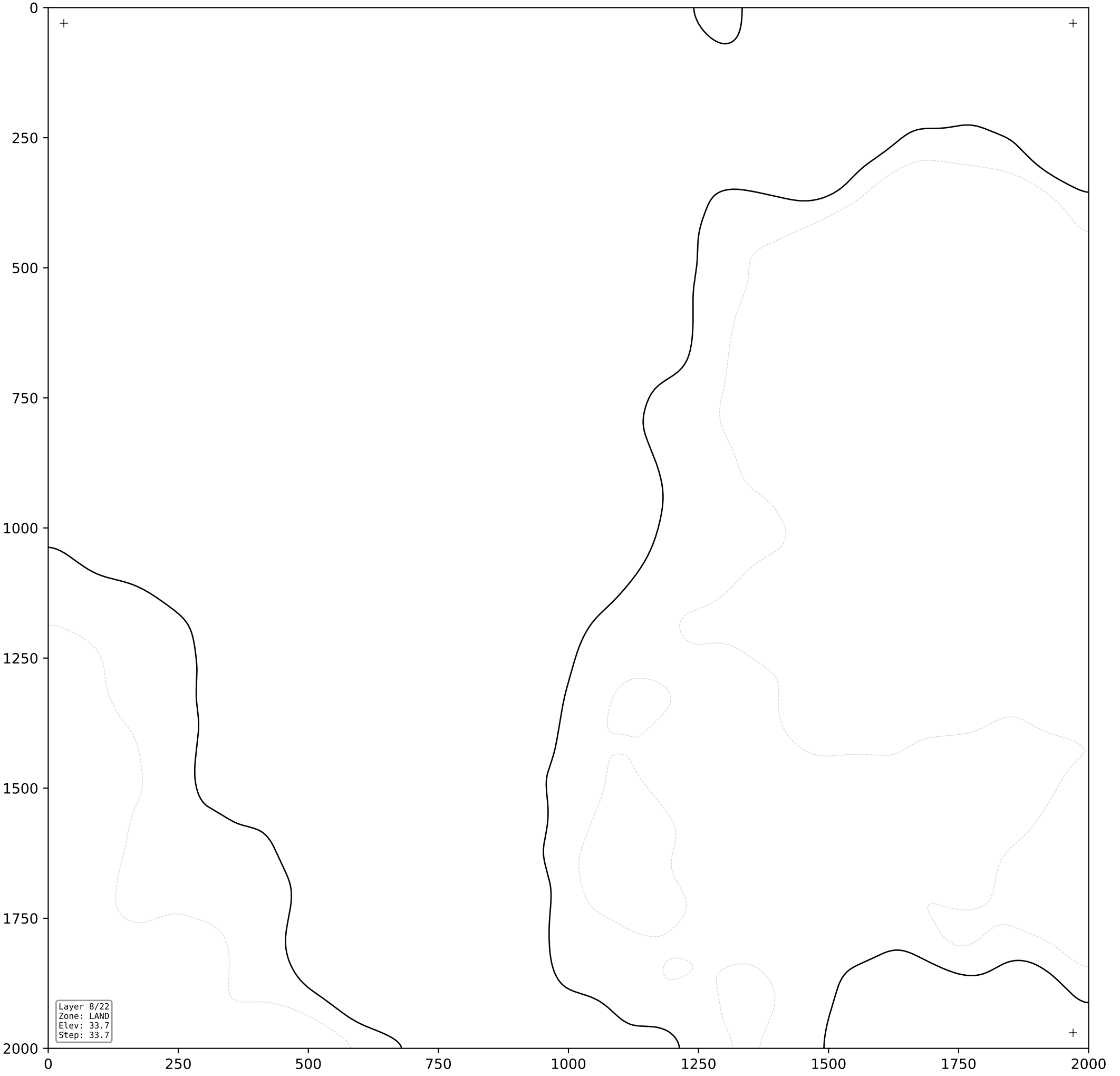

Layer 9 (LAND) — Elevation: 67.3
Cut this contour from brown cardboard sheet #9

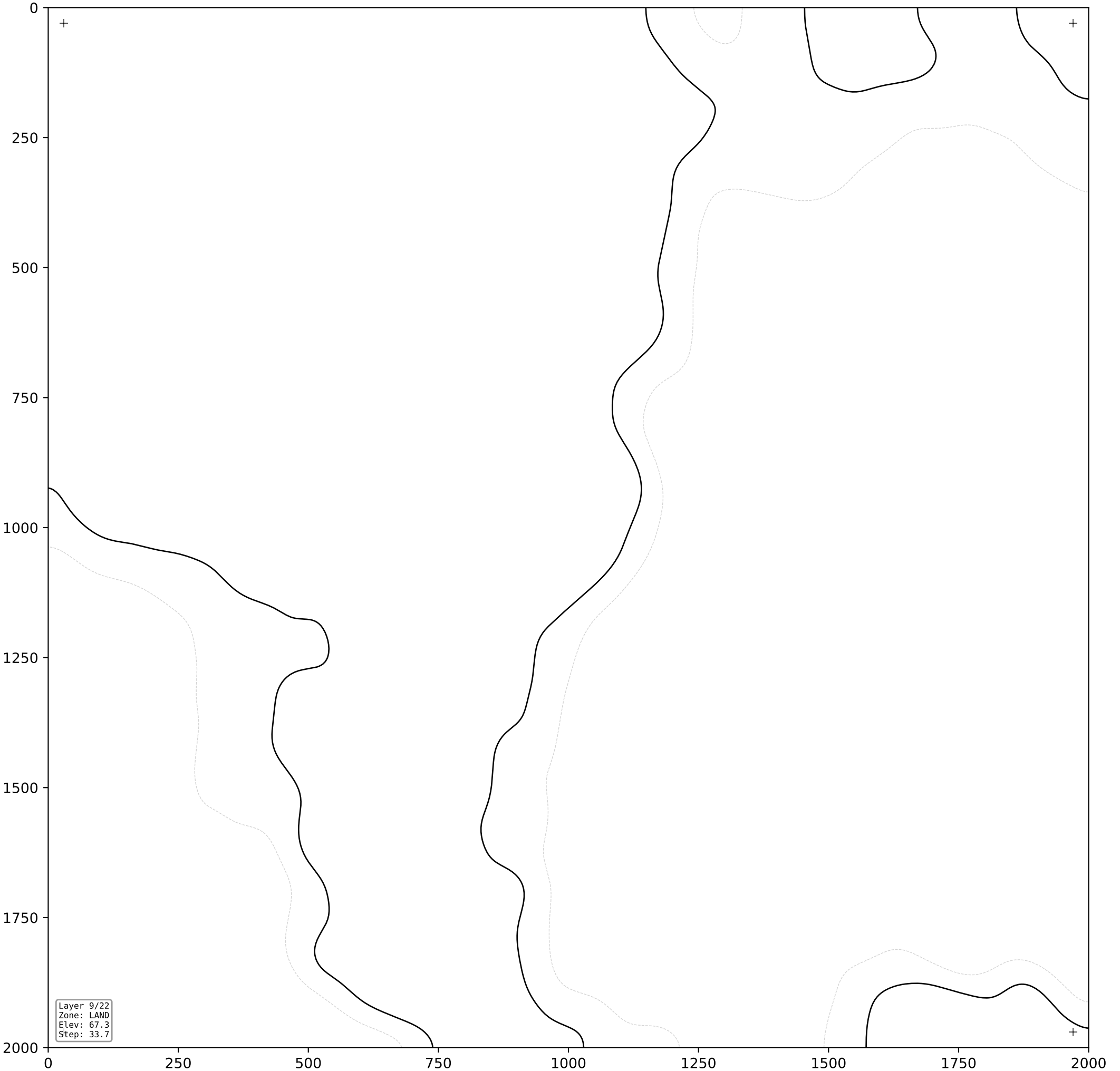

Layer 10 (LAND) — Elevation: 101.0
Cut this contour from brown cardboard sheet #10

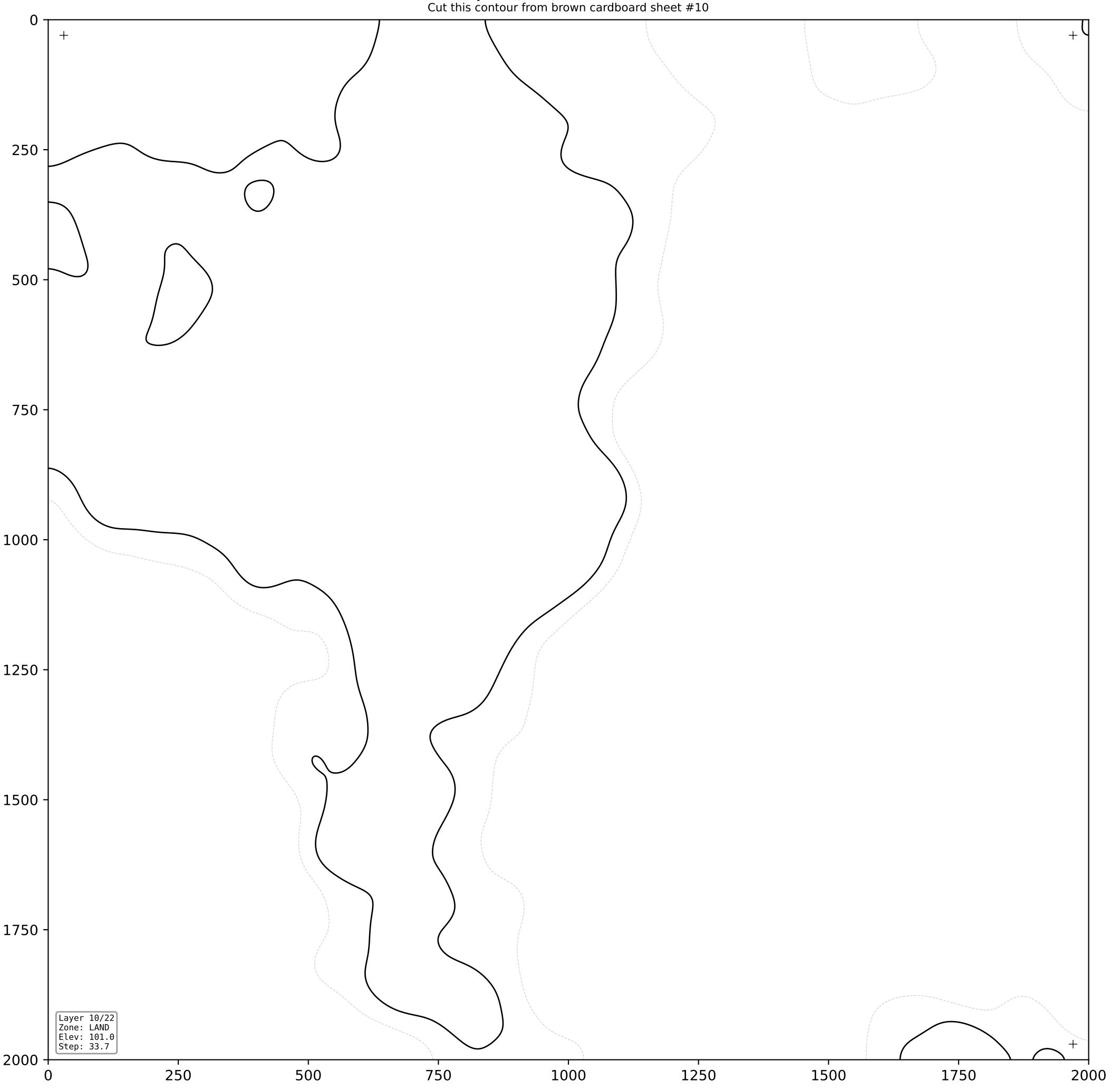

Layer 11 (LAND) — Elevation: 134.7
Cut this contour from brown cardboard sheet #11

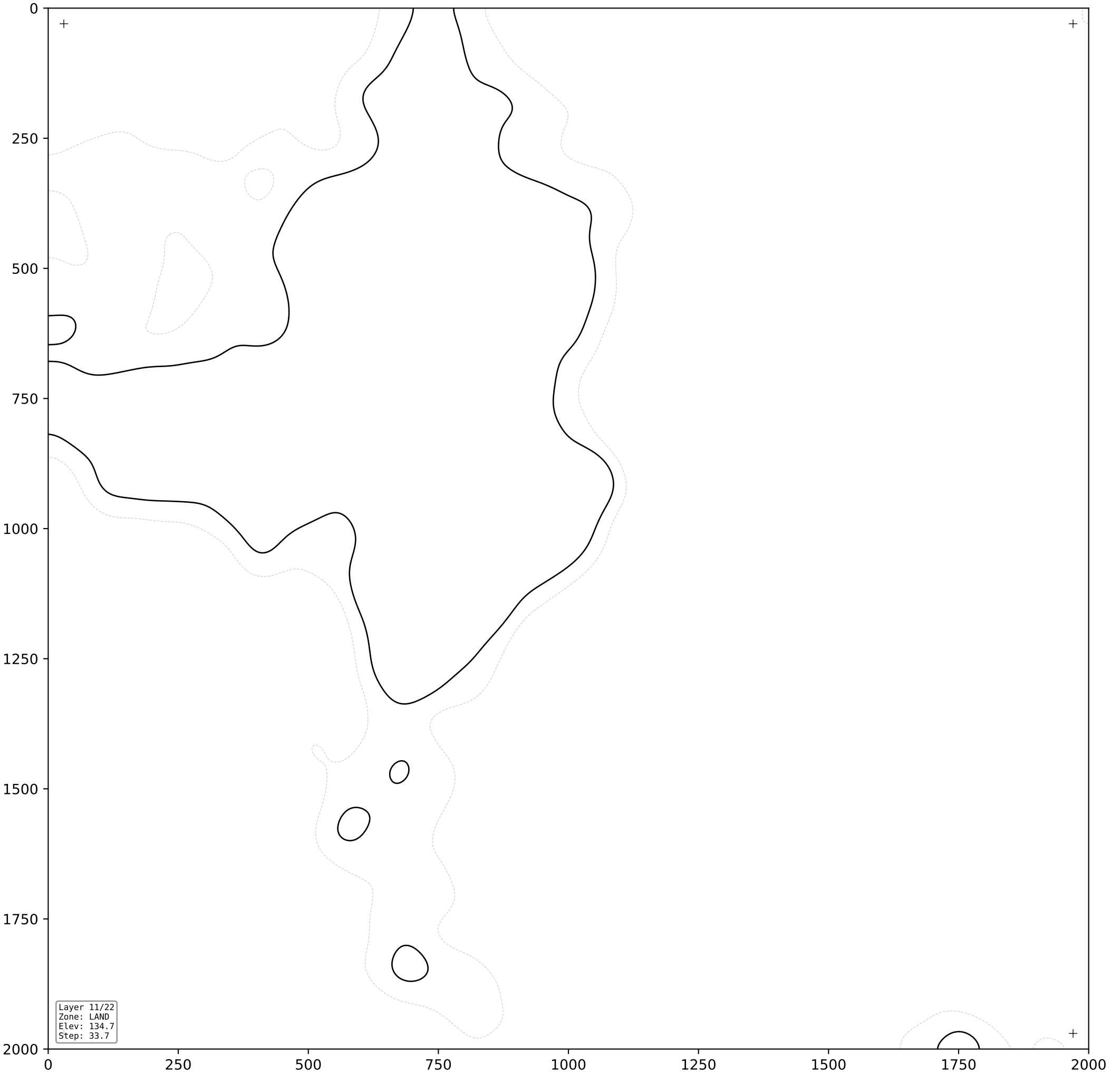

Layer 12 (LAND) — Elevation: 168.3
Cut this contour from brown cardboard sheet #12

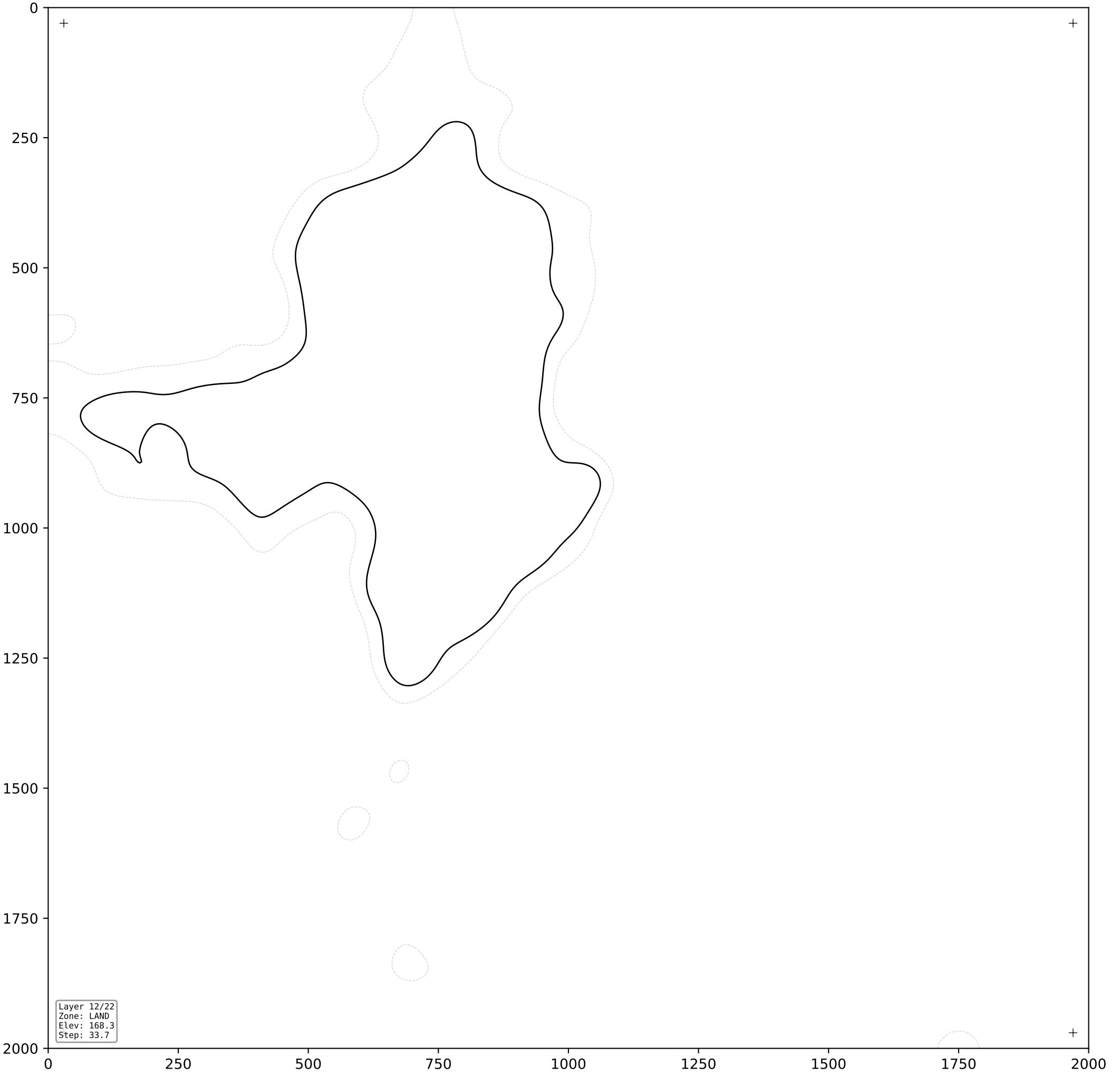

Layer 13 (LAND) — Elevation: 202.0
Cut this contour from brown cardboard sheet #13

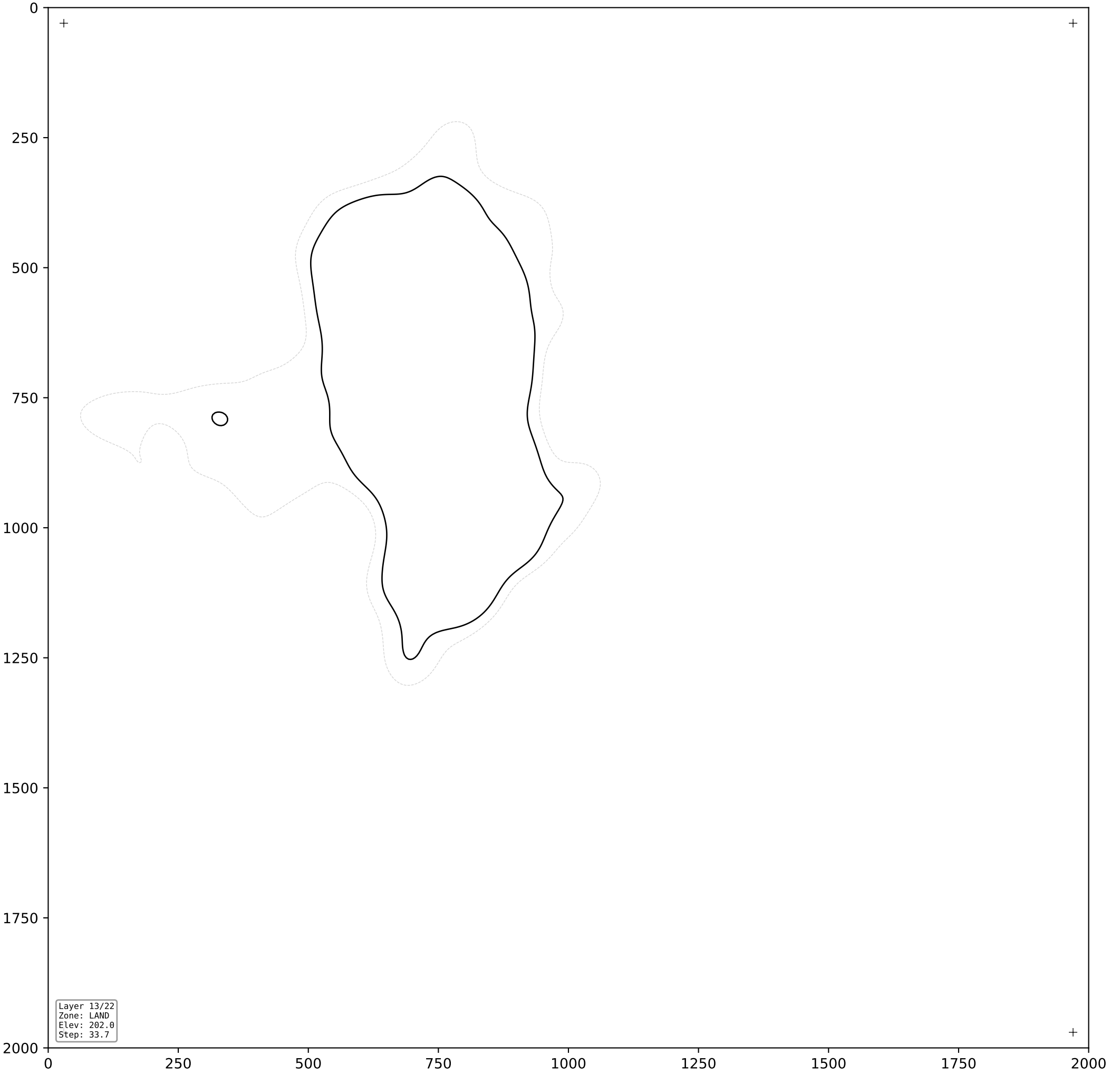

Layer 14 (LAND) — Elevation: 235.7
Cut this contour from brown cardboard sheet #14

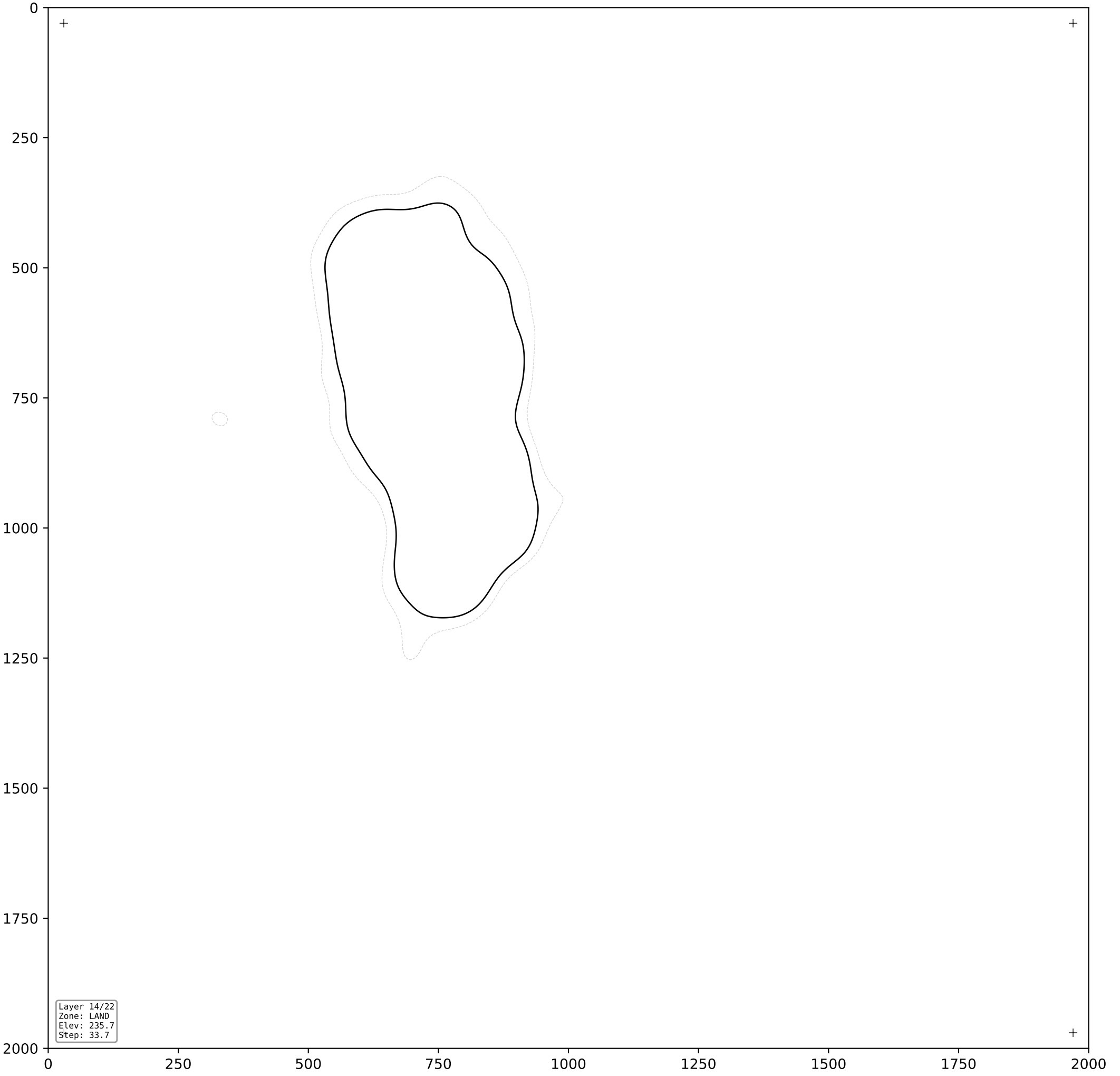

Layer 15 (LAND) — Elevation: 269.3
Cut this contour from brown cardboard sheet #15

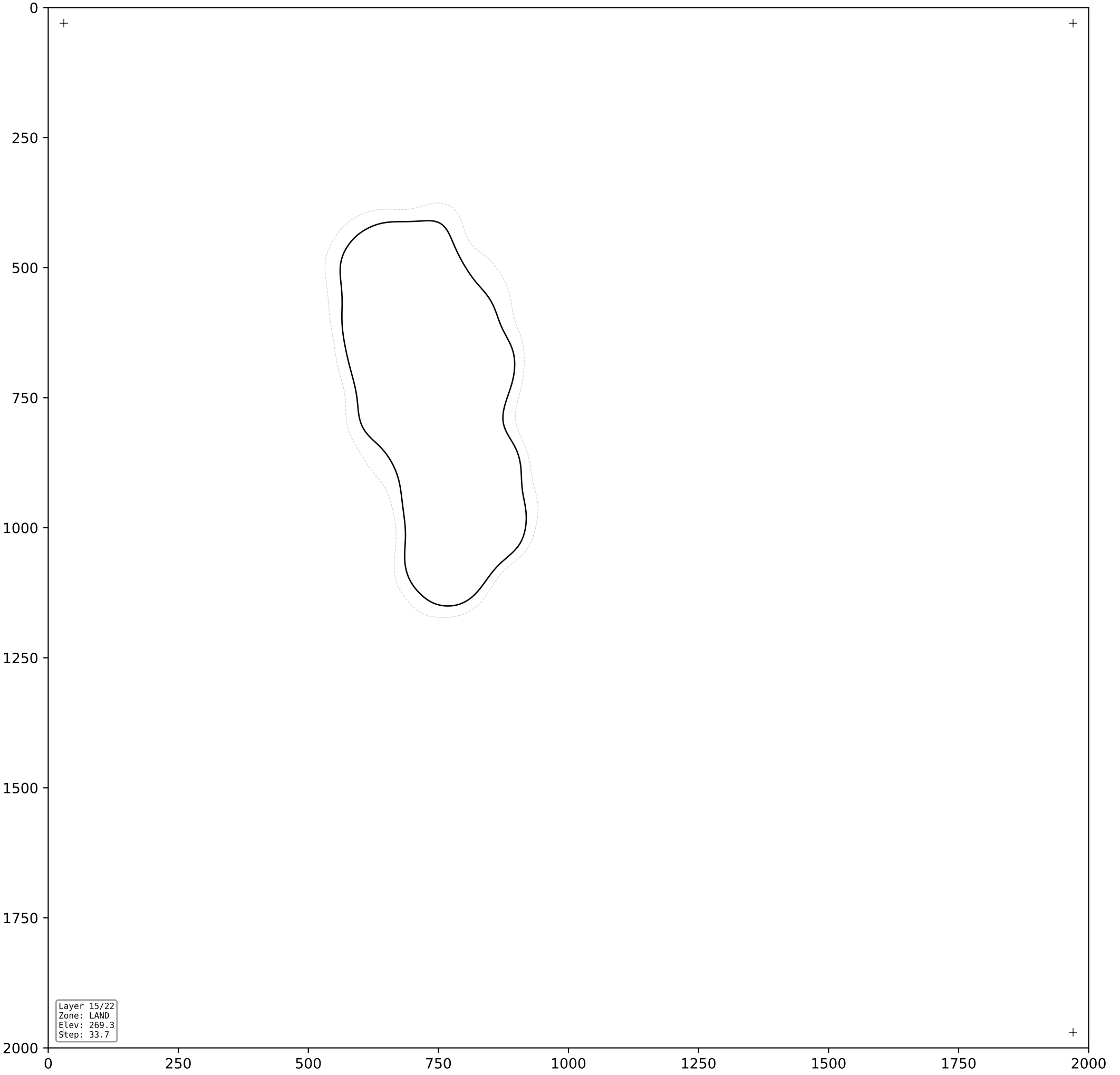

Layer 16 (LAND) — Elevation: 303.0
Cut this contour from brown cardboard sheet #16

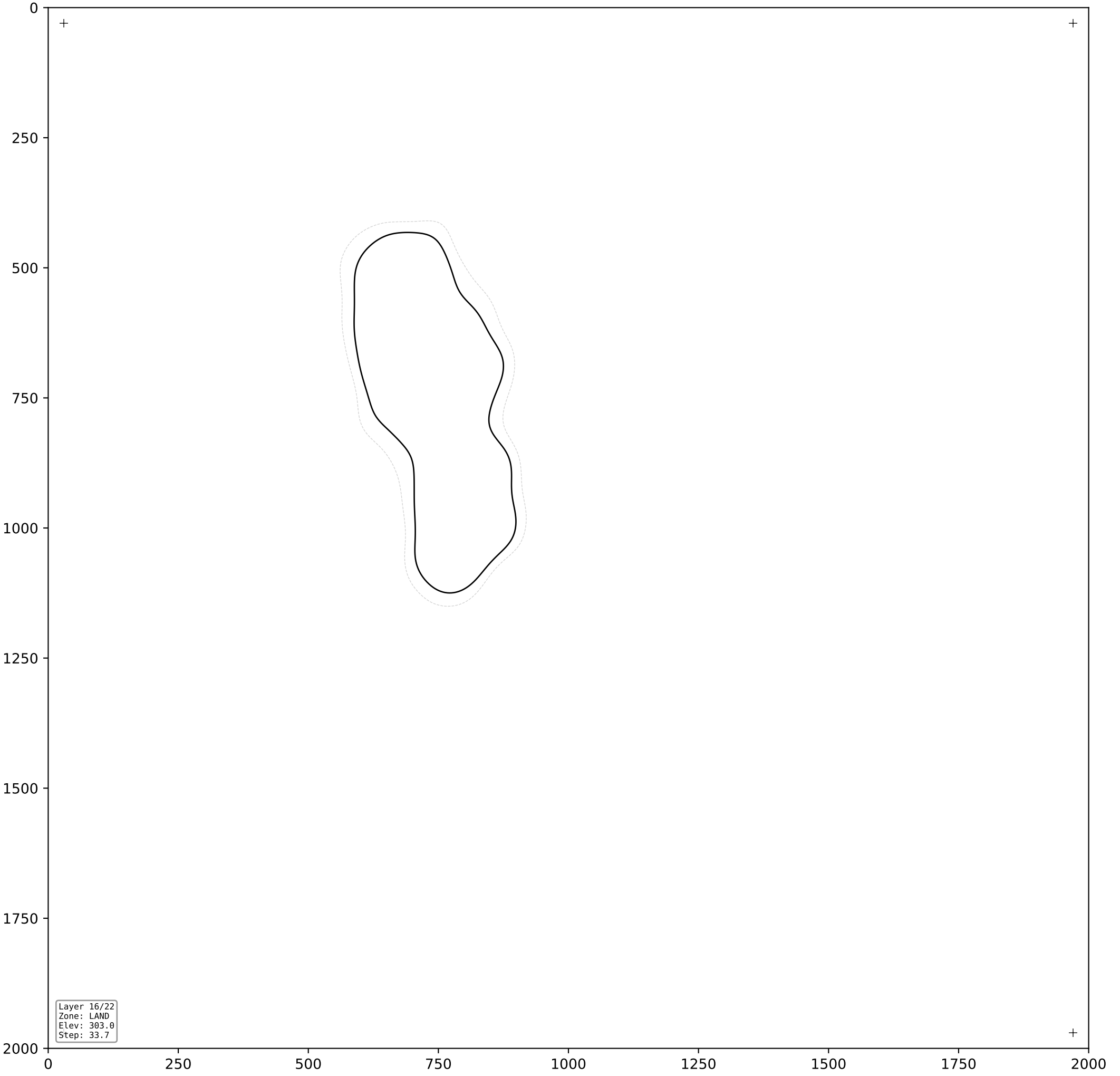

Layer 17 (LAND) — Elevation: 336.7
Cut this contour from brown cardboard sheet #17

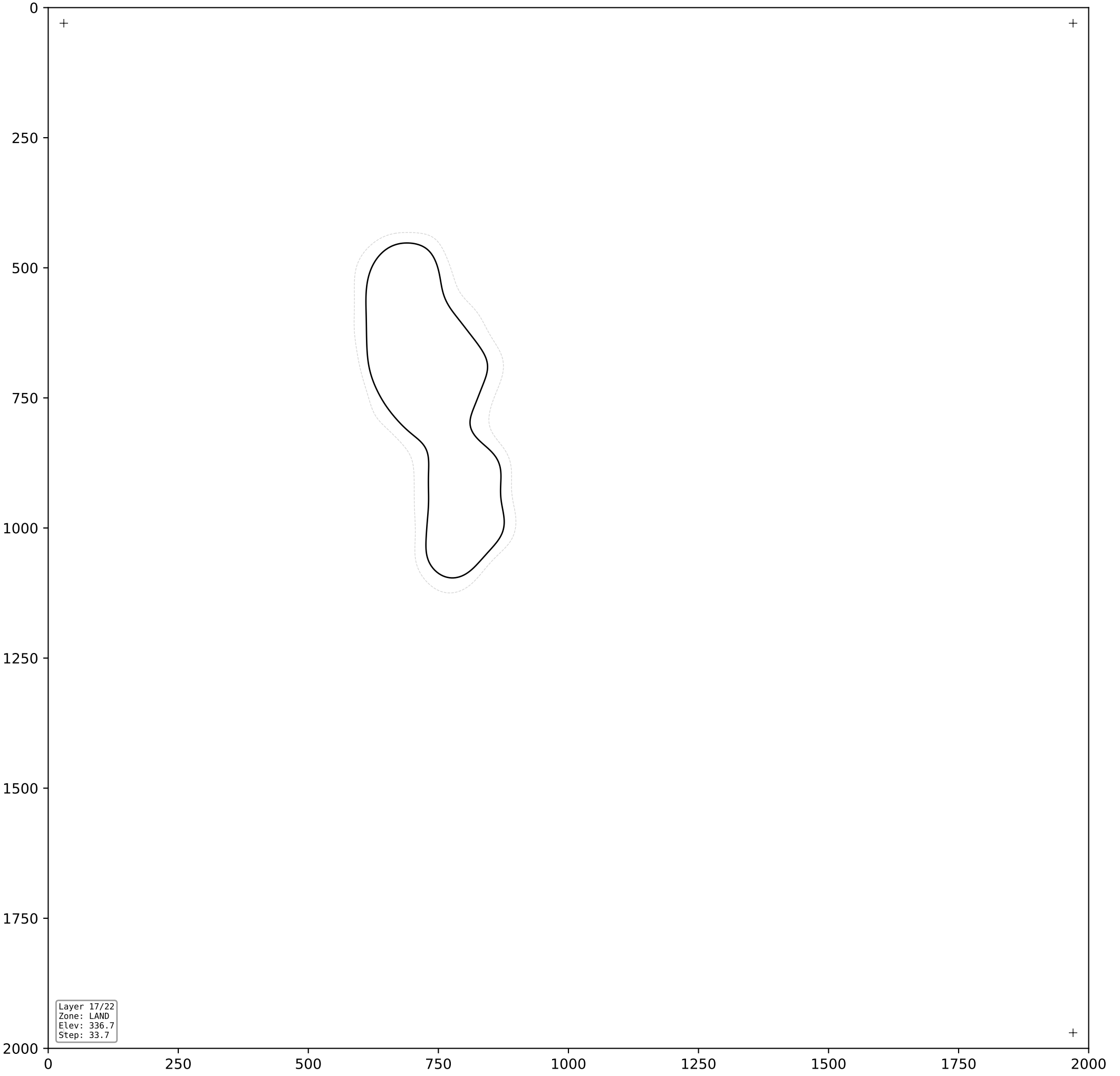

Layer 18 (LAND) — Elevation: 370.4
Cut this contour from brown cardboard sheet #18

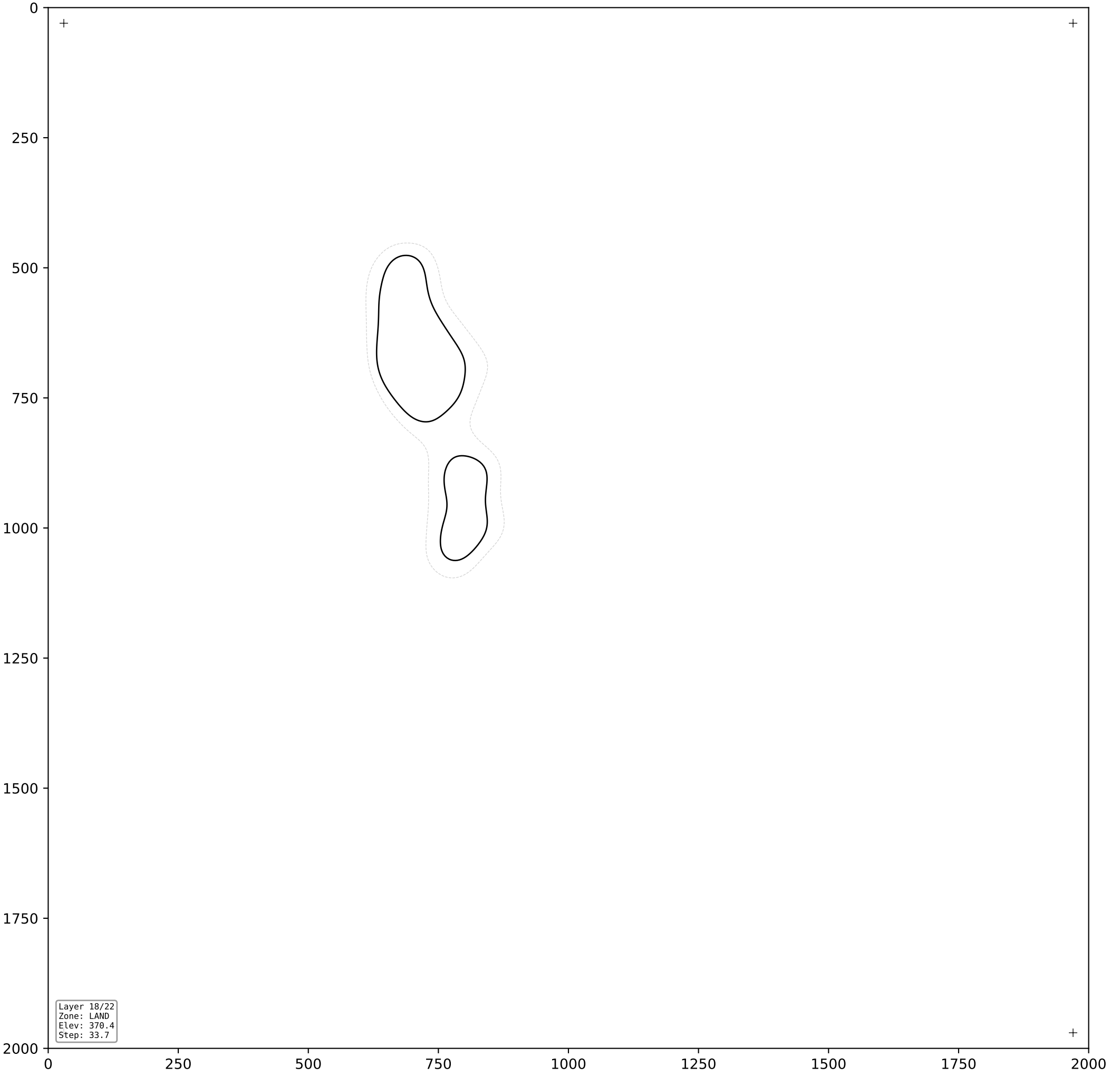

Layer 19 (LAND) — Elevation: 404.0
Cut this contour from brown cardboard sheet #19

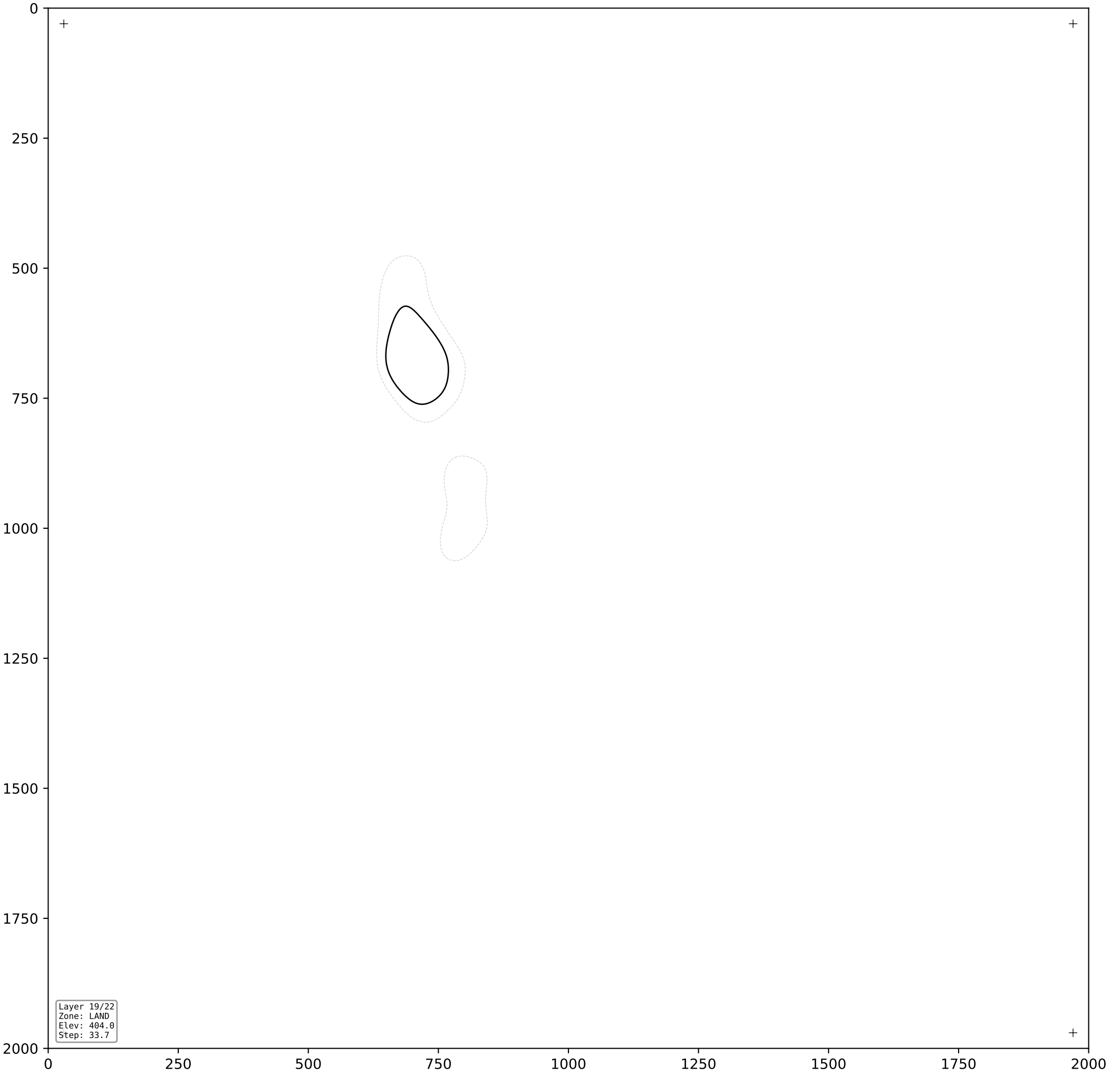

Layer 20 (LAND) — Elevation: 437.7
Cut this contour from brown cardboard sheet #20

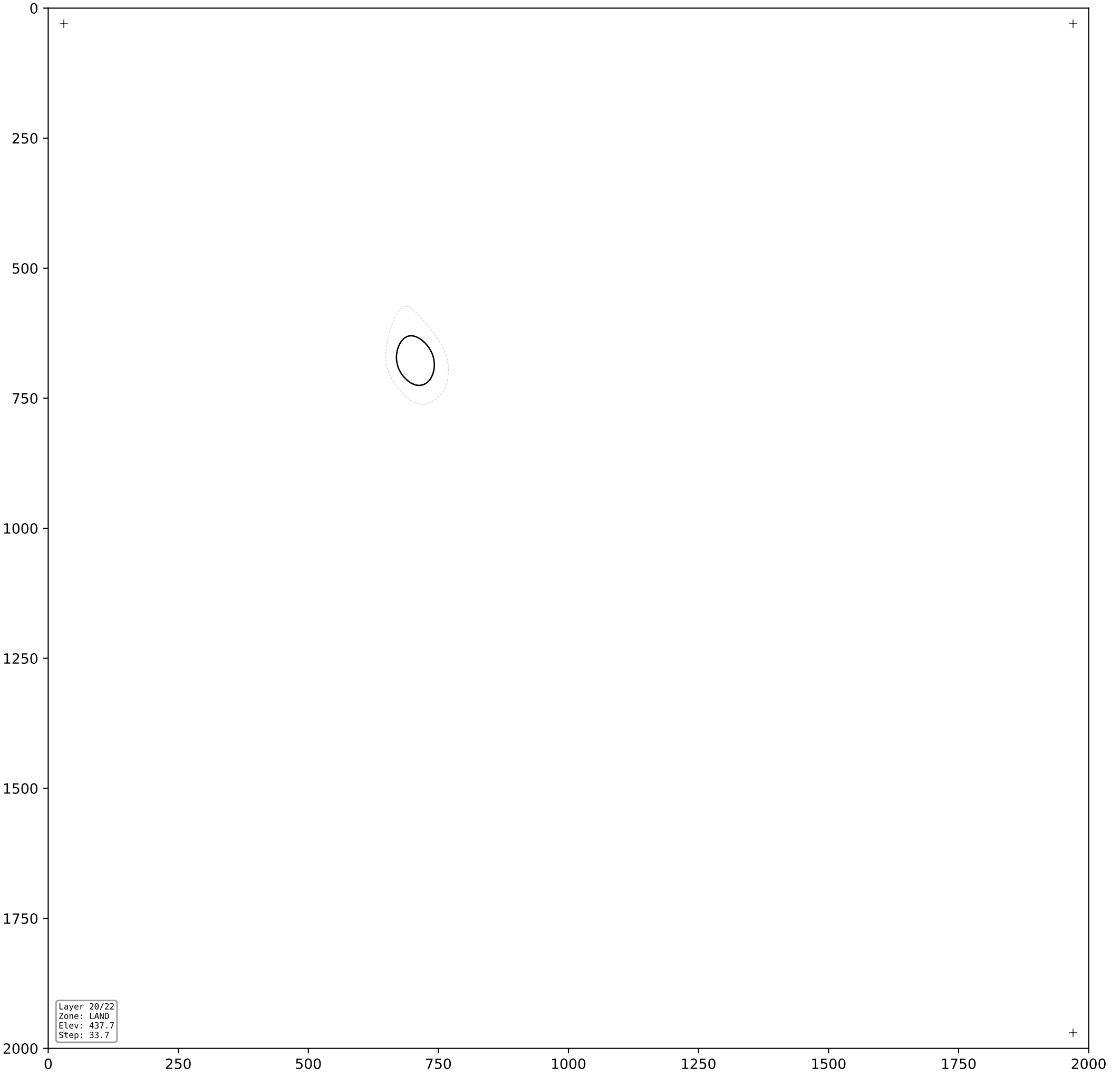

Layer 21 (LAND) — Elevation: 471.4
Cut this contour from brown cardboard sheet #21

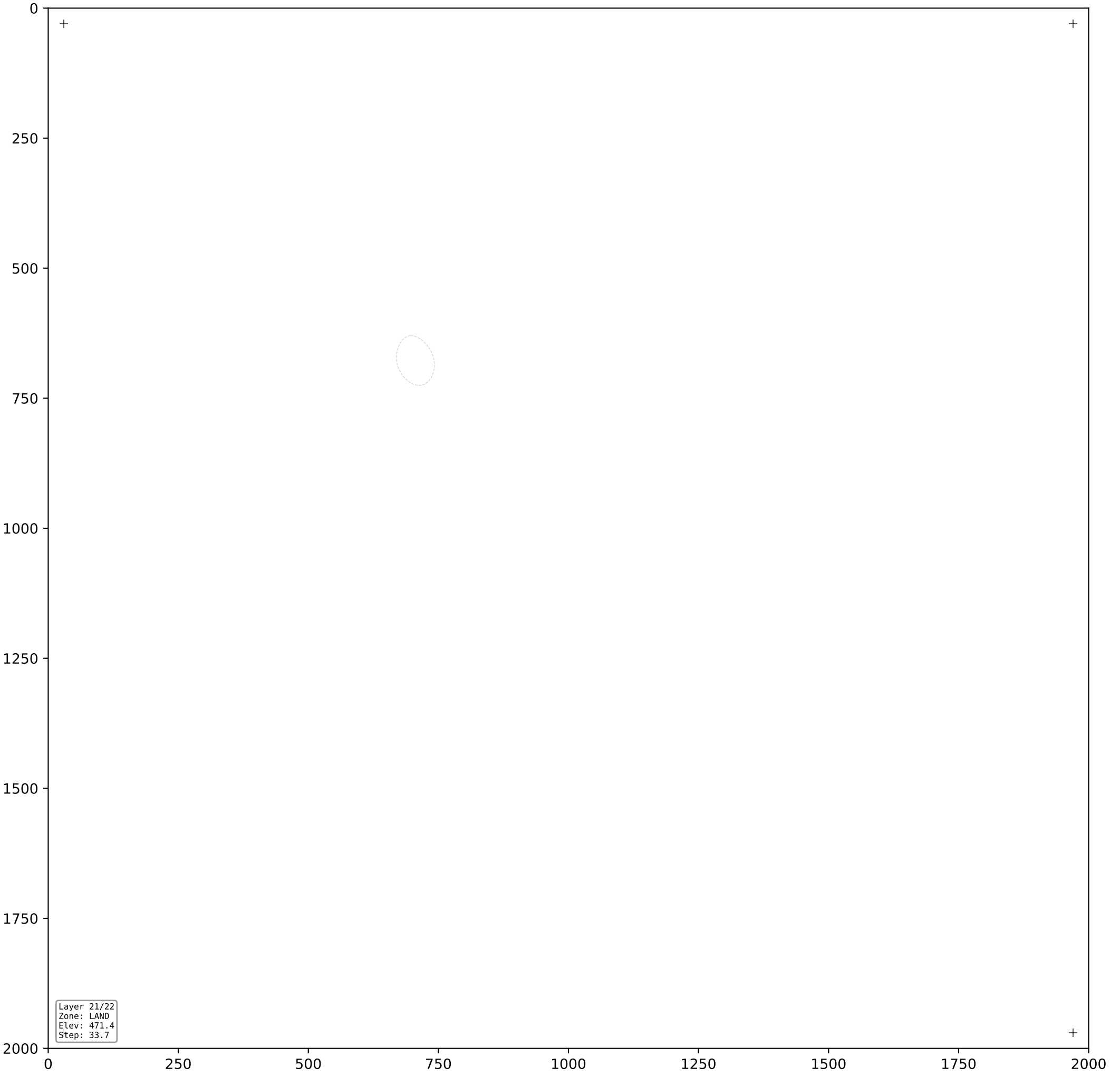
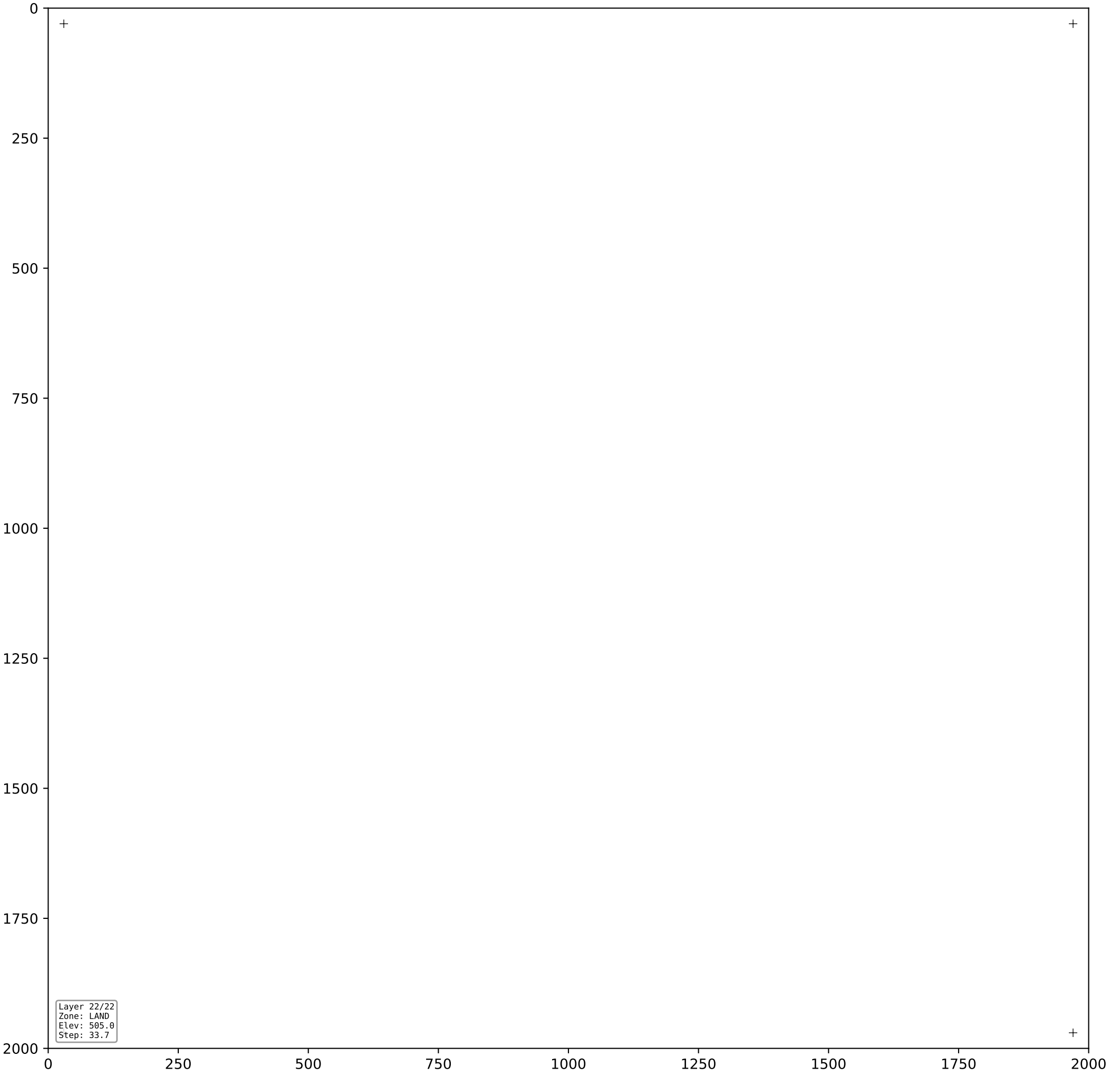
Layer 22 (LAND) — Elevation: 505.0
Cut this contour from brown cardboard sheet #22