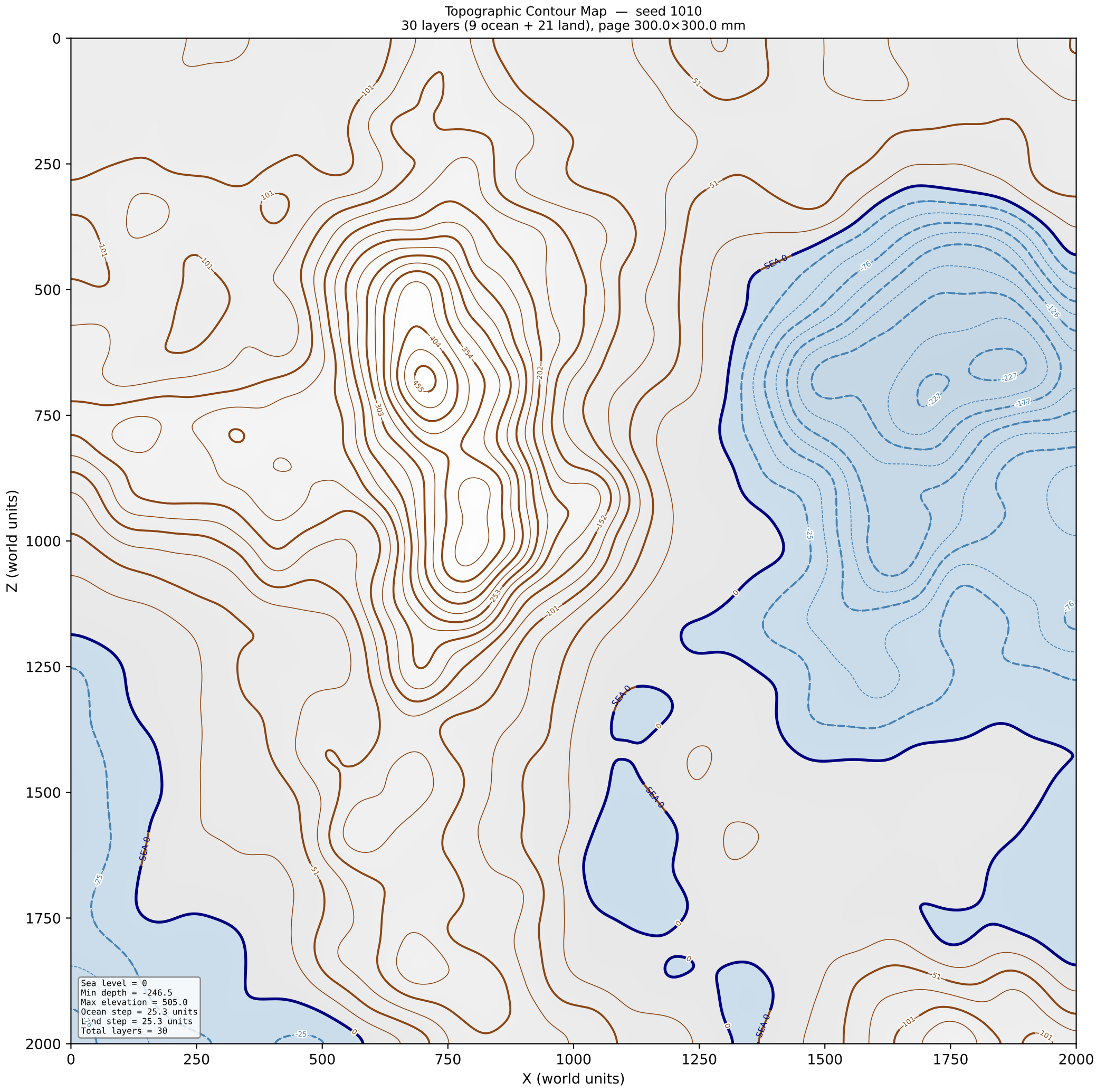
Topographic Contour Map — seed 1010
30 layers (9 ocean + 21 land), page 300.0×300.0 mm
Z (world units)
X (world units)
0
250
500
750
1000
1250
1500
1750
2000
SEA 0
Sea level = 0
Min depth = -246.5
Max elevation = 505.0
Ocean step = 25.3 units
Land step = 25.3 units
Total layers = 30

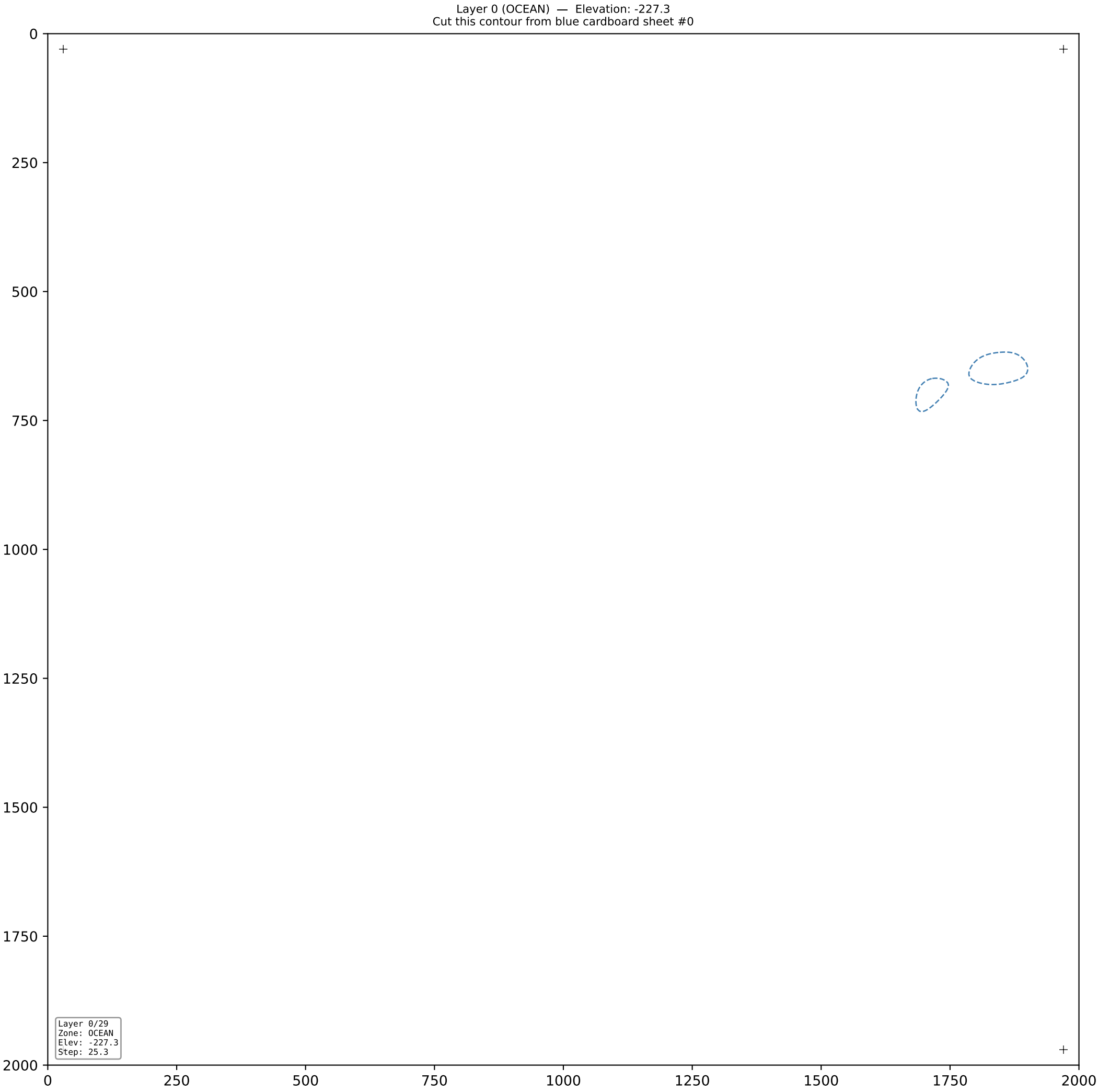
Layer 0 (OCEAN) — Elevation: -227.3
Cut this contour from blue cardboard sheet #0
0
250
500
750
1000
1250
1500
1750
2000
0
250
500
750
1000
1250
1500
1750
2000
Layer 0/29
Zone: OCEAN
Elev: -227.3
Step: 25.3

Layer 1 (OCEAN) — Elevation: -202.0
Cut this contour from blue cardboard sheet #1

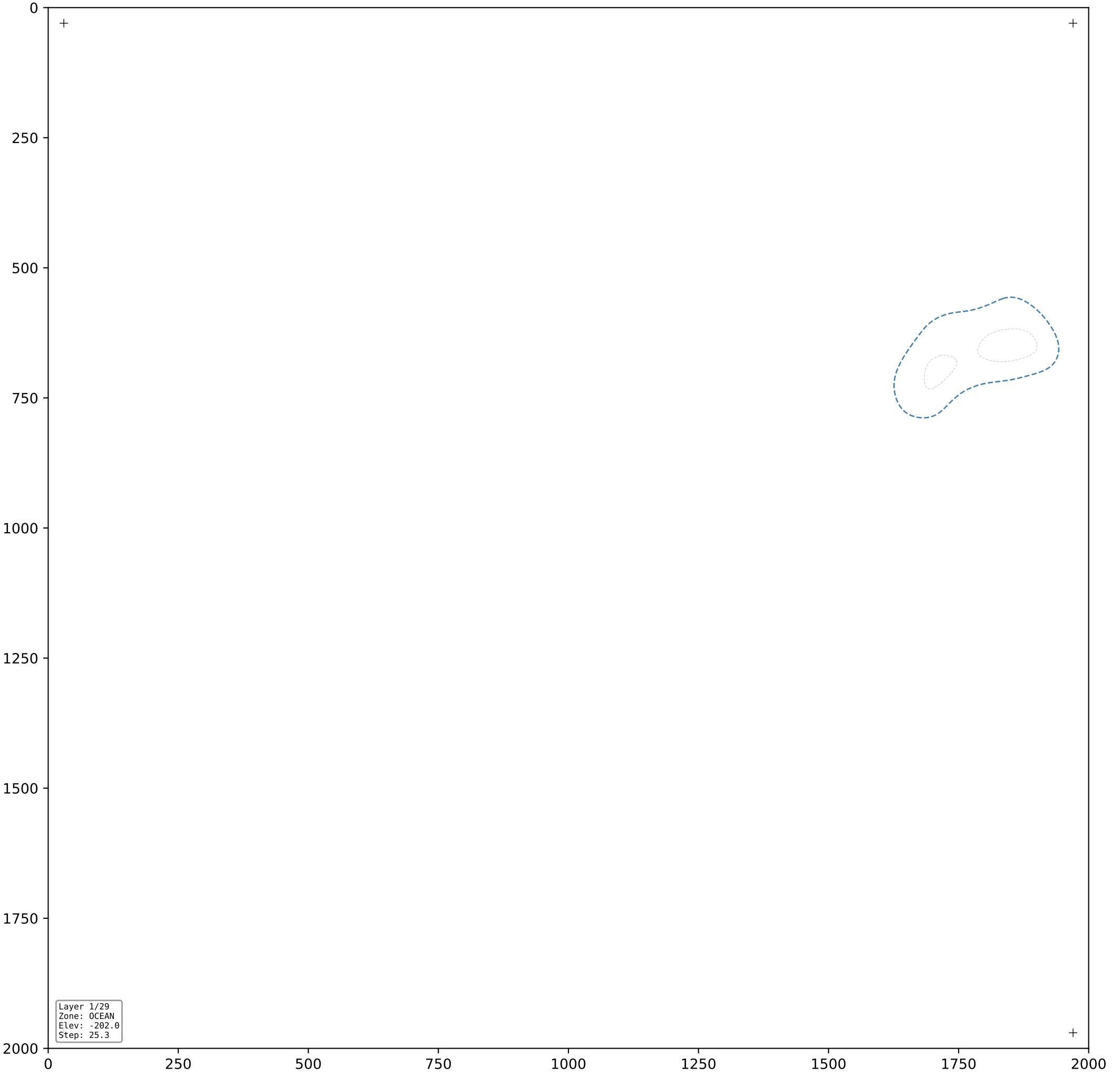

Layer 2 (OCEAN) — Elevation: -176.8
Cut this contour from blue cardboard sheet #2

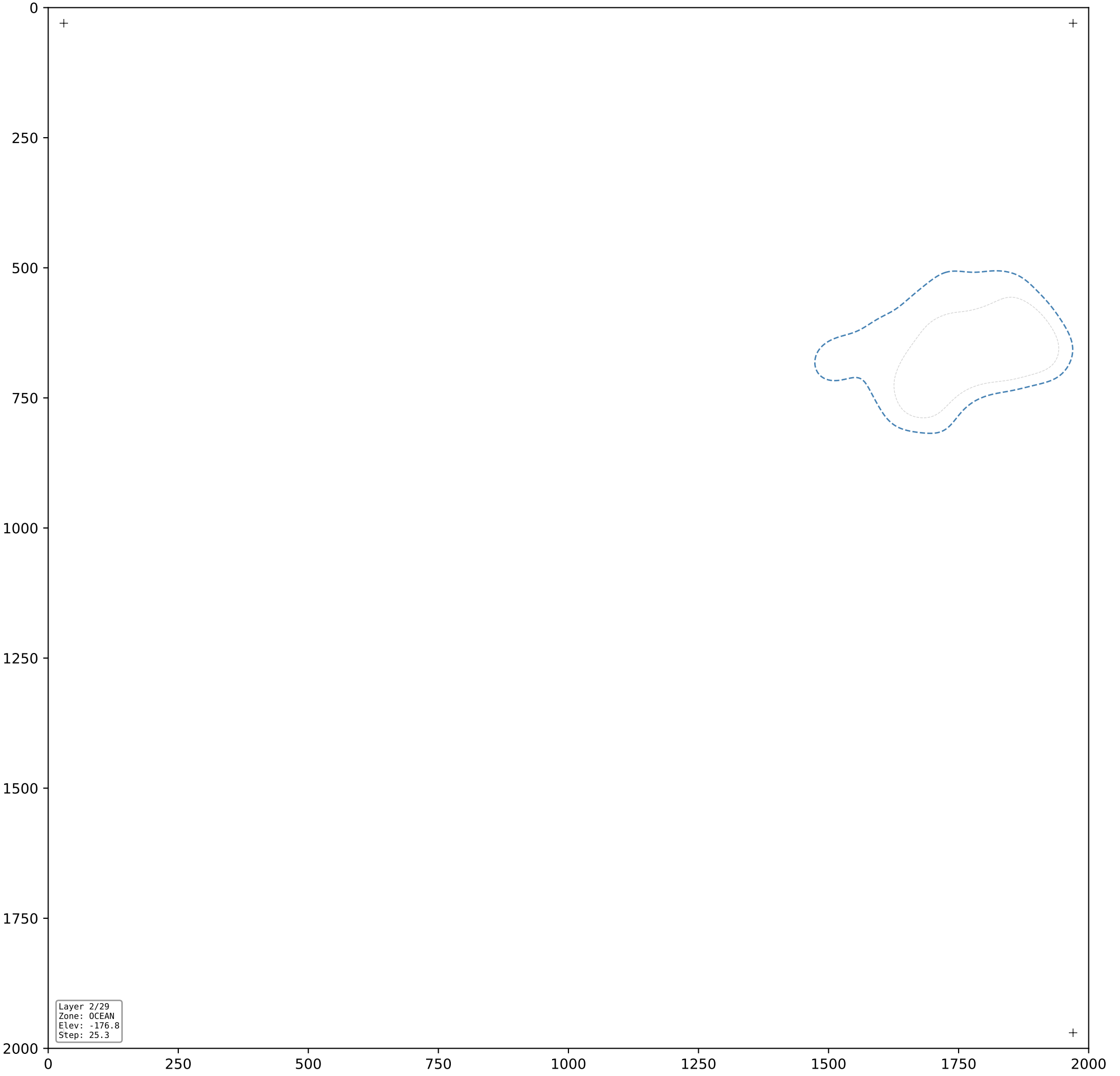

Layer 3 (OCEAN) — Elevation: -151.5
Cut this contour from blue cardboard sheet #3

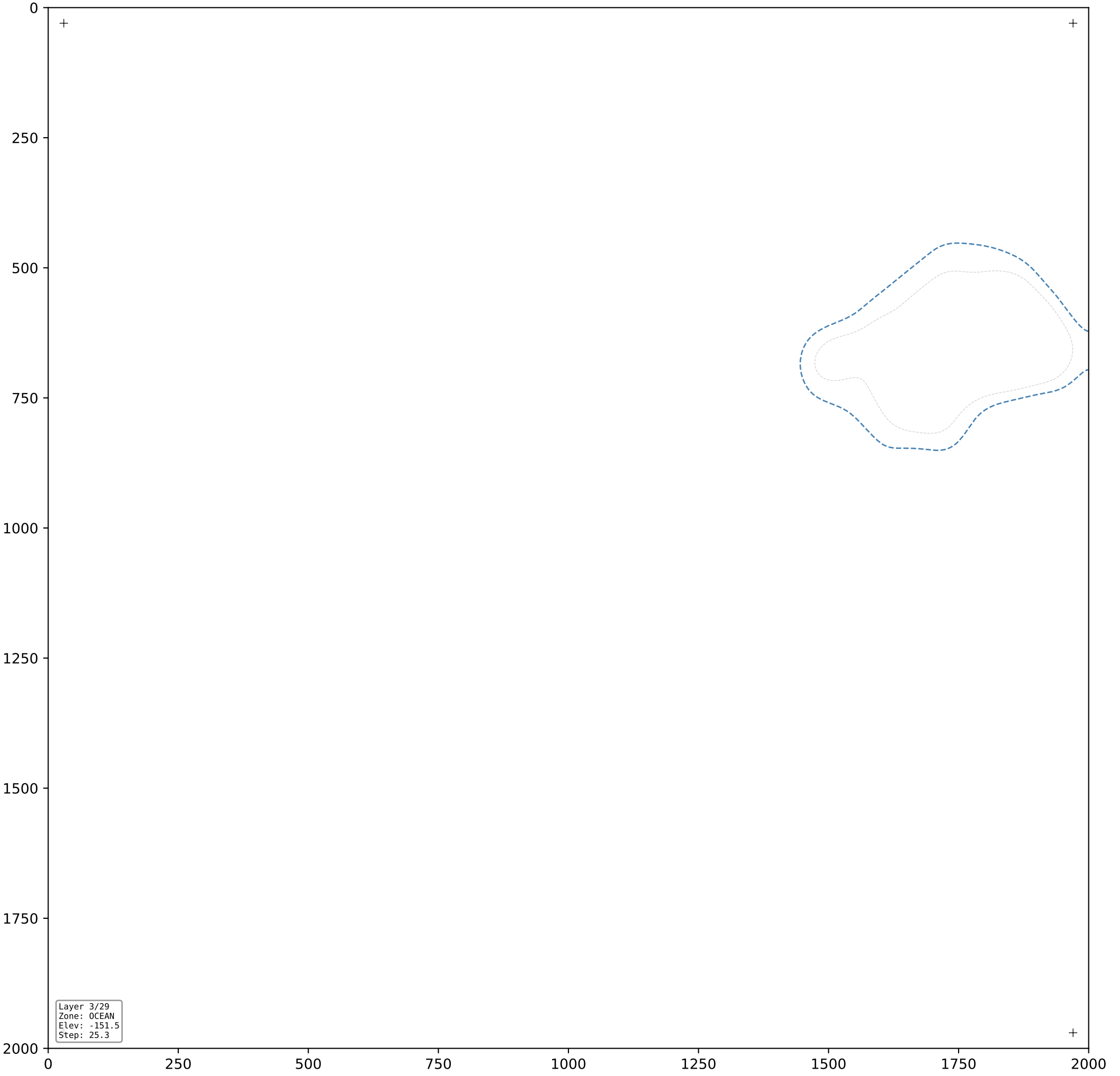

Layer 4 (OCEAN) — Elevation: -126.3
Cut this contour from blue cardboard sheet #4

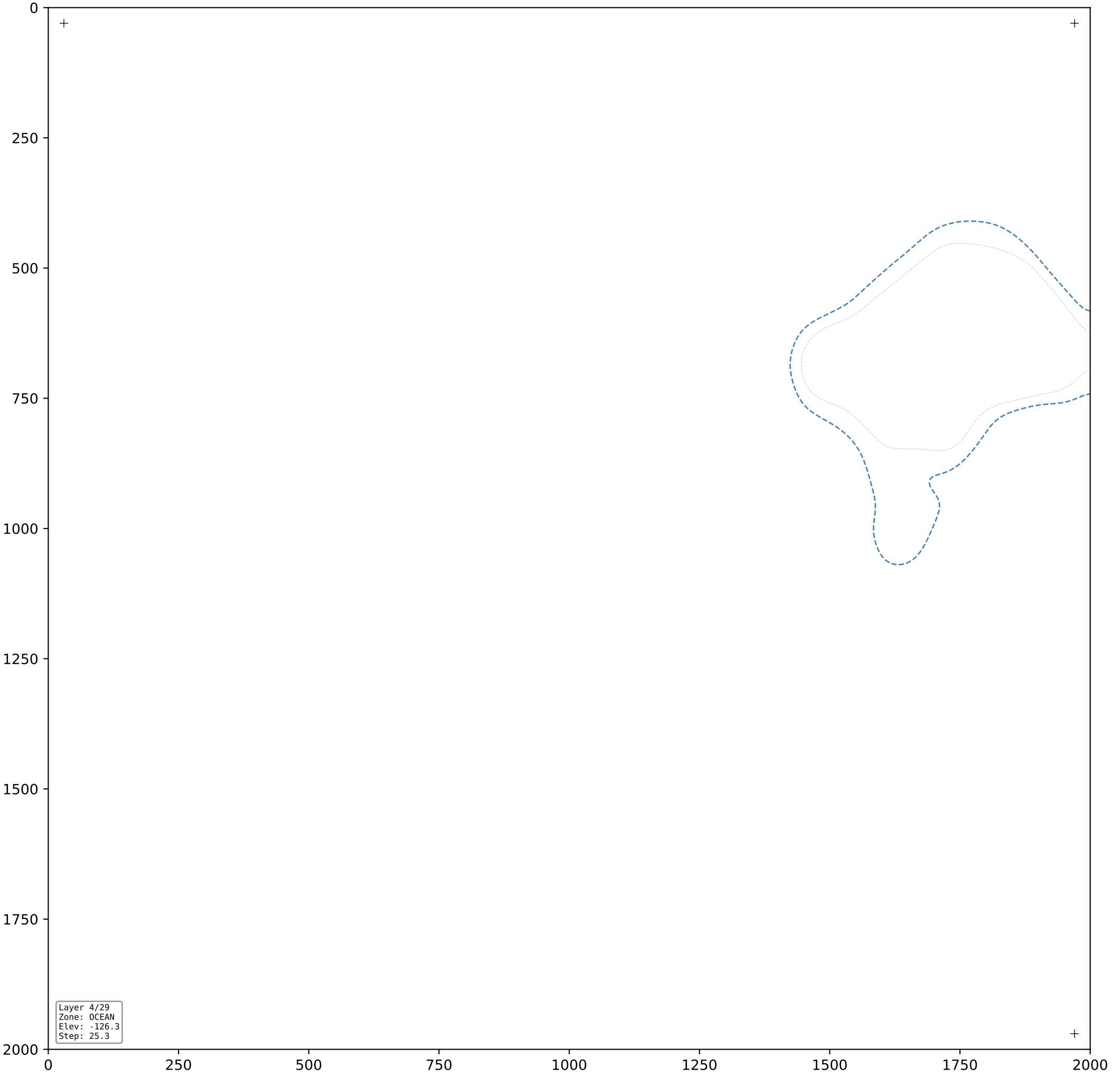

Layer 5 (OCEAN) — Elevation: -101.0
Cut this contour from blue cardboard sheet #5

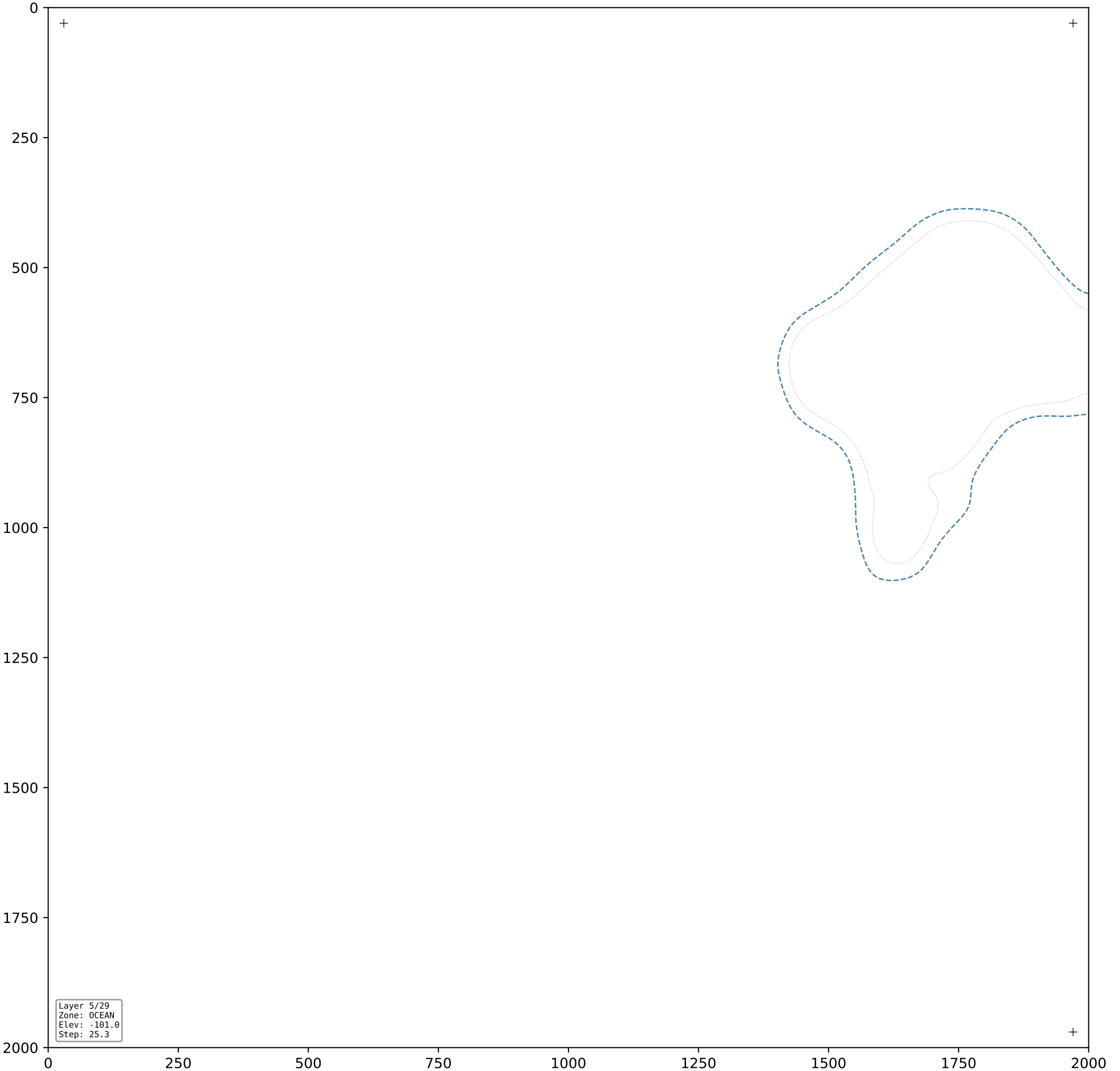

Layer 6 (OCEAN) — Elevation: -75.8
Cut this contour from blue cardboard sheet #6

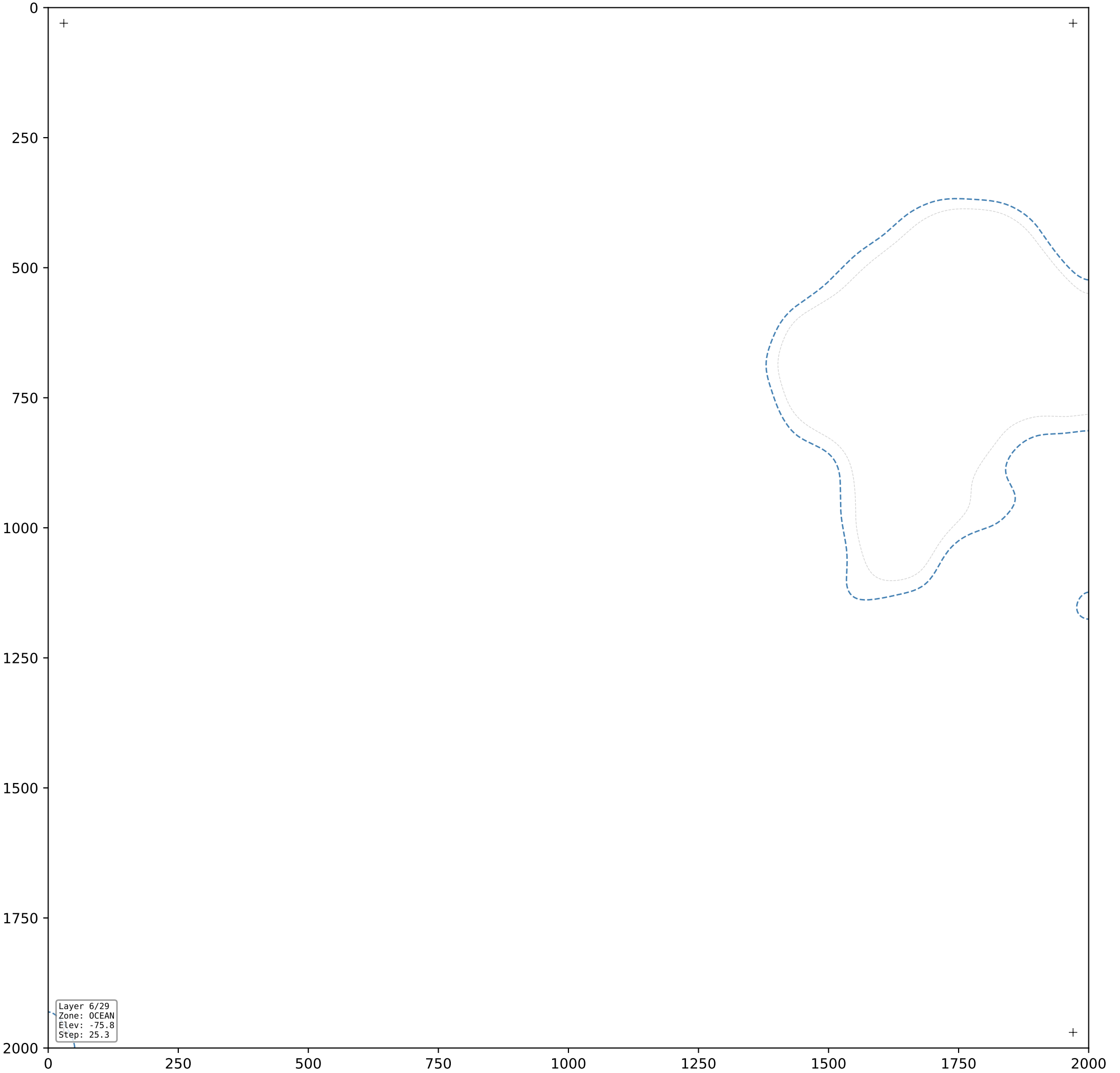

Layer 7 (OCEAN) — Elevation: -50.5
Cut this contour from blue cardboard sheet #7

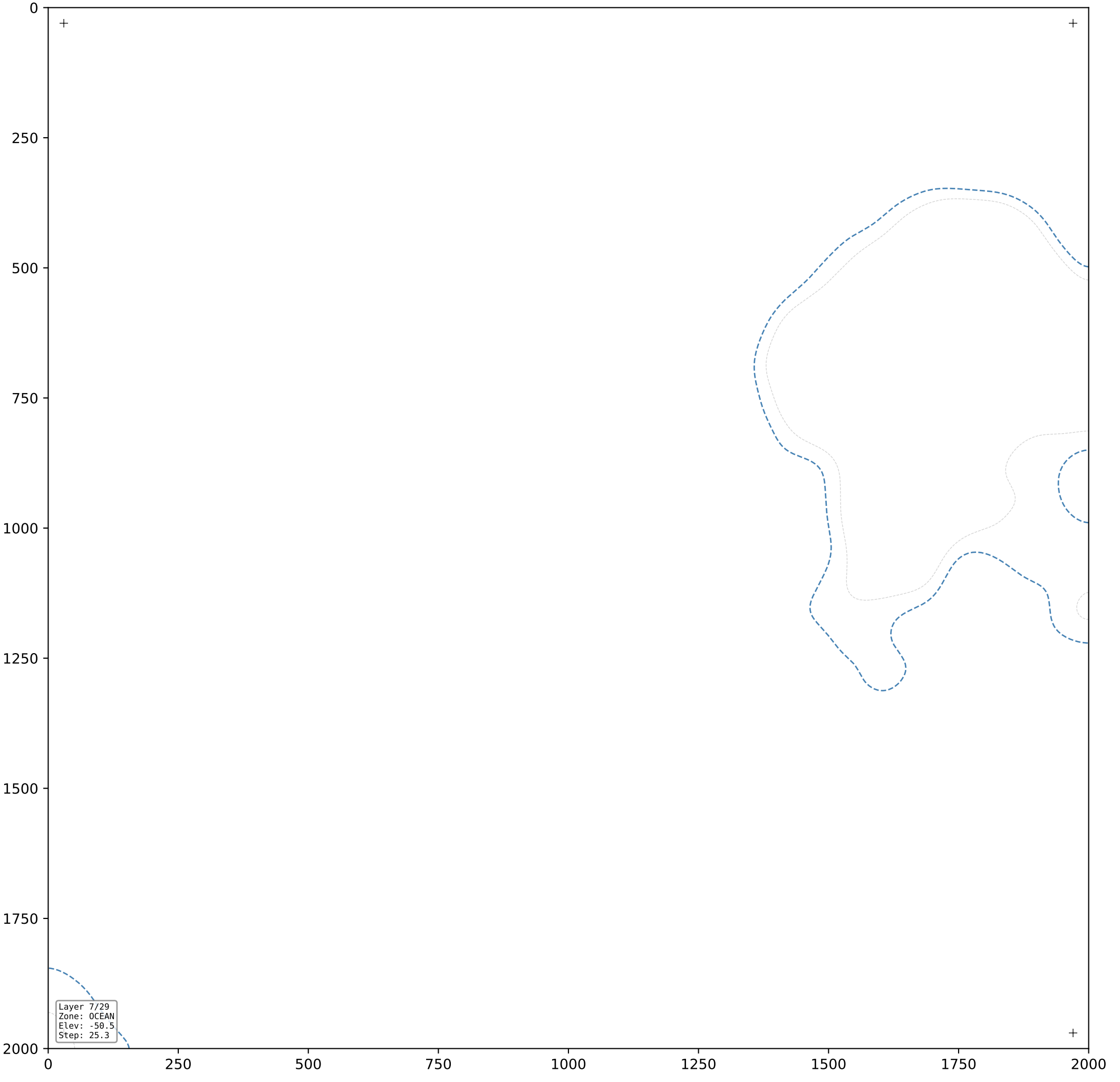

Layer 8 (OCEAN) — Elevation: -25.3
Cut this contour from blue cardboard sheet #8

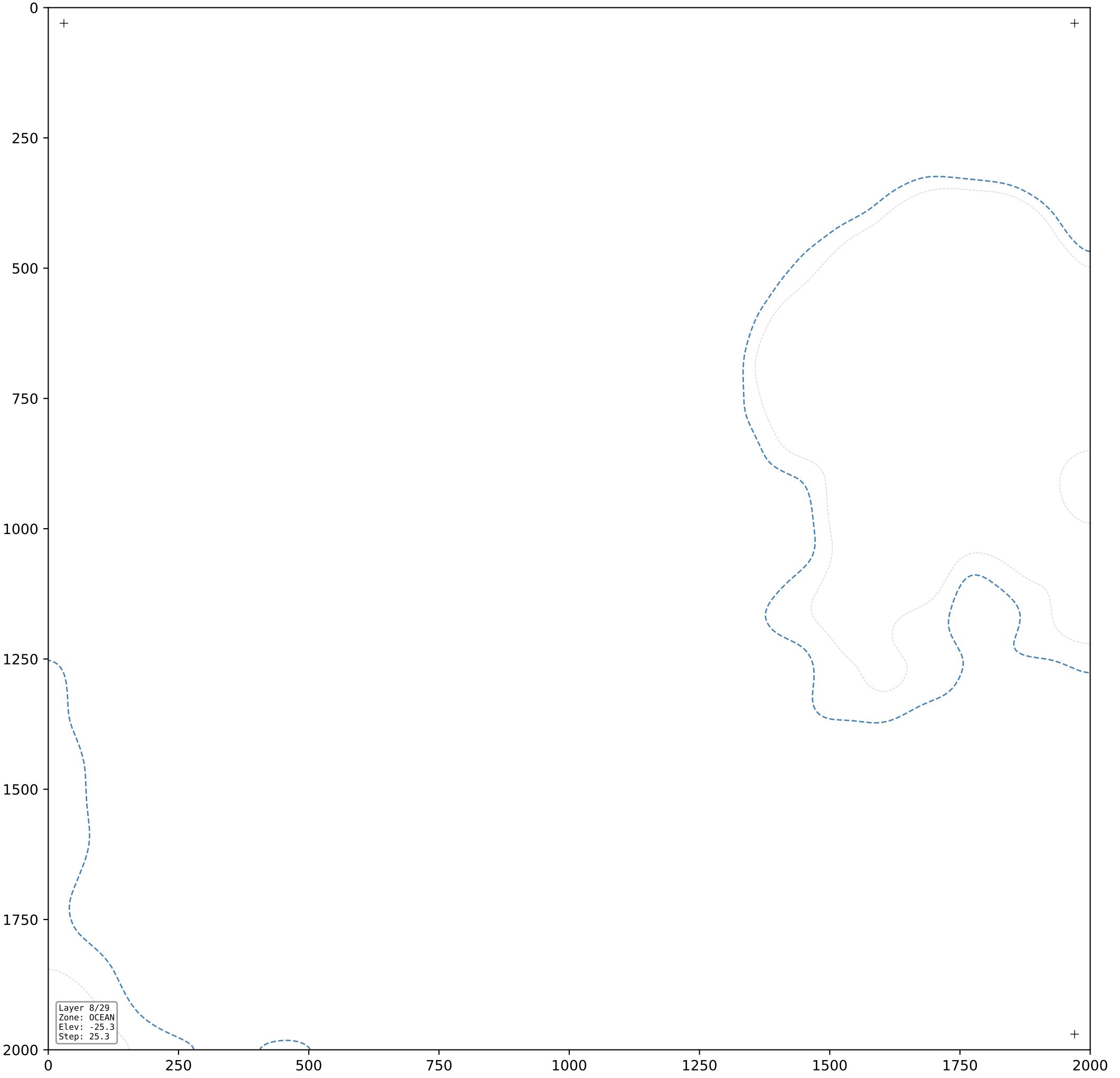

Layer 9 (SEA LEVEL) — Elevation: 0.0
Cut this contour from brown cardboard sheet #9

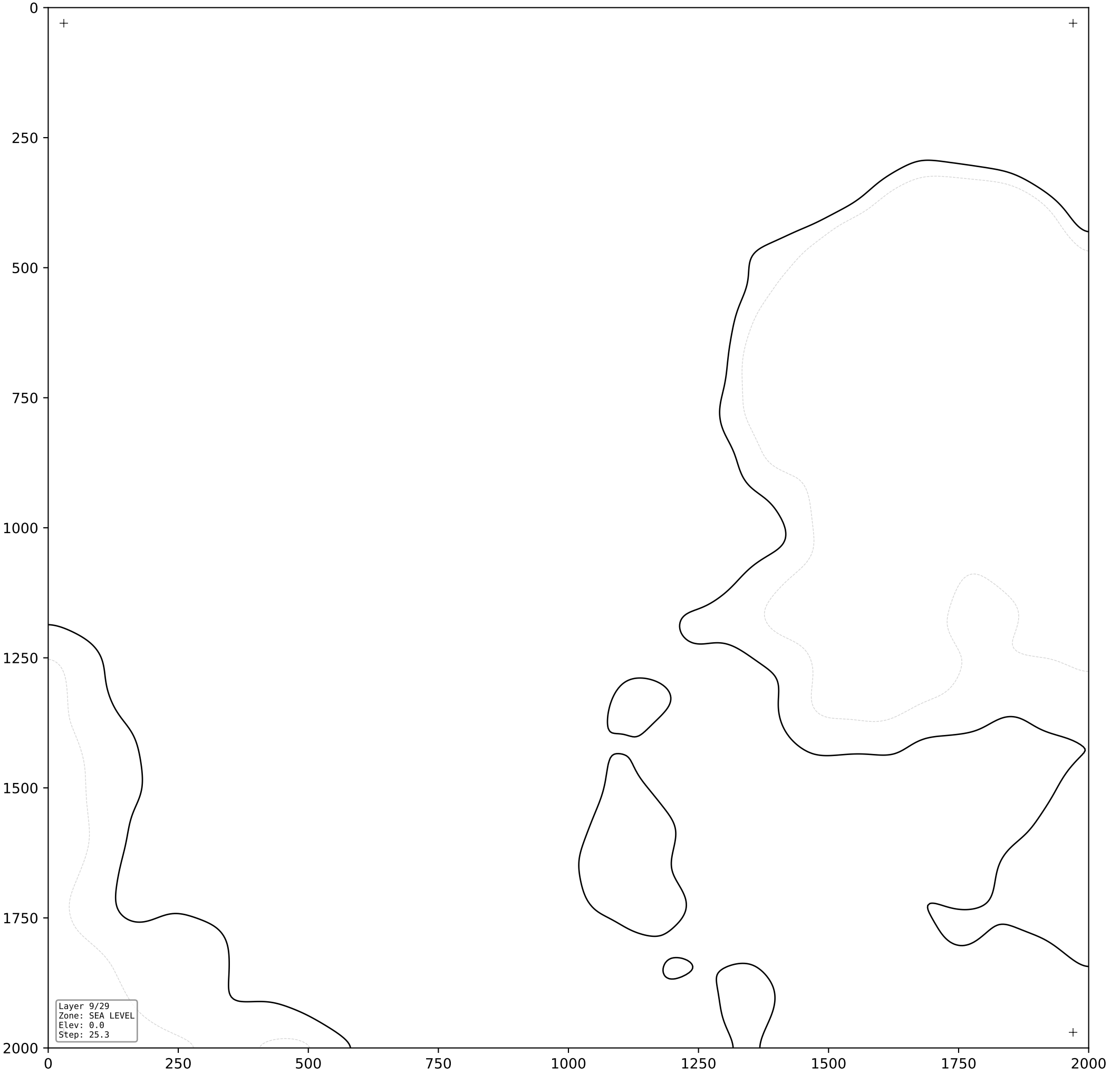

Layer 10 (LAND) — Elevation: 25.3
Cut this contour from brown cardboard sheet #10

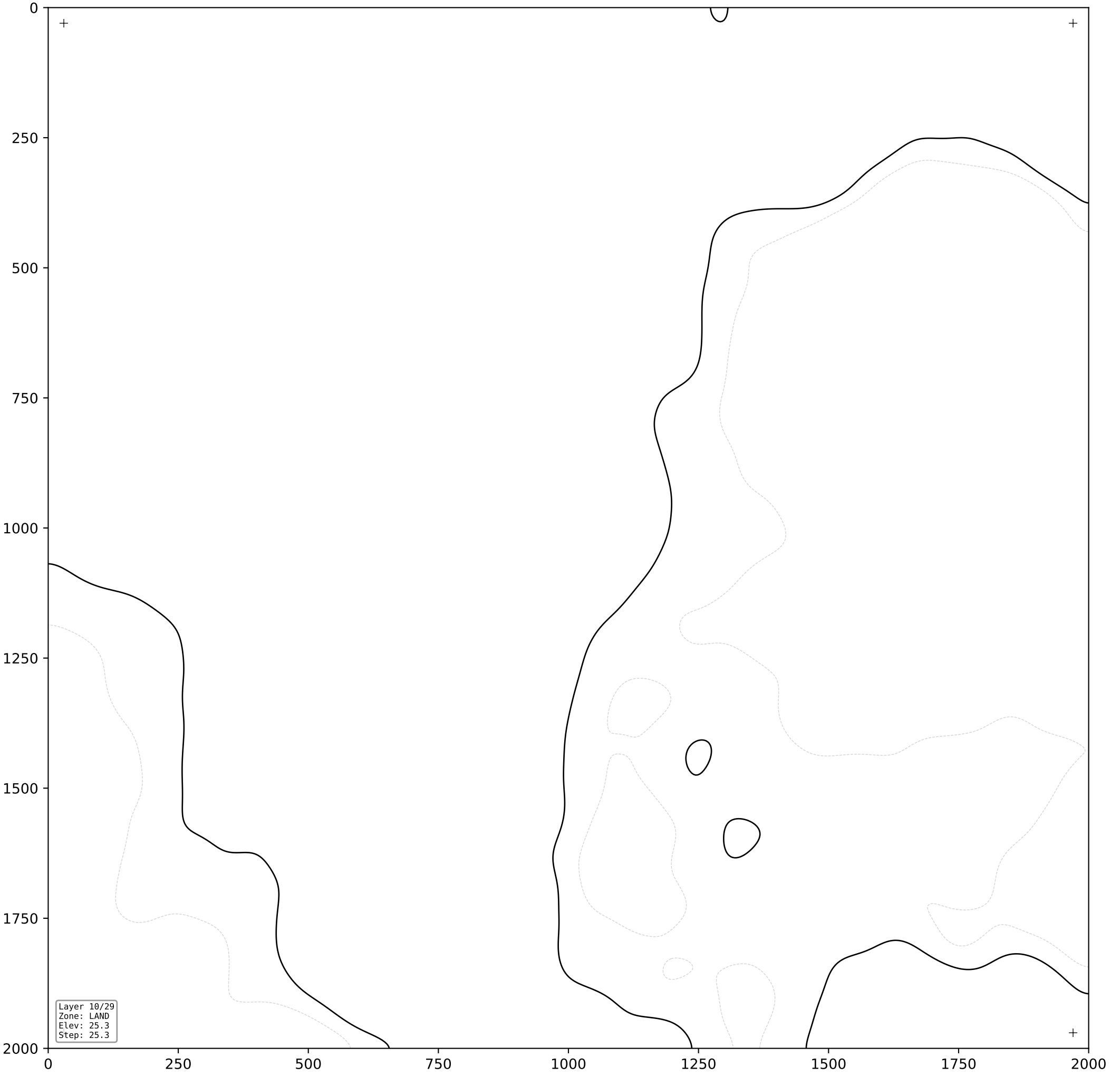

Layer 11 (LAND) — Elevation: 50.5
Cut this contour from brown cardboard sheet #11

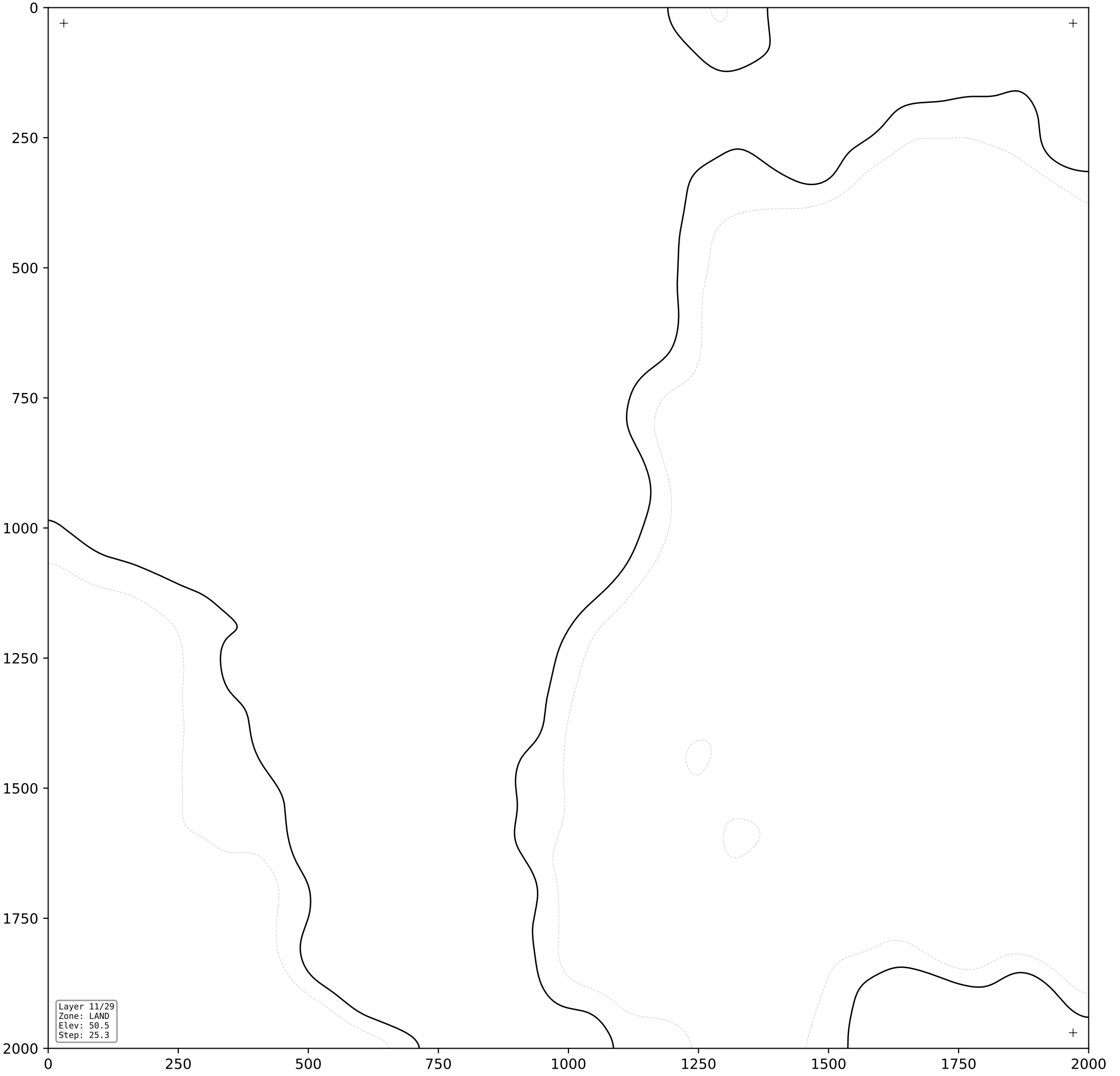

Layer 12 (LAND) — Elevation: 75.8
Cut this contour from brown cardboard sheet #12

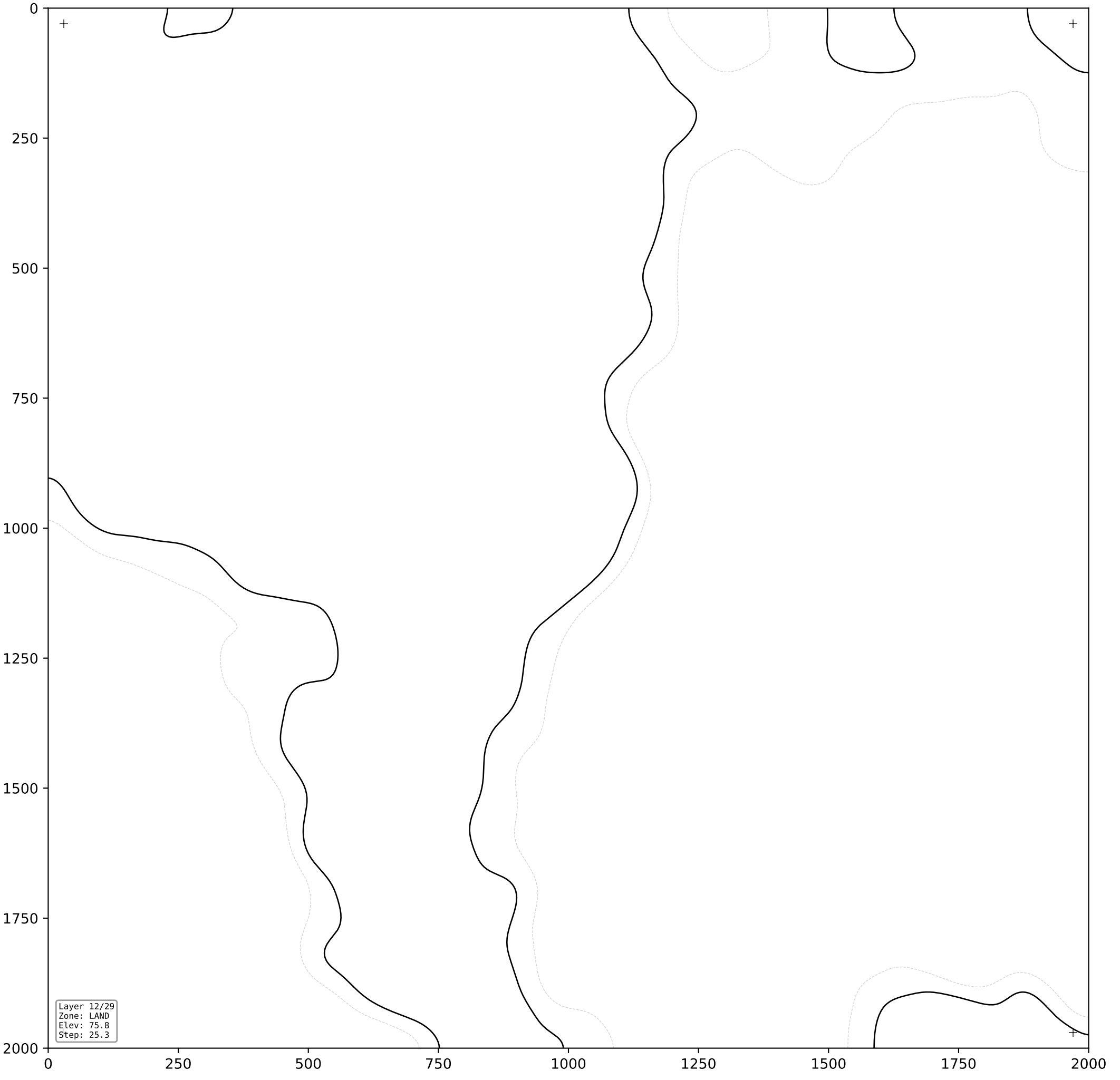

Layer 13 (LAND) — Elevation: 101.0
Cut this contour from brown cardboard sheet #13

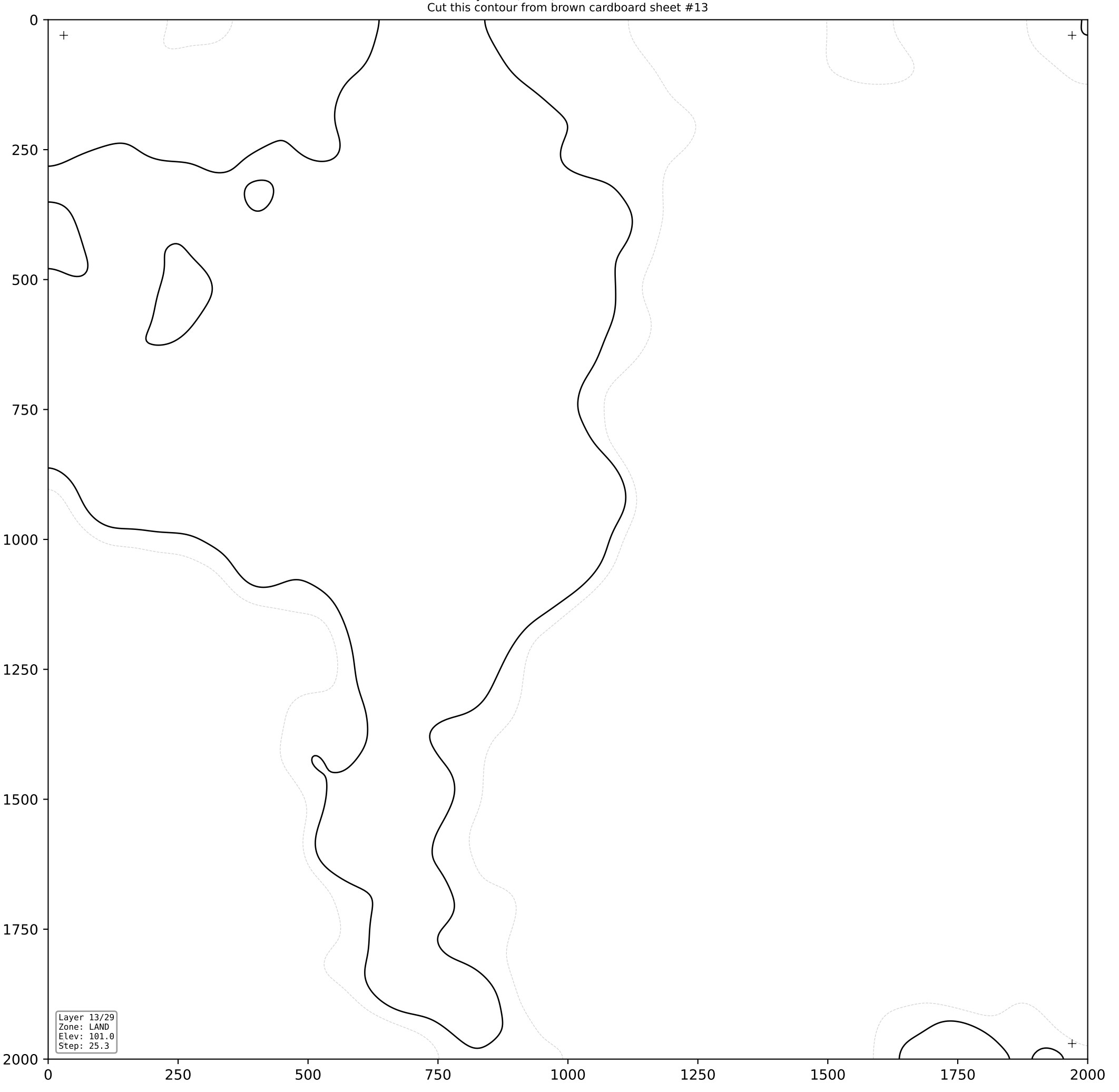

Layer 14 (LAND) — Elevation: 126.3
Cut this contour from brown cardboard sheet #14

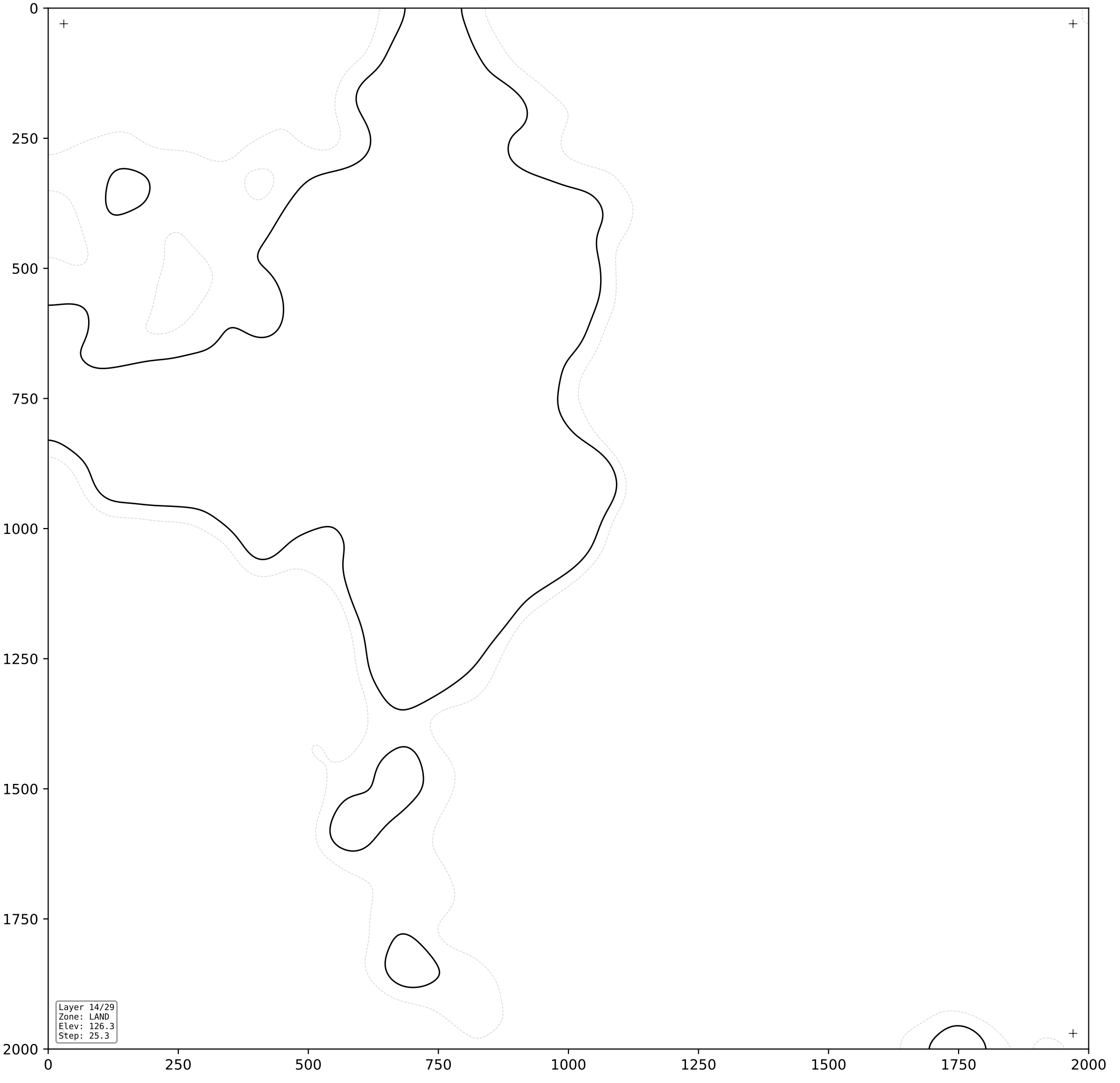

Layer 15 (LAND) — Elevation: 151.5
Cut this contour from brown cardboard sheet #15

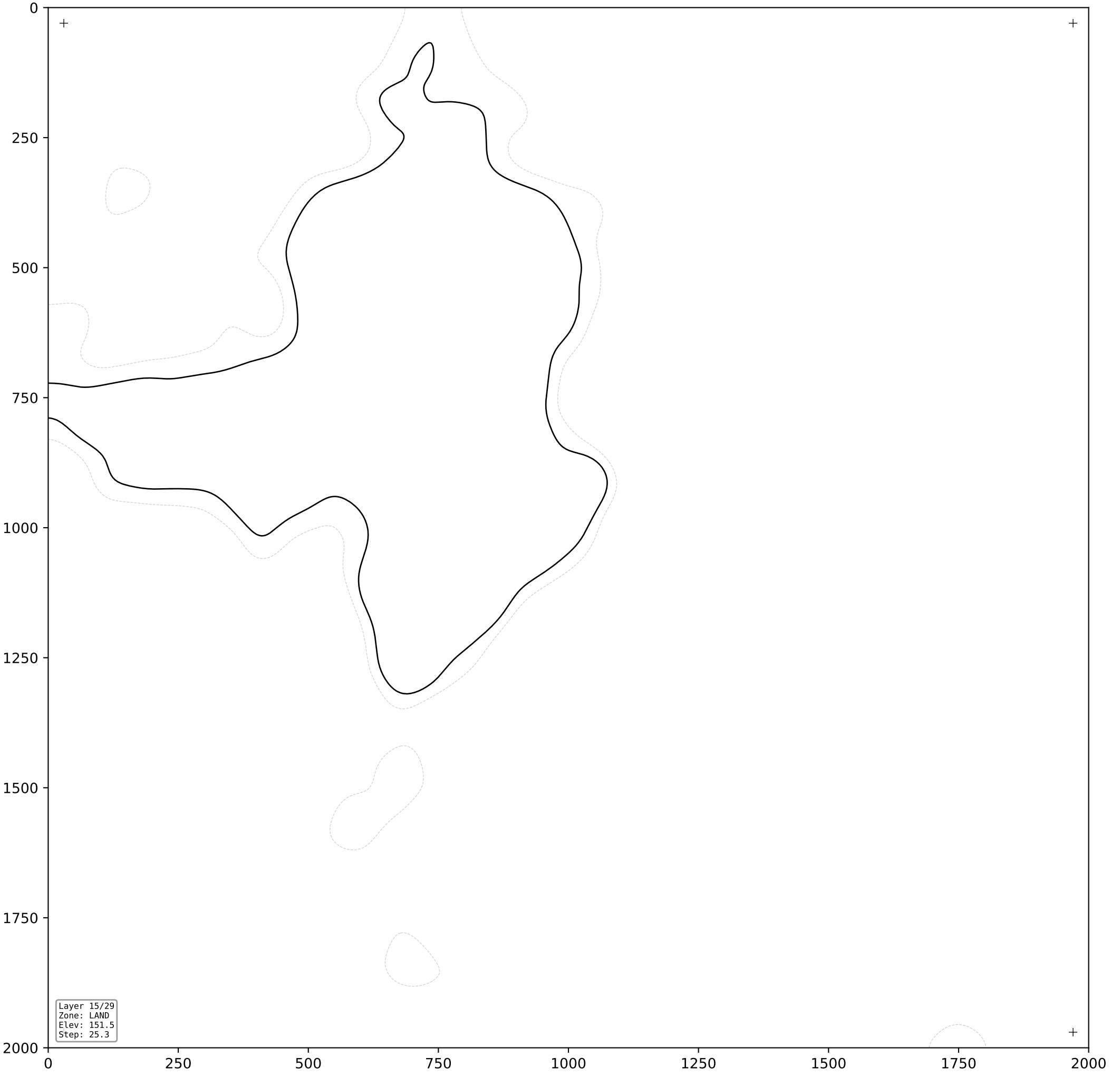

Layer 16 (LAND) — Elevation: 176.8
Cut this contour from brown cardboard sheet #16

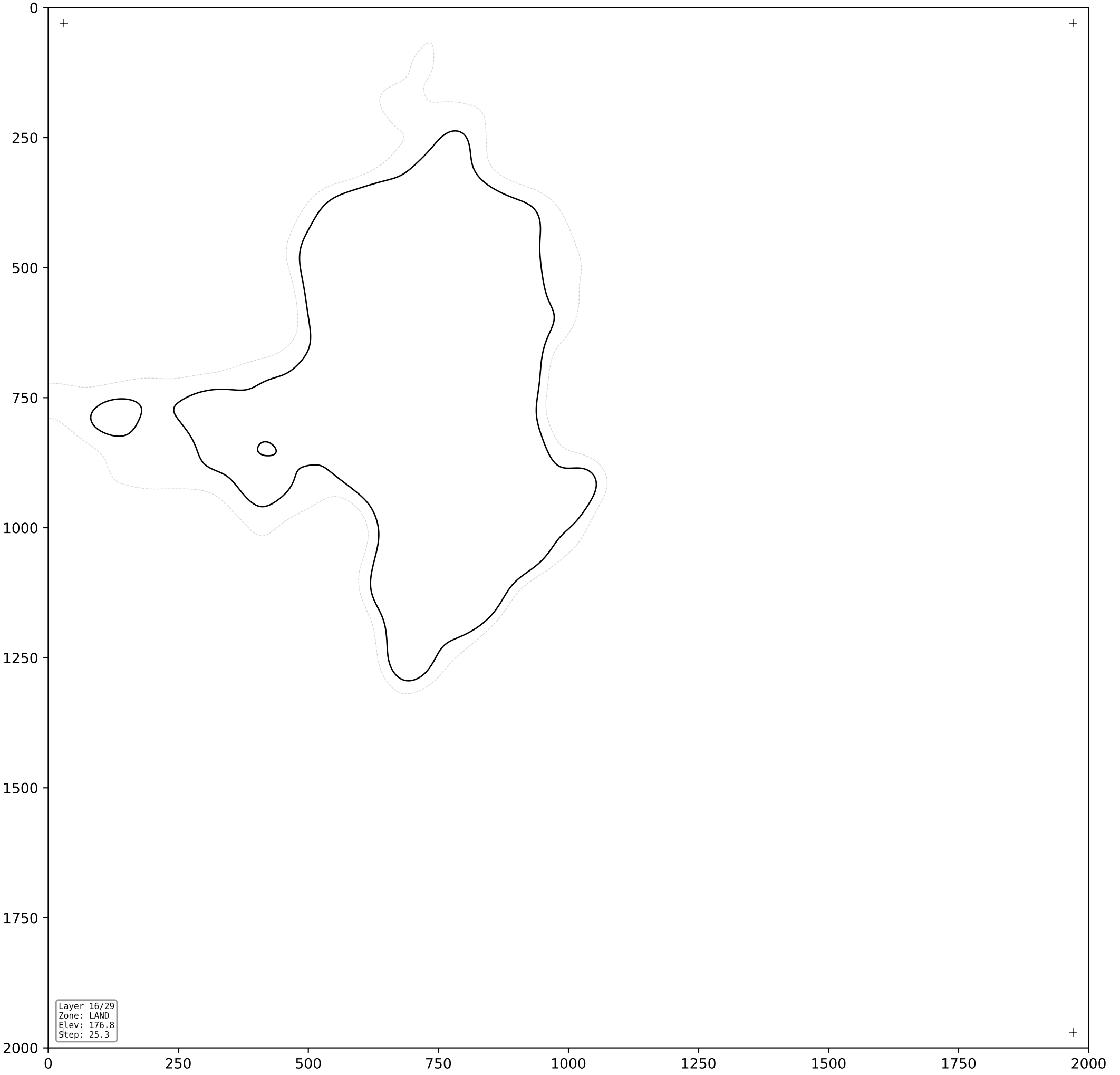

Layer 17 (LAND) — Elevation: 202.0
Cut this contour from brown cardboard sheet #17

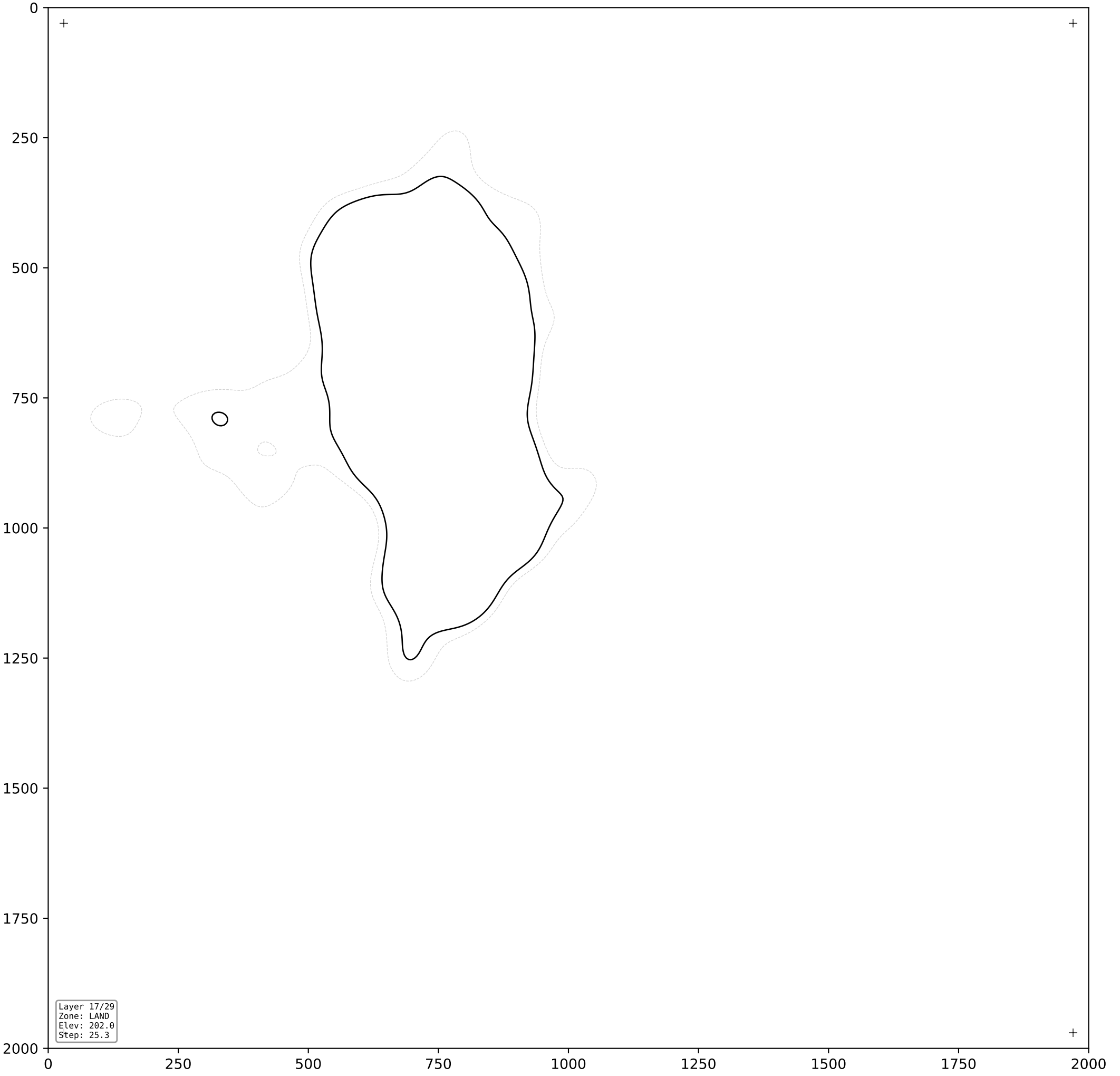

Layer 18 (LAND) — Elevation: 227.3
Cut this contour from brown cardboard sheet #18

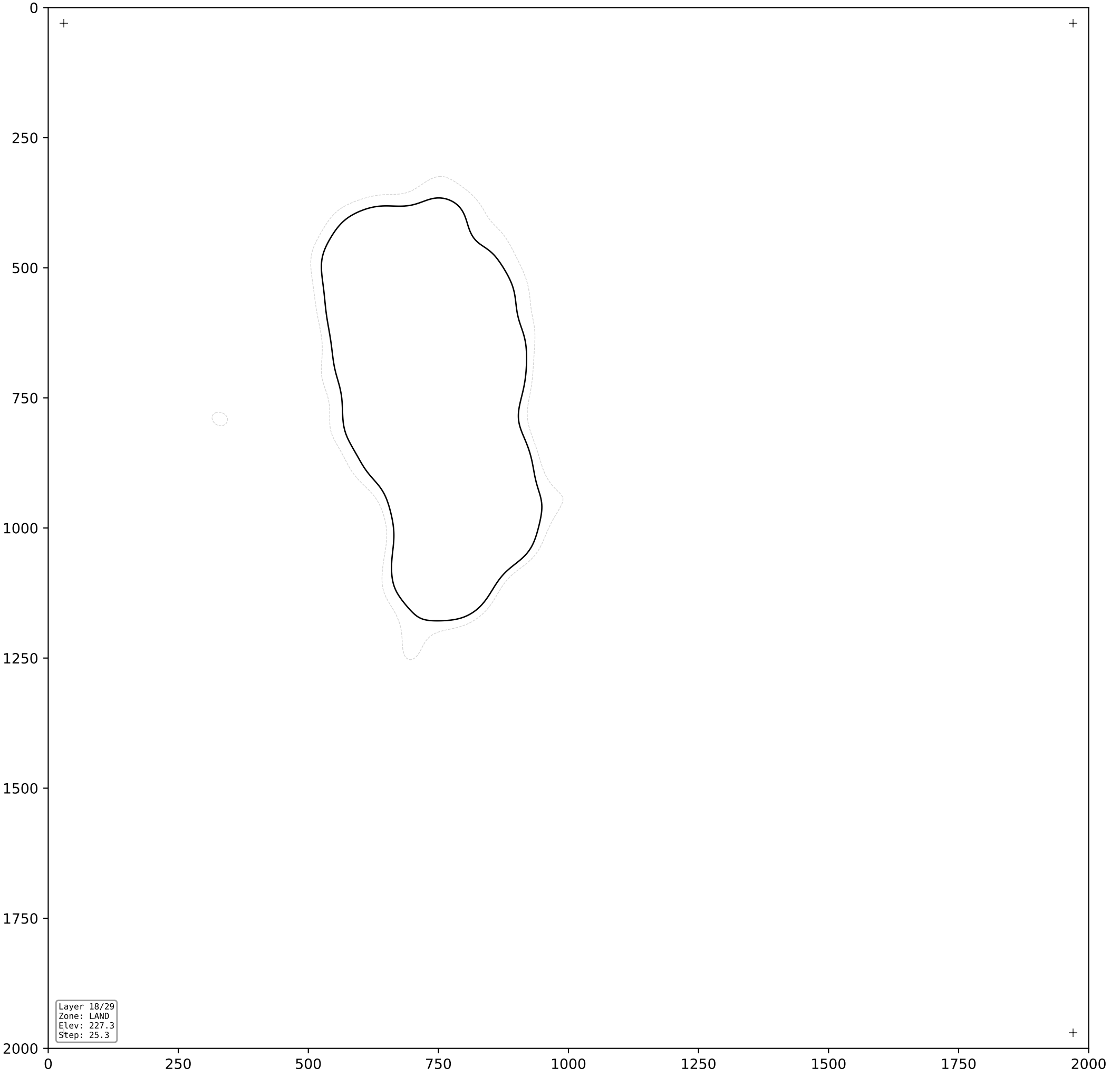

Layer 19 (LAND) — Elevation: 252.5
Cut this contour from brown cardboard sheet #19

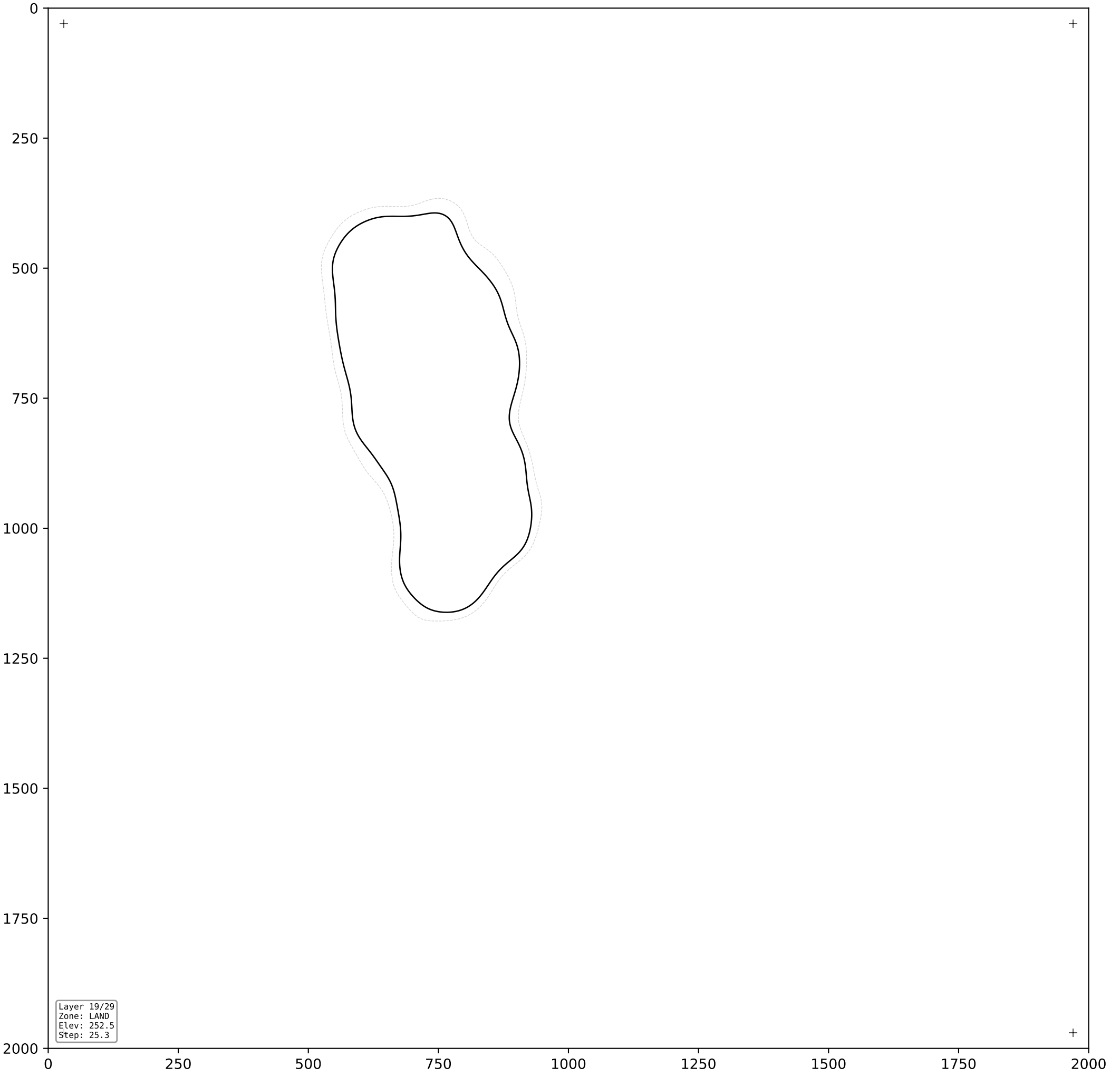

Layer 20 (LAND) — Elevation: 277.8
Cut this contour from brown cardboard sheet #20

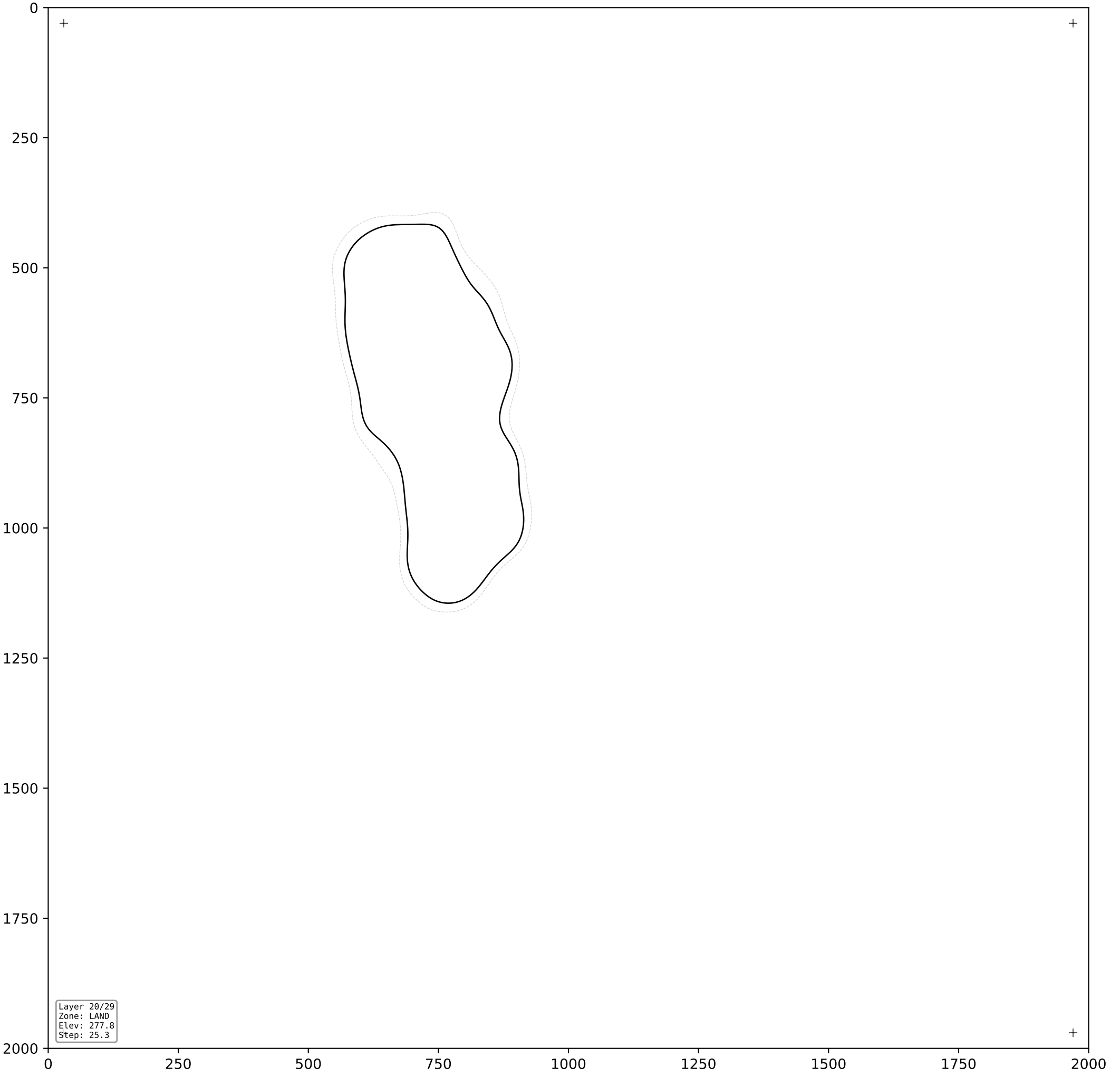

Layer 21 (LAND) — Elevation: 303.0
Cut this contour from brown cardboard sheet #21

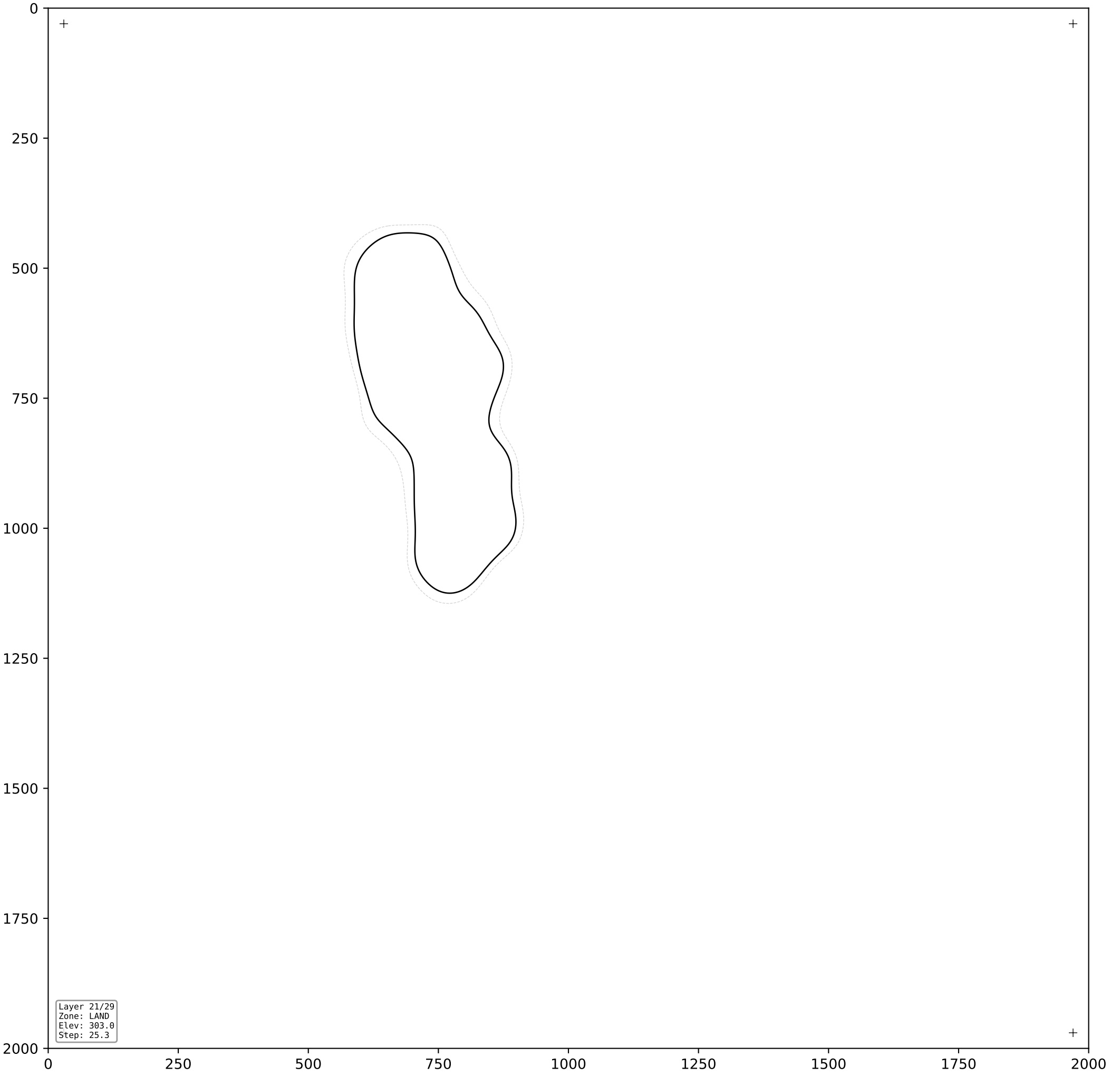

Layer 22 (LAND) — Elevation: 328.3
Cut this contour from brown cardboard sheet #22

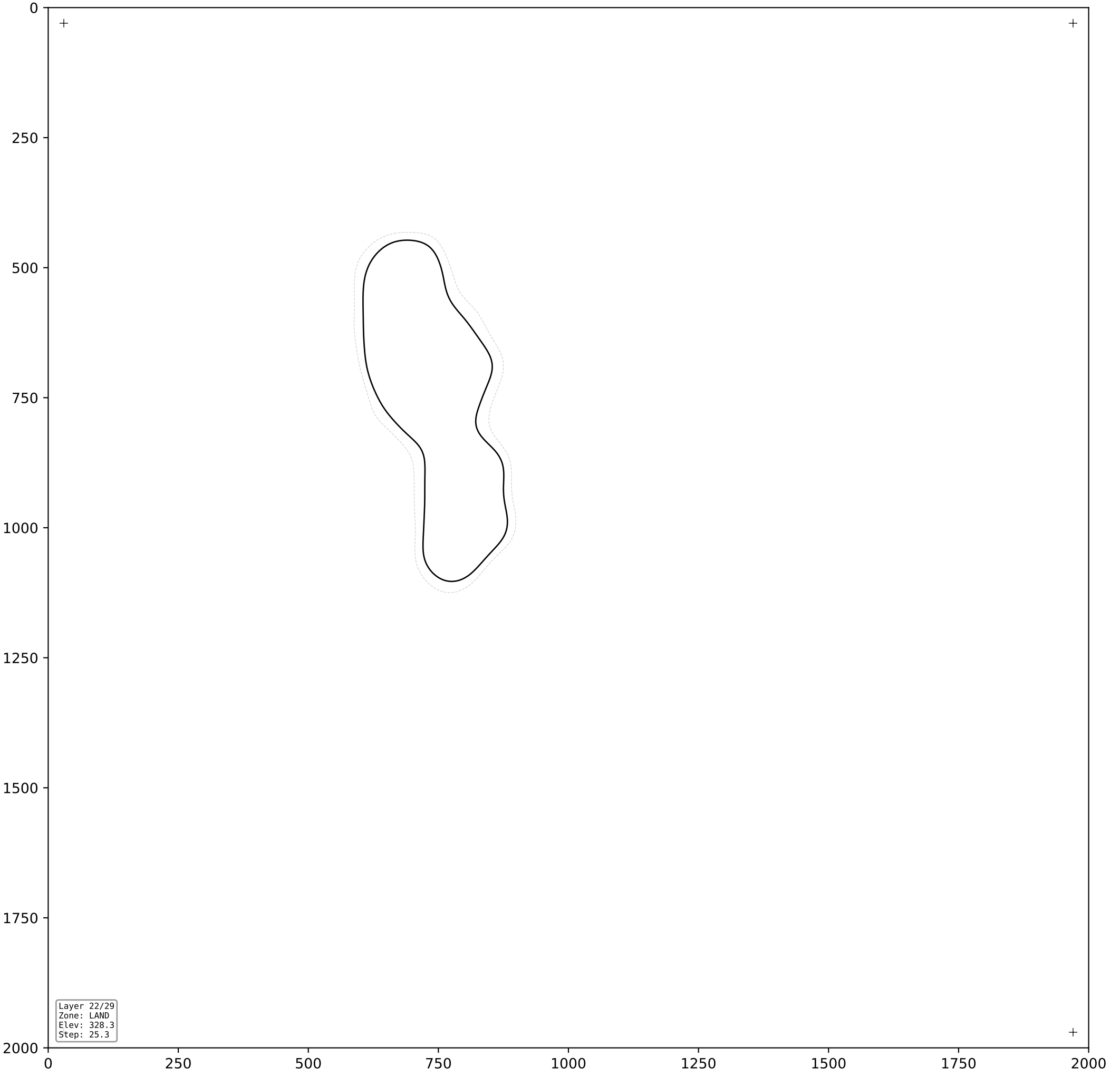

Layer 23 (LAND) — Elevation: 353.5
Cut this contour from brown cardboard sheet #23

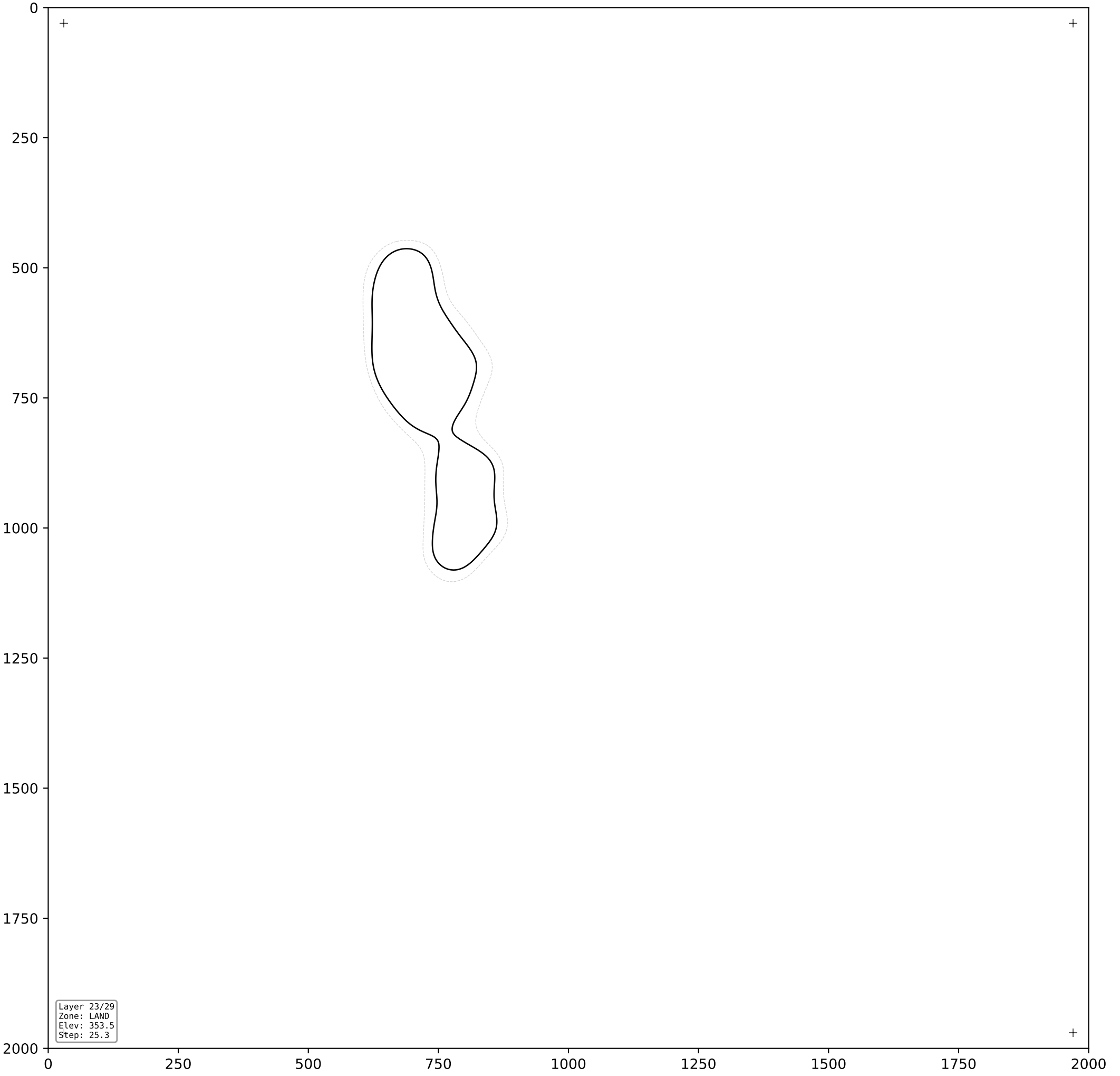

Layer 24 (LAND) — Elevation: 378.8
Cut this contour from brown cardboard sheet #24

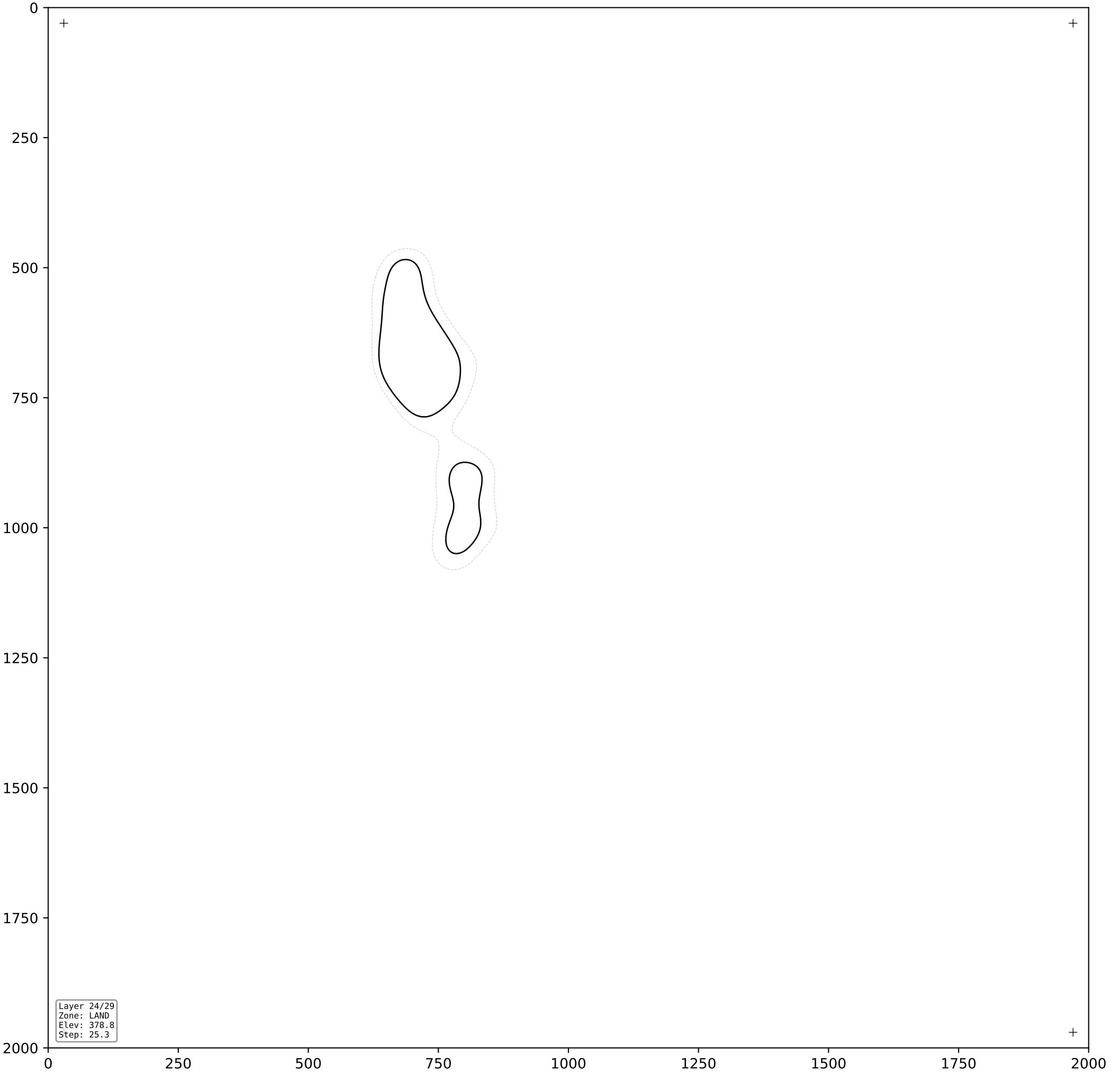

Layer 25 (LAND) — Elevation: 404.0
Cut this contour from brown cardboard sheet #25

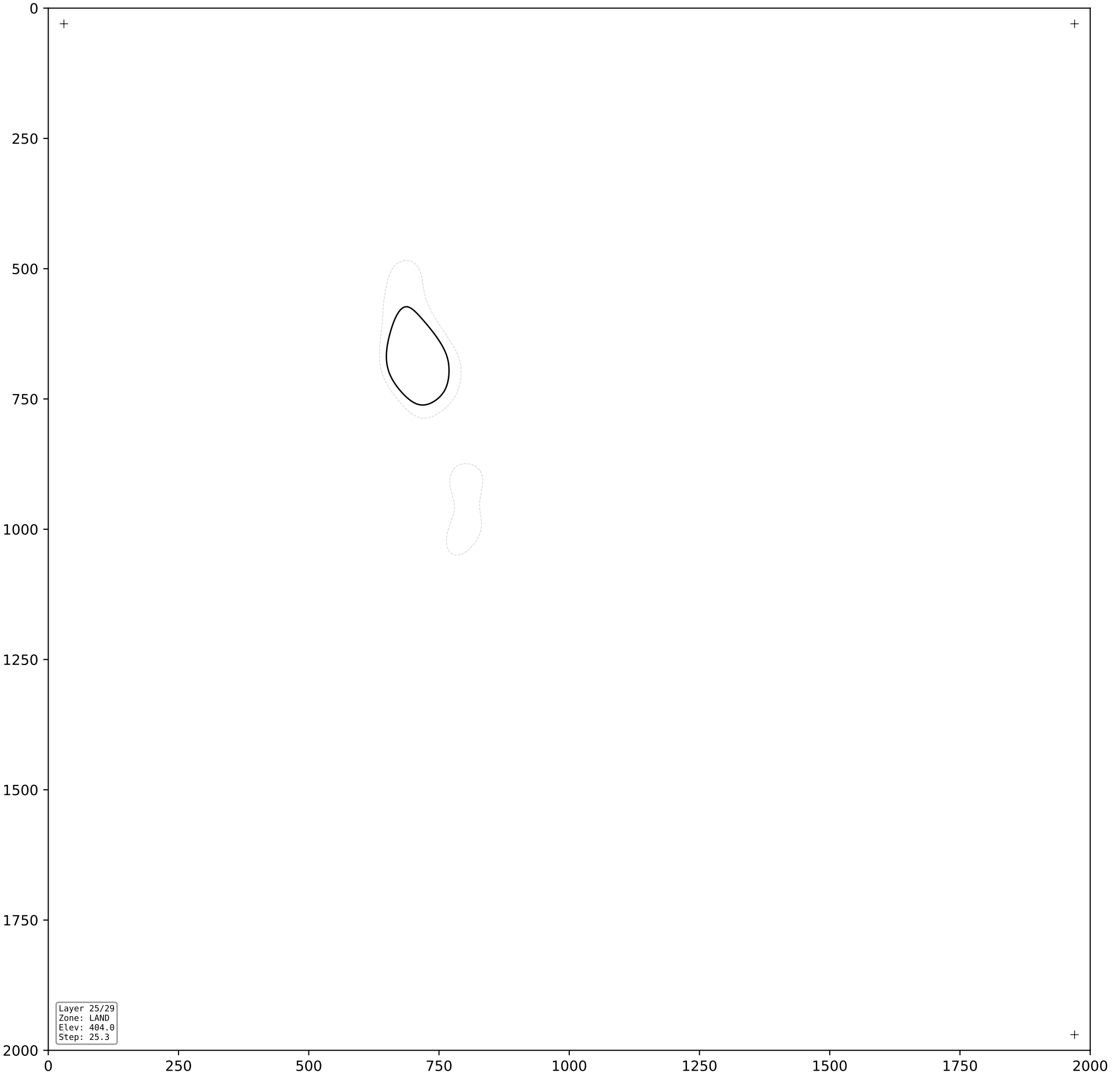

Layer 26 (LAND) — Elevation: 429.3
Cut this contour from brown cardboard sheet #26

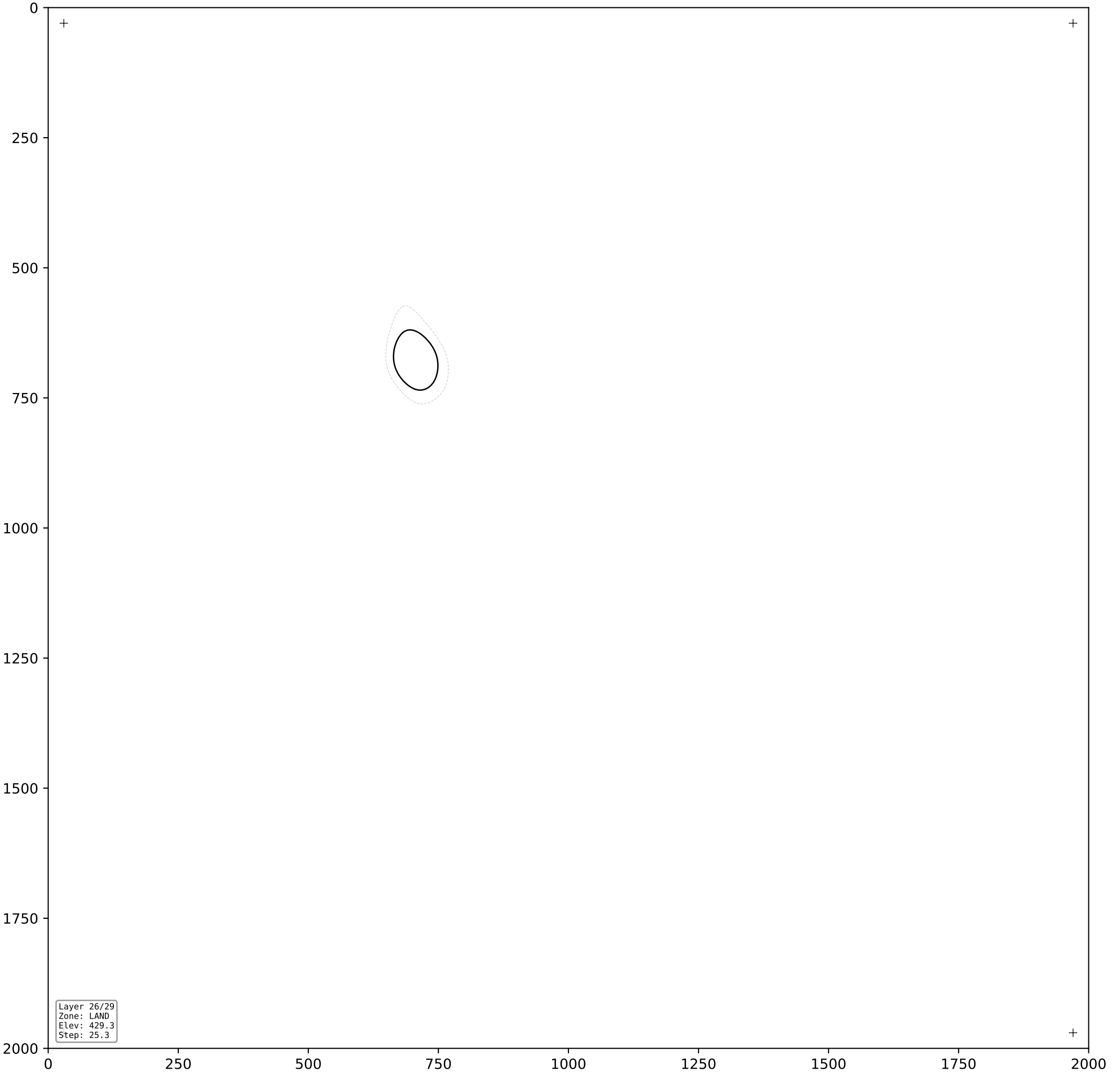

Layer 27 (LAND) — Elevation: 454.5
Cut this contour from brown cardboard sheet #27

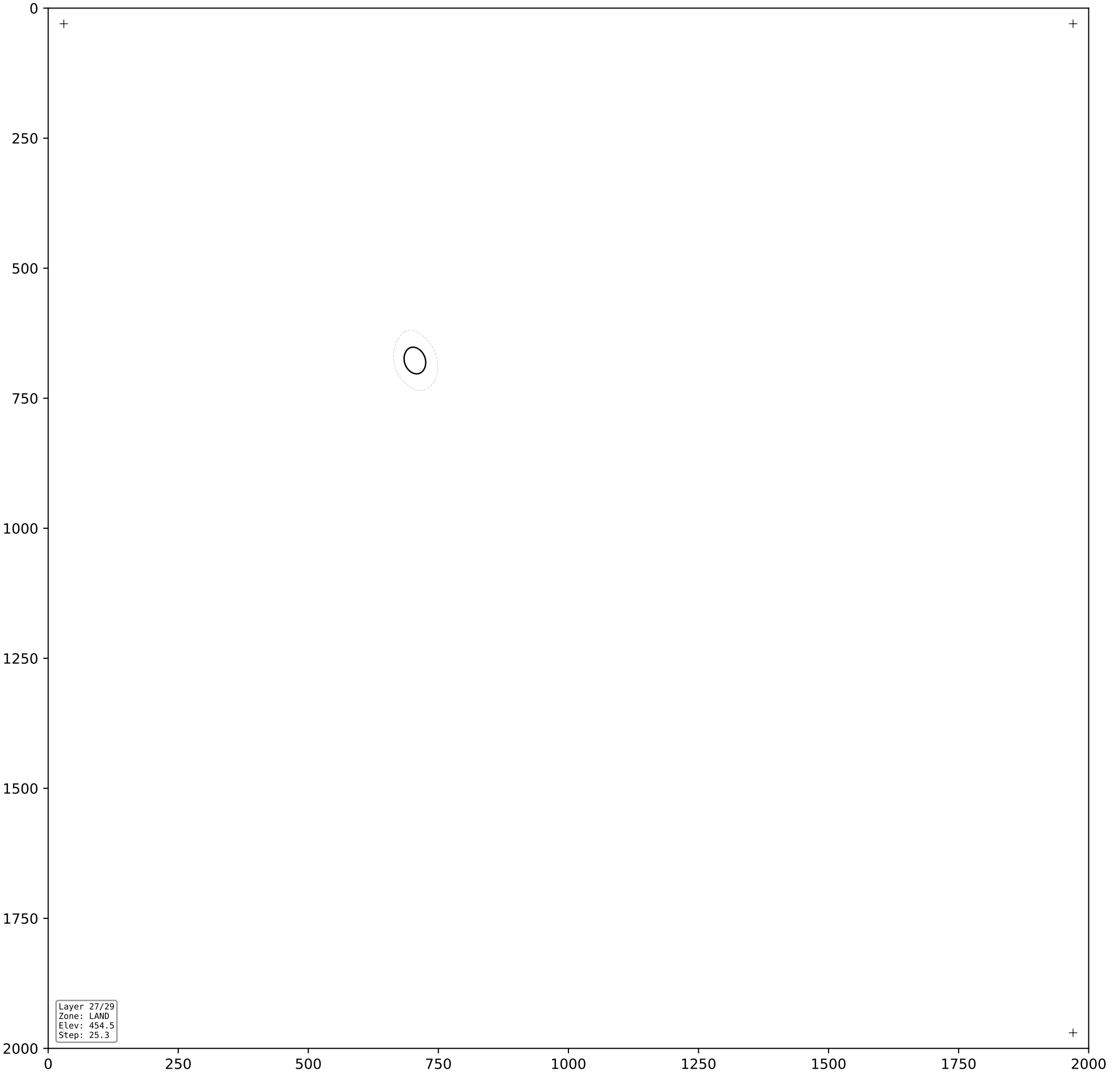

Layer 28 (LAND) — Elevation: 479.8
Cut this contour from brown cardboard sheet #28

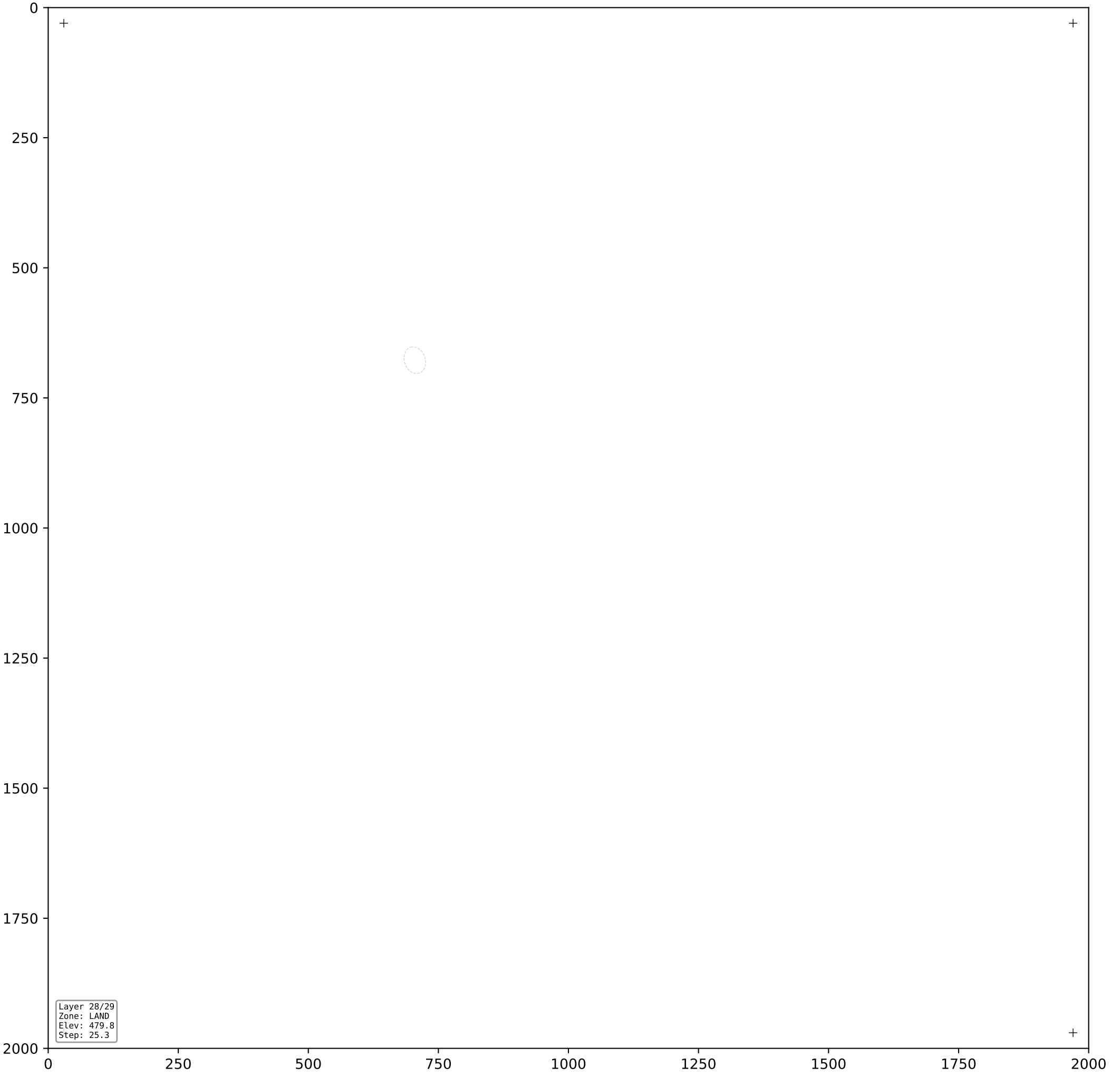
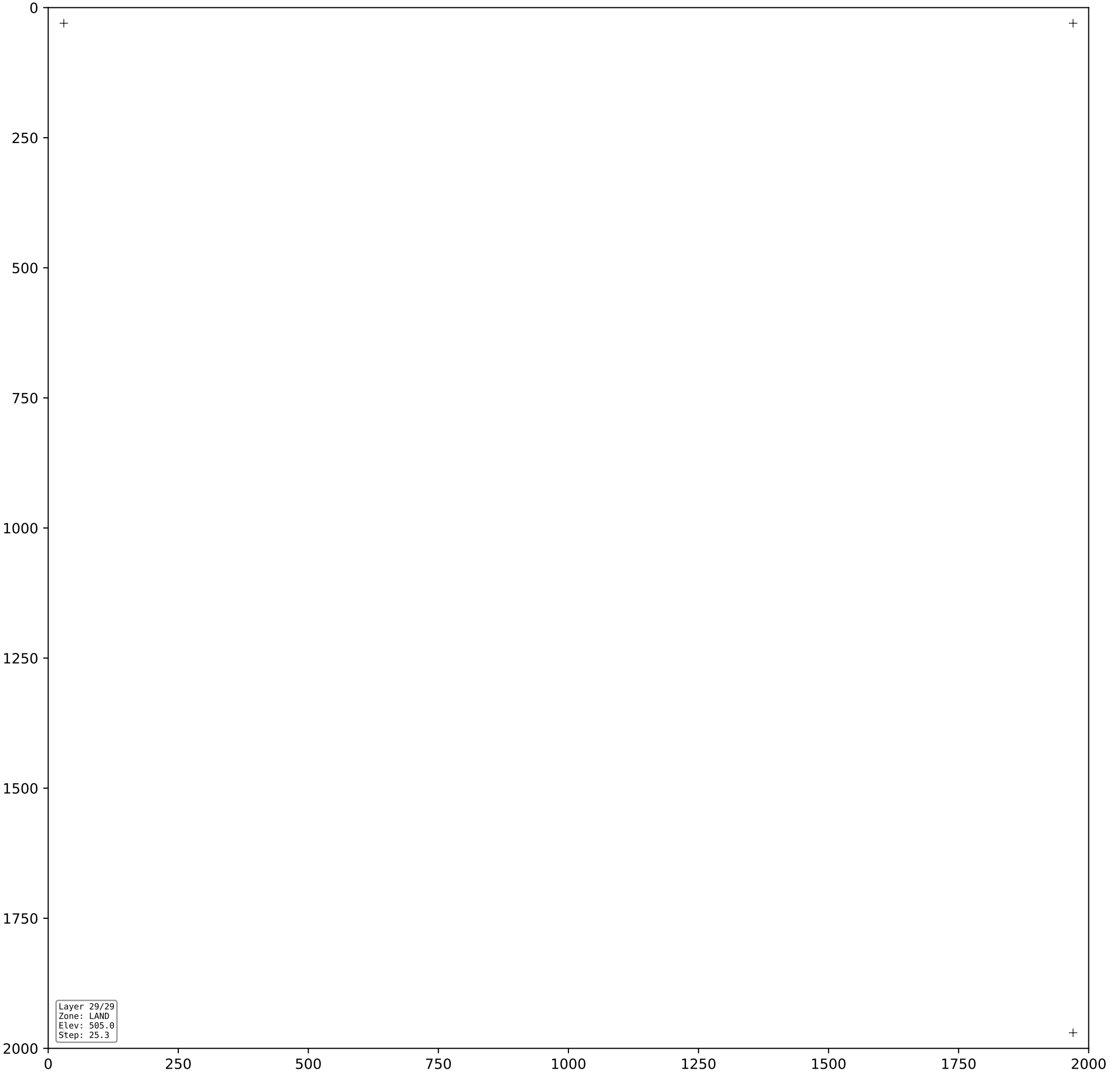
Layer 29 (LAND) — Elevation: 505.0
Cut this contour from brown cardboard sheet #29